Dengue

You are now reading:

Dengue Clusters

Dengue Clusters

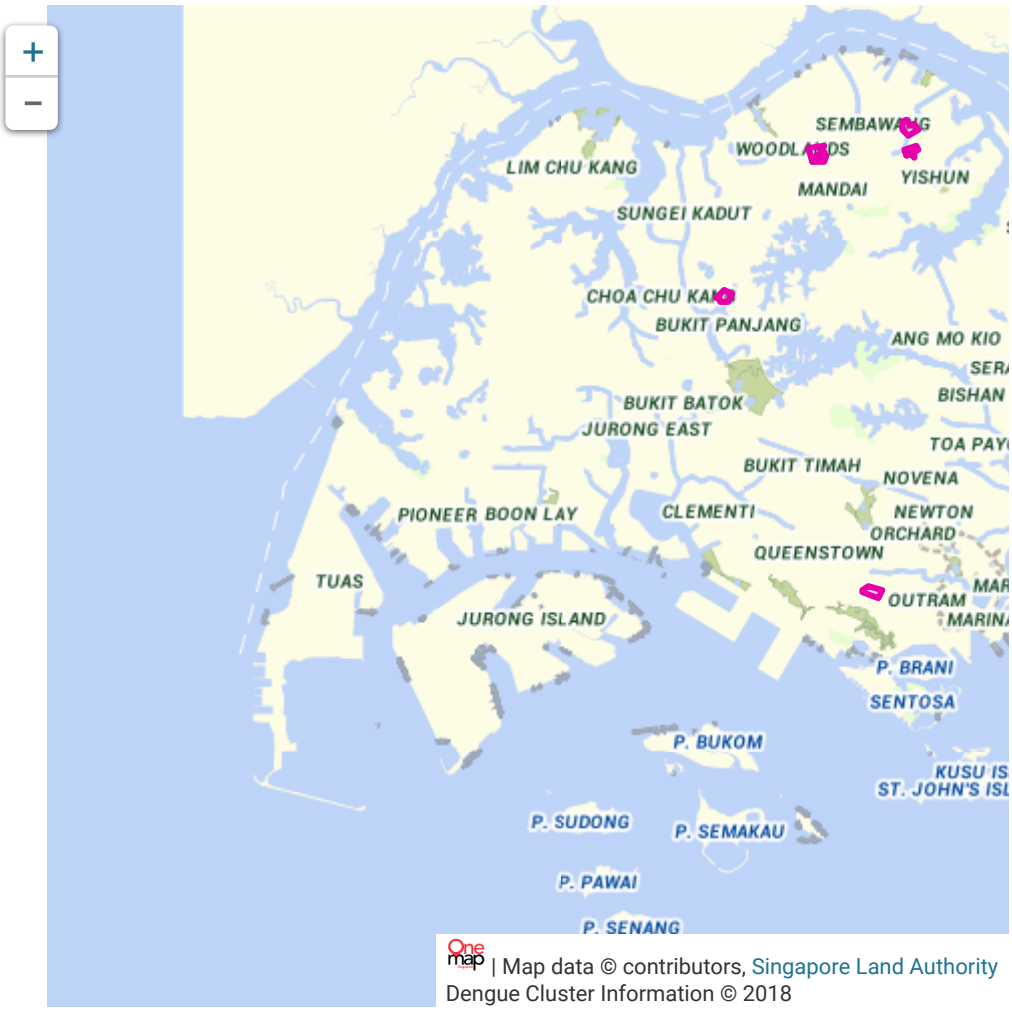

(Map data is updated at 1am. Kindly clear your internet browser cache after each visit, in order to view the latest information.)

Operationally, a dengue cluster indicates a locality with active transmission where intervention is targeted. It is formed when two or more cases have onset within 14 days and are located within 150m of each other (based on residential and workplace addresses as well as movement history). The clusters are categorised according to their current status. There are 3 alert levels:

Definition	Alert Level
High-risk area with 10 or more cases	**Red**
High-risk area with less than 10 cases	**Yellow**

No new cases, under surveillance for the next 21 days	**Green**

Each cluster map illustrates the extent of NEA's current vector control intervention. Please click on the cluster location to view the respective map.

The information provided in this listing is accurate as at 17 Aug 2018

S/N	Alert Level	Locality	Cases with onset in last 2 weeks	Cases since start of cluster	Breakdown	
					Location	No. of Cases
1		Yishun Ave 7 (Blk 172, 173, 174) / Yishun Ring Rd (Blk 166)	3	9	Yishun Avenue 7 (Blk 172)	2
					Yishun Avenue 7 (Blk 173)	2
					Yishun Avenue 7 (Blk 174)	1
					Yishun Ring Road (Blk 166)	4
2		Canberra Cres (Blk 130B) / Canberra Cres, Lk, View	1	8	Canberra Crescent (Blk 130B)	1
					Canberra Crescent	2
					Canberra Link	3
					Canberra View	2
3		Redhill Cl (Blk 15, 89, 90)	2	6	Redhill Close (Blk 15)	2
					Redhill	3

				Close (Blk 89)	
				Redhill Close (Blk 90)	1
4	Dunman Ln (D-Mansions) / Swanage Rd / Tg Katong Rd	1	4	Dunman Lane (D-Mansions)	1
				Swanage Road	2
				Tanjong Katong Road	1
5	Jelapang Rd (Blk 507, 520)	4	4	Jelapang Road (Blk 507)	3
				Jelapang Road (Blk 520)	1
6	Kg Eunos (Eunos Pk)	1	3	Kampong Eunos (Eunos Park)	3
7	Woodlands Dr 52 (Blk 623) / Woodlands Ring Rd (Blk 656, 664)	1	3	Woodlands Drive 52 (Blk 623)	1
				Woodlands Ring Road (Blk 656)	1
				Woodlands Ring Road (Blk 664)	1
8	Lor H Telok Kurau	1	2	Lorong H Telok Kurau	2
9	Lor J, K Telok Kurau	2	2	Lorong J Telok	1

				Kurau	
				Lorong K Telok Kurau	1
10	Woodlands Dr 52 (Blk 620) / Woodlands Ring Rd (Blk 628B)	2	2	Woodlands Drive 52 (Blk 620)	1
				Woodlands Ring Road (Blk 628B)	1

For a list of clusters under surveillance, please click here.

Dengue

You are now reading:

Dengue Clusters

Dengue Clusters

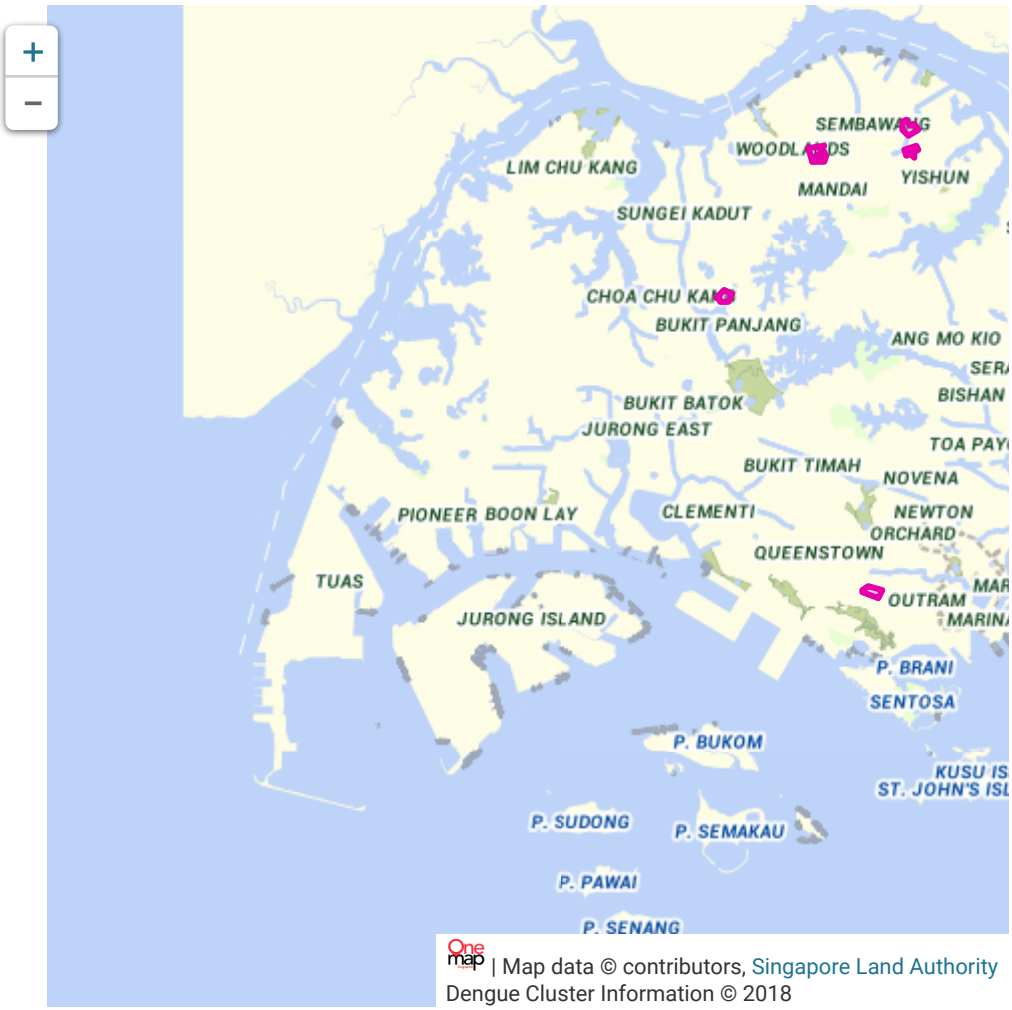

(Map data is updated at 1am. Kindly clear your internet browser cache after each visit, in order to view the latest information.)

Operationally, a dengue cluster indicates a locality with active transmission where intervention is targeted. It is formed when two or more cases have onset within 14 days and are located within 150m of each other (based on residential and workplace addresses as well as movement history). The clusters are categorised according to their current status. There are 3 alert levels:

Definition	Alert Level
High-risk area with 10 or more cases	**Red**
High-risk area with less than 10 cases	**Yellow**

No new cases, under surveillance for the next 21 days	**Green**

Each cluster map illustrates the extent of NEA's current vector control intervention. Please click on the cluster location to view the respective map.

The information provided in this listing is accurate as at 20 Aug 2018

S/N	Alert Level	Locality	Cases with onset in last 2 weeks	Cases since start of cluster	Breakdown	
					Location	No. of Cases
1		Yishun Ave 7 (Blk 172, 173, 174) / Yishun Ring Rd (Blk 166)	4	10	Yishun Avenue 7 (Blk 172)	2
					Yishun Avenue 7 (Blk 173)	2
					Yishun Avenue 7 (Blk 174)	2
					Yishun Ring Road (Blk 166)	4
2		Canberra Cres (Blk 130B) / Canberra Cres, Lk, View	2	9	Canberra Crescent (Blk 130B)	1
					Canberra Crescent	2
					Canberra Link	4
					Canberra View	2
3		Redhill Cl (Blk 15, 89, 90)	1	6	Redhill Close (Blk 15)	2
					Redhill	3

				Close (Blk 89)	
				Redhill Close (Blk 90)	1
4	Dunman Ln (D-Mansions) / Swanage Rd / Tg Katong Rd	1	4	Dunman Lane (D-Mansions)	1
				Swanage Road	2
				Tanjong Katong Road	1
5	Jelapang Rd (Blk 507, 520)	4	4	Jelapang Road (Blk 507)	3
				Jelapang Road (Blk 520)	1
6	Kg Eunos (Eunos Pk)	1	3	Kampong Eunos (Eunos Park)	3
7	Woodlands Dr 52 (Blk 623) / Woodlands Ring Rd (Blk 656, 664)	1	3	Woodlands Drive 52 (Blk 623)	1
				Woodlands Ring Road (Blk 656)	1
				Woodlands Ring Road (Blk 664)	1
8	Lor H Telok Kurau	1	2	Lorong H Telok Kurau	2
9	Lor J, K Telok Kurau	2	2	Lorong J Telok	1

				Kurau	
				Lorong K Telok Kurau	1
11	Toh Guan Rd (Blk 286C)	2	2	Toh Guan Road (Blk 286C)	2
10	Woodlands Dr 52 (Blk 620) / Woodlands Ring Rd (Blk 628B)	2	2	Woodlands Drive 52 (Blk 620)	1
				Woodlands Ring Road (Blk 628B)	1

For a list of clusters under surveillance, please click here.

Dengue

You are now reading:

Dengue Clusters

Dengue Clusters

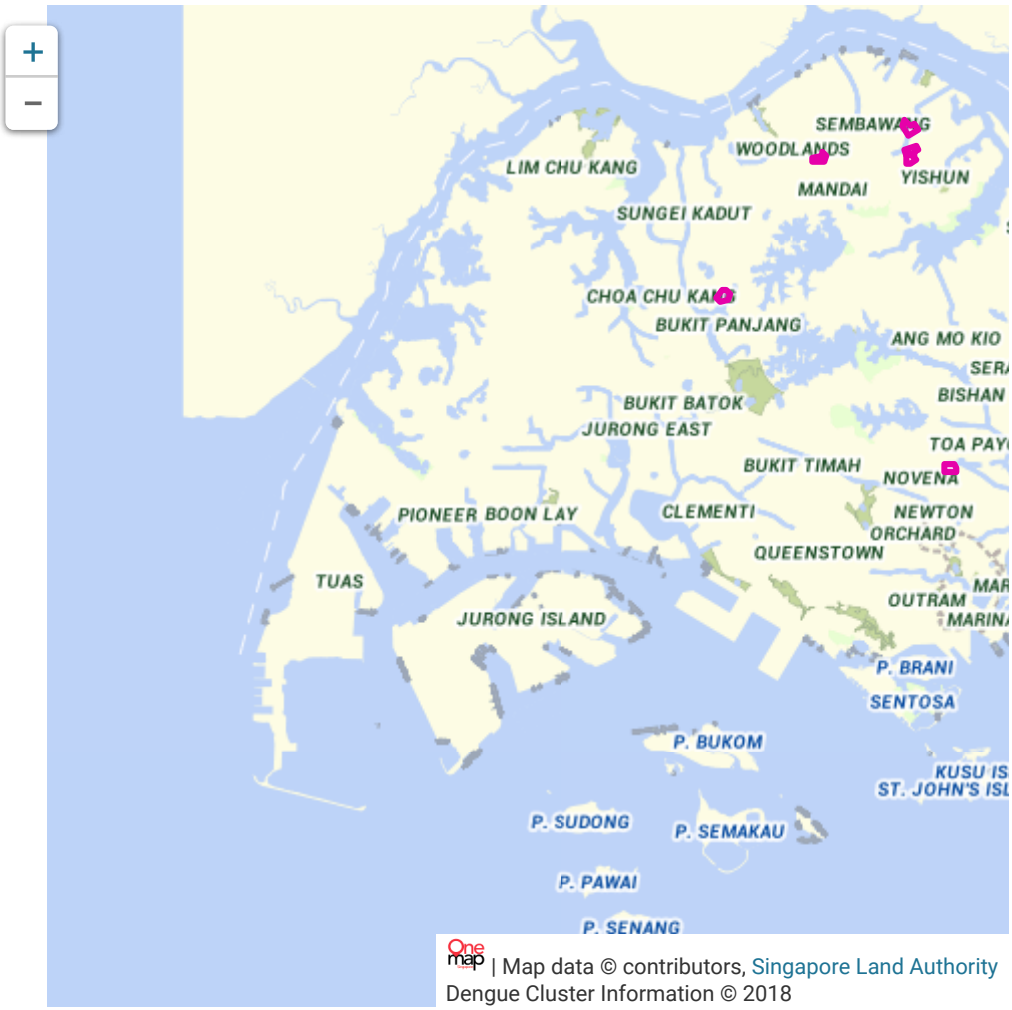

(Map data is updated at 1am. Kindly clear your internet browser cache after each visit, in order to view the latest information.)

Operationally, a dengue cluster indicates a locality with active transmission where intervention is targeted. It is formed when two or more cases have onset within 14 days and are located within 150m of each other (based on residential and workplace addresses as well as movement history). The clusters are categorised according to their current status. There are 3 alert levels:

Definition	Alert Level
High-risk area with 10 or more cases	**Red**
High-risk area with less than 10 cases	**Yellow**

No new cases, under surveillance for the next 21 days	**Green**

Each cluster map illustrates the extent of NEA's current vector control intervention. Please click on the cluster location to view the respective map.

The information provided in this listing is accurate as at 24 Aug 2018

S/N	Alert Level	Locality	Cases with onset in last 2 weeks	Cases since start of cluster	Breakdown	
					Location	No. of Cases
1		Yishun Ave 7 (Blk 172, 173, 174) / Yishun Ring Rd (Blk 166)	7	15	Yishun Avenue 7 (Blk 172)	2
					Yishun Avenue 7 (Blk 173)	4
					Yishun Avenue 7 (Blk 174)	2
					Yishun Ring Road (Blk 166)	7
2		Canberra Cres (Blk 130B) / Canberra Cres, Lk, View	1	9	Canberra Crescent (Blk 130B)	1
					Canberra Crescent	2
					Canberra Link	4
					Canberra View	2
3		Joo Chiat Ave / Lor 110 Changi / Lor G, H Telok Kurau	4	6	Joo Chiat Avenue	1
					Lorong 110	1

				Changi	
				Lorong G Telok Kurau	1
				Lorong H Telok Kurau	3
4	Yishun St 11 (Blk 128)	4	6	Yishun Street 11 (Blk 128)	6
5	Ah Hood Rd (The Belleforte) / Jln Dusun (Blk 104,106)	3	3	Ah Hood Road (The Belleforte)	1
				Jalan Dusun (Blk 104)	1
				Jalan Dusun (Blk 106)	1
6	Kg Eunos (Eunos Pk)	1	3	Kampong Eunos (Eunos Park)	3
7	Woodlands Dr 52 (Blk 620) / Woodlands Ring Rd (Blk 628B)	1	3	Woodlands Drive 52 (Blk 620)	2
				Woodlands Ring Road (Blk 628B)	1
8	Tampines St 44 (Blk 468, 469)	2	2	Tampines Street 44 (Blk 468)	1
				Tampines Street 44 (Blk 469)	1
9	Tampines St 82	2	2	Tampines	1

(Blk 842C, 842H)	Street 82 (Blk 842C)	
	Tampines Street 82 (Blk 842H)	1

For a list of clusters under surveillance, please click here.

Dengue

You are now reading:

Dengue Clusters

Dengue Clusters

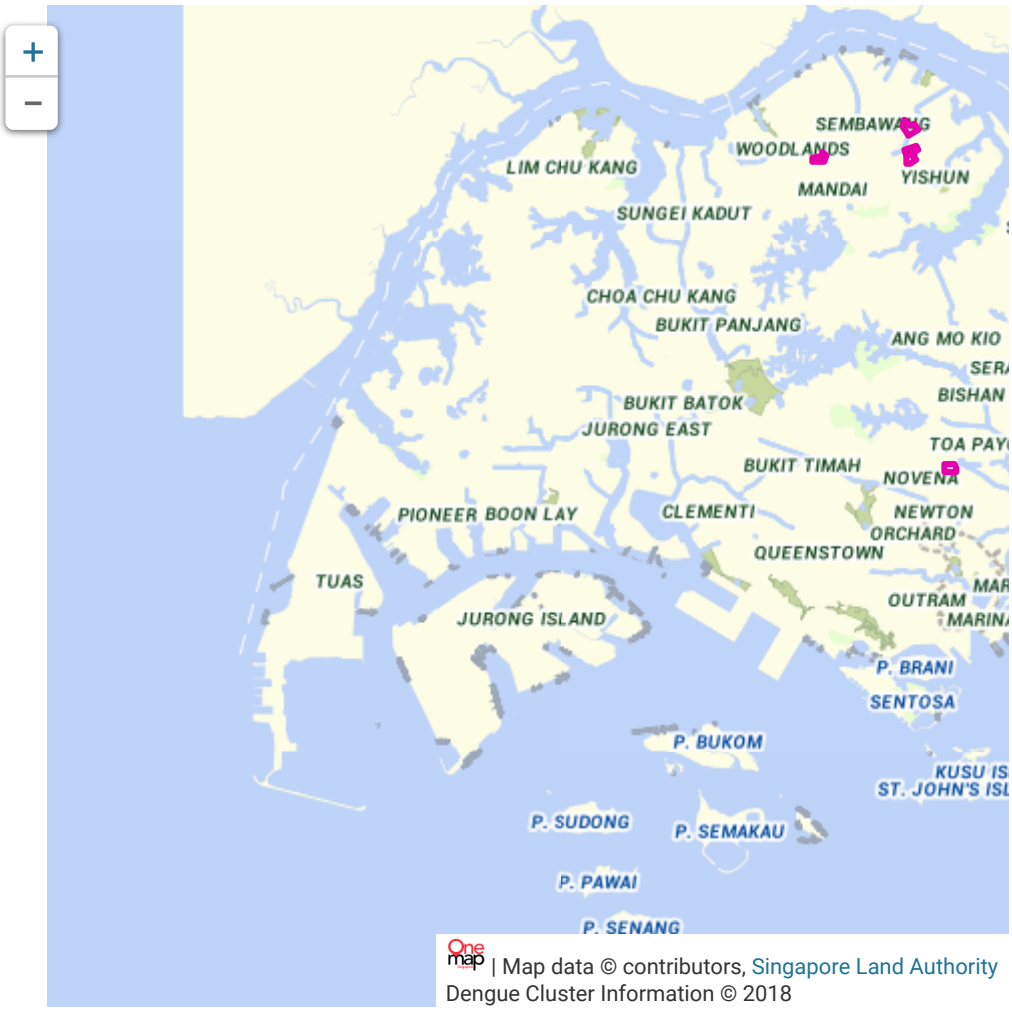

(Map data is updated at 1am. Kindly clear your internet browser cache after each visit, in order to view the latest information.)

Operationally, a dengue cluster indicates a locality with active transmission where intervention is targeted. It is formed when two or more cases have onset within 14 days and are located within 150m of each other (based on residential and workplace addresses as well as movement history). The clusters are categorised according to their current status. There are 3 alert levels:

Definition	Alert Level
High-risk area with 10 or more cases	**Red**
High-risk area with less than 10 cases	**Yellow**

No new cases, under surveillance for the next 21 days	**Green**

Each cluster map illustrates the extent of NEA's current vector control intervention. Please click on the cluster location to view the respective map.

The information provided in this listing is accurate as at 27 Aug 2018

S/N	Alert Level	Locality	Cases with onset in last 2 weeks	Cases since start of cluster	Breakdown	
					Location	No. of Cases
1		Yishun Ave 7 (Blk 172, 173, 174) / Yishun Ring Rd (Blk 166)	7	17	Yishun Avenue 7 (Blk 172)	2
					Yishun Avenue 7 (Blk 173)	4
					Yishun Avenue 7 (Blk 174)	2
					Yishun Ring Road (Blk 166)	9
2		Canberra Cres (Blk 130B) / Canberra Cres, Lk, View	1	9	Canberra Crescent (Blk 130B)	1
					Canberra Crescent	2
					Canberra Link	4
					Canberra View	2
3		Joo Chiat Ave / Lor 110 Changi / Lor G, H Telok Kurau	3	7	Joo Chiat Avenue	1
					Lorong 110	1

				Changi	
				Lorong G Telok Kurau	1
				Lorong H Telok Kurau	4
4	Yishun St 11 (Blk 128, 132)	5	7	Yishun Street 11 (Blk 128)	6
				Yishun Street 11 (Blk 132)	1
5	Ah Hood Rd (The Belleforte) / Balestier Rd / Jln Dusun (Blk 104, 106)	4	4	Ah Hood Road (The Belleforte)	1
				Balestier Road	1
				Jalan Dusun (Blk 104)	1
				Jalan Dusun (Blk 106)	1
6	Kg Eunos (Eunos Pk)	1	3	Kampong Eunos (Eunos Park)	3
7	Woodlands Dr 52 (Blk 620) / Woodlands Ring Rd (Blk 628B)	1	3	Woodlands Drive 52 (Blk 620)	2
				Woodlands Ring Road (Blk 628B)	1
8	Tampines St 44 (Blk 468, 469)	2	2	Tampines Street 44	1

				(Blk 468)	
				Tampines Street 44 (Blk 469)	1
9	Tampines St 82 (Blk 842C, 842H)	1	2	Tampines Street 82 (Blk 842C)	1
				Tampines Street 82 (Blk 842H)	1

For a list of clusters under surveillance, please click here.

Dengue

You are now reading:

Dengue Clusters

Dengue Clusters

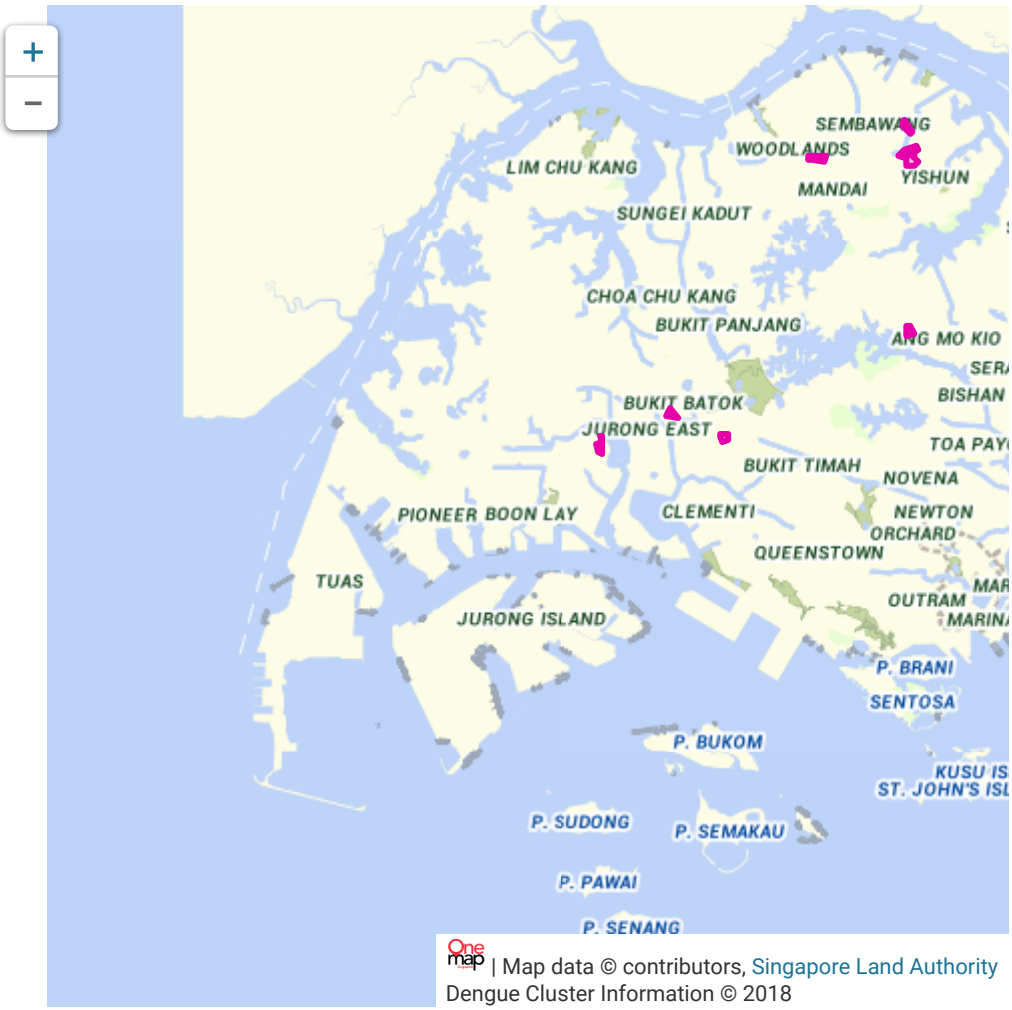

(Map data is updated at 1am. Kindly clear your internet browser cache after each visit, in order to view the latest information.)

Operationally, a dengue cluster indicates a locality with active transmission where intervention is targeted. It is formed when two or more cases have onset within 14 days and are located within 150m of each other (based on residential and workplace addresses as well as movement history). The clusters are categorised according to their current status. There are 3 alert levels:

Definition	Alert Level
High-risk area with 10 or more cases	**Red**
High-risk area with less than 10 cases	**Yellow**

	No new cases, under surveillance for the next 21 days	**Green**

Each cluster map illustrates the extent of NEA's current vector control intervention. Please click on the cluster location to view the respective map.

The information provided in this listing is accurate as at 31 Aug 2018

S/N	Alert Level	Locality	Cases with onset in last 2 weeks	Cases since start of cluster	Breakdown	
					Location	No. of Cases
1		Yishun Ave 7 / Yishun Ave 7 (Blk 172, 173, 174) / Yishun Ring Rd (Blk 165, 166)	13	23	Yishun Avenue 7	1
					Yishun Avenue 7 (Blk 172)	2
					Yishun Avenue 7 (Blk 173)	5
					Yishun Avenue 7 (Blk 174)	2
					Yishun Ring Road (Blk 165)	1
					Yishun Ring Road (Blk 166)	12
2		Yishun St 11 (Blk 122, 124, 128, 132)	8	13	Yishun Street 11 (Blk 122)	1
					Yishun Street 11 (Blk 124)	2
					Yishun Street 11 (Blk 128)	9

				Yishun Street 11 (Blk 132)	1
3	Jln Gajus / Seraya Ln, Rd	2	4	Jalan Gajus	1
				Seraya Lane	2
				Seraya Road	1
4	Toh Tuck Rd (The Beverly)	4	4	Toh Tuck Road (The Beverly)	4
5	Woodlands Dr 52 (Blk 619, 620) / Woodlands Ring Rd (Blk 628B)	1	4	Woodlands Drive 52 (Blk 619)	1
				Woodlands Drive 52 (Blk 620)	2
				Woodlands Ring Road (Blk 628B)	1
6	Jln Leban	3	3	Jalan Leban	3
7	Tampines St 44 (Blk 468, 469, 472)	2	3	Tampines Street 44 (Blk 468)	1
				Tampines Street 44 (Blk 469)	1
				Tampines Street 44 (Blk 472)	1
8	Yuan Ching Rd (Lakeside Apts, Park View Mans)	1	3	Yuan Ching Road (Lakeside Apartments)	2
				Yuan Ching Road	1

				(Park View Mansions)	
9	Bt Batok St 21 (Blk 206, 208)	1	2	Bukit Batok Street 21 (Blk 206)	1
				Bukit Batok Street 21 (Blk 208)	1
10	Canberra Cres / Canberra Walk (Blk 115C)	2	2	Canberra Crescent	1
				Canberra Walk (Blk 115C)	1
11	Lor G Telok Kurau / Lor G Telok Kurau (Palm Vista)	2	2	Lorong G Telok Kurau	1
				Lorong G Telok Kurau (Palm Vista)	1
12	Tampines St 82 (Blk 842C, 842H)	1	2	Tampines Street 82 (Blk 842C)	1
				Tampines Street 82 (Blk 842H)	1

For a list of clusters under surveillance, please click here.

Dengue

You are now reading:

Dengue Clusters

Dengue Clusters

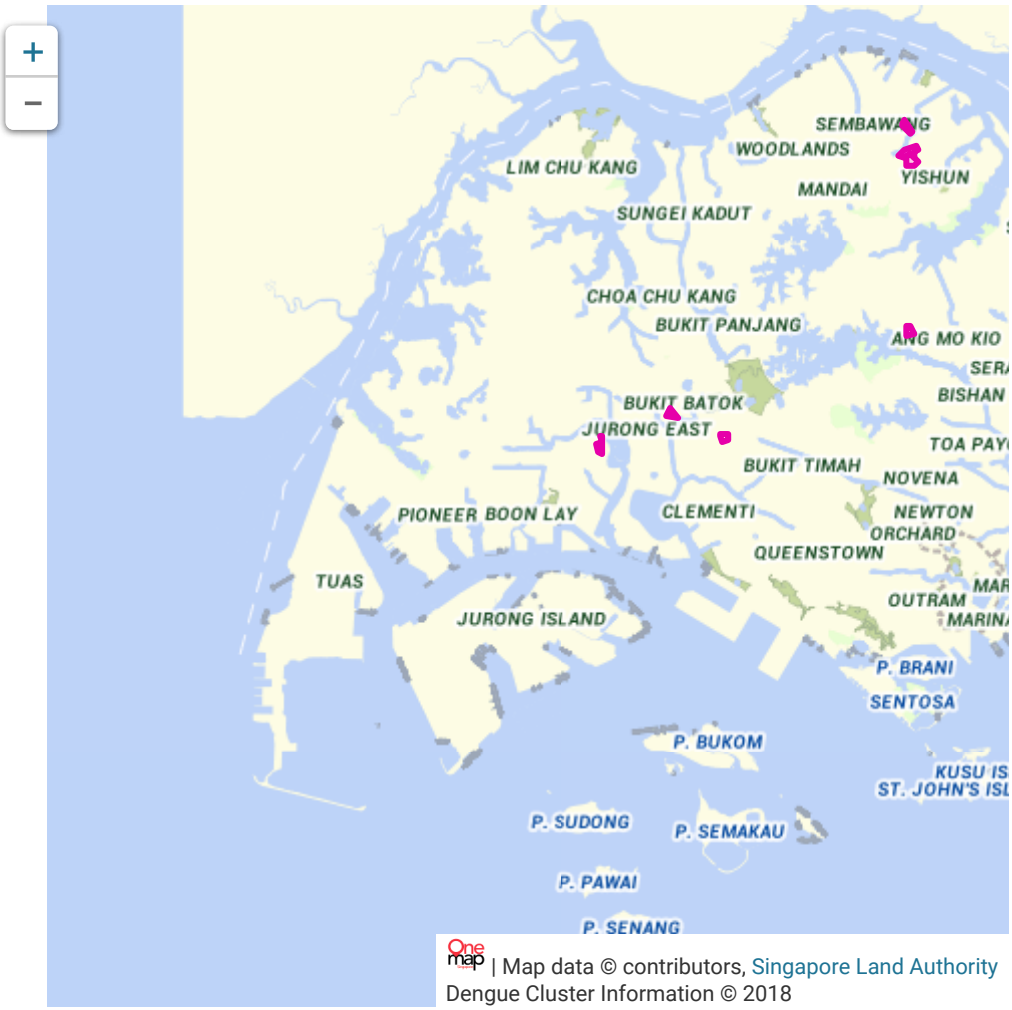

(Map data is updated at 1am. Kindly clear your internet browser cache after each visit, in order to view the latest information.)

Operationally, a dengue cluster indicates a locality with active transmission where intervention is targeted. It is formed when two or more cases have onset within 14 days and are located within 150m of each other (based on residential and workplace addresses as well as movement history). The clusters are categorised according to their current status. There are 3 alert levels:

Definition	Alert Level
High-risk area with 10 or more cases	**Red**
High-risk area with less than 10 cases	**Yellow**

	No new cases, under surveillance for the next 21 days	**Green**

Each cluster map illustrates the extent of NEA's current vector control intervention. Please click on the cluster location to view the respective map.

The information provided in this listing is accurate as at 03 Sep 2018

S/N	Alert Level	Locality	Cases with onset in last 2 weeks	Cases since start of cluster	Breakdown	
					Location	No. of Cases
1		Yishun Ave 7 / Yishun Ave 7 (Blk 172, 173, 174) / Yishun Ring Rd (Blk 165, 166)	5	23	Yishun Avenue 7	1
					Yishun Avenue 7 (Blk 172)	2
					Yishun Avenue 7 (Blk 173)	5
					Yishun Avenue 7 (Blk 174)	2
					Yishun Ring Road (Blk 165)	1
					Yishun Ring Road (Blk 166)	12
2		Yishun St 11 (Blk 122, 124, 128, 132)	7	14	Yishun Street 11 (Blk 122)	1
					Yishun Street 11 (Blk 124)	3
					Yishun Street 11 (Blk 128)	9

				Yishun Street 11 (Blk 132)	1
3	Jln Gajus / Seraya Ln, Rd	2	4	Jalan Gajus	1
				Seraya Lane	2
				Seraya Road	1
4	Toh Tuck Rd (The Beverly)	4	4	Toh Tuck Road (The Beverly)	4
5	Jln Leban	3	3	Jalan Leban	3
6	Tampines St 44 (Blk 468, 469, 472)	1	3	Tampines Street 44 (Blk 468)	1
				Tampines Street 44 (Blk 469)	1
				Tampines Street 44 (Blk 472)	1
7	Yuan Ching Rd (Lakeside Apts, Park View Mans)	1	3	Yuan Ching Road (Lakeside Apartments)	2
				Yuan Ching Road (Park View Mansions)	1
8	Bt Batok St 21 (Blk 206, 208)	1	2	Bukit Batok Street 21 (Blk 206)	1
				Bukit Batok Street 21 (Blk 208)	1
9	Canberra Cres /	2	2	Canberra	1

	Canberra Walk (Blk 115C)			Crescent	
				Canberra Walk (Blk 115C)	1
10	Lor G Telok Kurau / Lor G Telok Kurau (Palm Vista)	2	2	Lorong G Telok Kurau	1
				Lorong G Telok Kurau (Palm Vista)	1

For a list of clusters under surveillance, please click here.

Dengue

You are now reading:

Dengue Clusters

Dengue Clusters

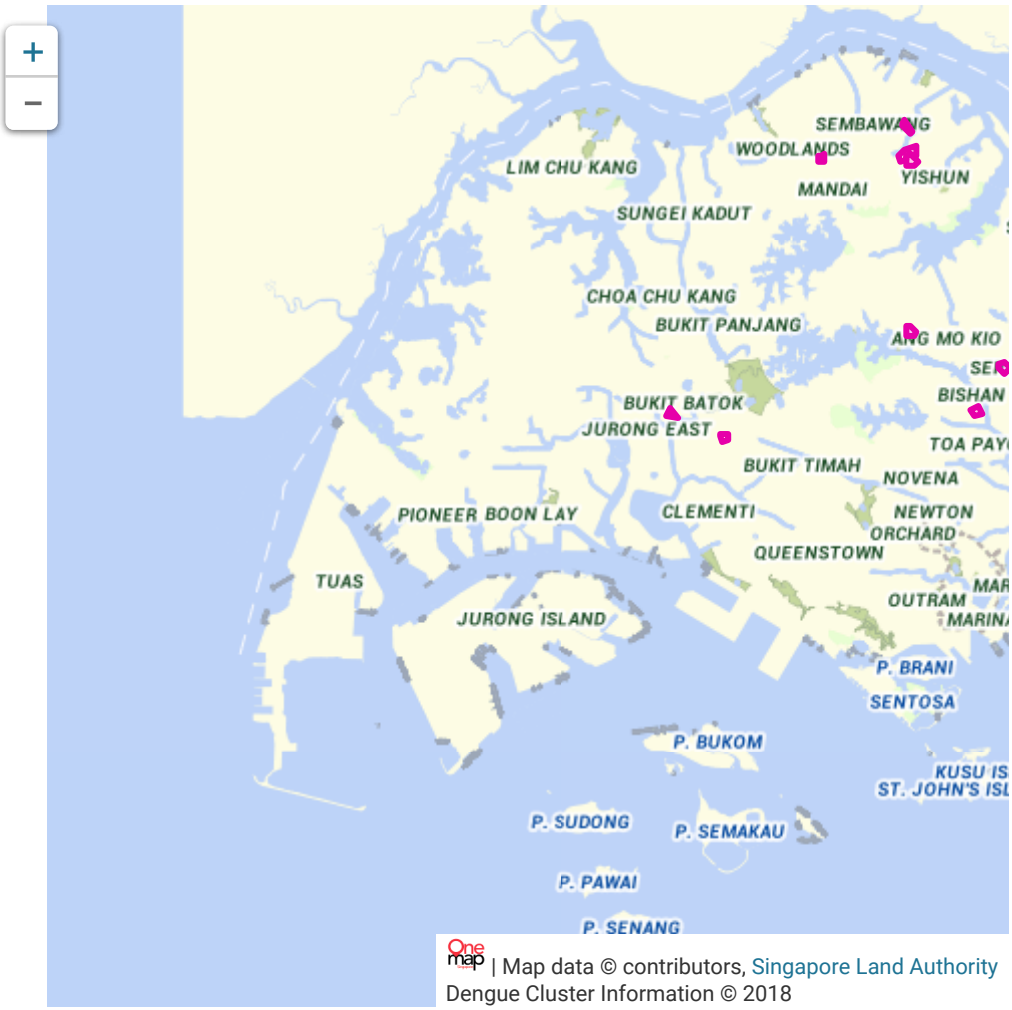

(Map data is updated at 1am. Kindly clear your internet browser cache after each visit, in order to view the latest information.)

Operationally, a dengue cluster indicates a locality with active transmission where intervention is targeted. It is formed when two or more cases have onset within 14 days and are located within 150m of each other (based on residential and workplace addresses as well as movement history). The clusters are categorised according to their current status. There are 3 alert levels:

Definition	Alert Level
High-risk area with 10 or more cases	**Red**
High-risk area with less than 10 cases	**Yellow**

	No new cases, under surveillance for the next 21 days	**Green**

Each cluster map illustrates the extent of NEA's current vector control intervention. Please click on the cluster location to view the respective map.

The information provided in this listing is accurate as at 07 Sep 2018

S/N	Alert Level	Locality	Cases with onset in last 2 weeks	Cases since start of cluster	Breakdown	
					Location	No. of Cases
1		Yishun Ave 7 / Yishun Ave 7 (Blk 172, 173, 174) / Yishun Ring Rd (Blk 120, 165, 166)	12	32	Yishun Avenue 7	2
					Yishun Avenue 7 (Blk 172)	5
					Yishun Avenue 7 (Blk 173)	9
					Yishun Avenue 7 (Blk 174)	2
					Yishun Ring Road (Blk 120)	1
					Yishun Ring Road (Blk 165)	1
					Yishun Ring Road (Blk 166)	12
2		Yishun St 11 (Blk 122, 124, 128, 131, 132)	7	17	Yishun Street 11 (Blk 122)	1
					Yishun Street 11 (Blk 124)	4

				Yishun Street 11 (Blk 128)	10
				Yishun Street 11 (Blk 131)	1
				Yishun Street 11 (Blk 132)	1
3	Jln Gajus / Seraya Ln, Rd	3	5	Jalan Gajus	1
				Seraya Lane	3
				Seraya Road	1
4	Jln Leban, Tarum	1	5	Jalan Leban	4
				Jalan Tarum	1
5	Toh Tuck Rd (The Beverly)	3	4	Toh Tuck Road (The Beverly)	4
6	Bishan St 13 (Blk 171, 172)	3	3	Bishan Street 13 (Blk 171)	2
				Bishan Street 13 (Blk 172)	1
7	Bloxhome Dr / Crowhurst Dr	3	3	Bloxhome Drive	2
				Crowhurst Drive	1
8	Bt Batok St 21 (Blk 206, 208)	1	2	Bukit Batok	1

				Street 21 (Blk 206)	
				Bukit Batok Street 21 (Blk 208)	1
9	Canberra Cres / Canberra Walk (Blk 115C)	2	2	Canberra Crescent	1
				Canberra Walk (Blk 115C)	1
10	Woodlands Ave 6 (Blk 627) / Woodlands Ring Rd (Blk 628B)	2	2	Woodlands Avenue 6 (Blk 627)	1
				Woodlands Ring Road (Blk 628B)	1

For a list of clusters under surveillance, please click here.

Dengue

You are now reading:

Dengue Clusters

Dengue Clusters

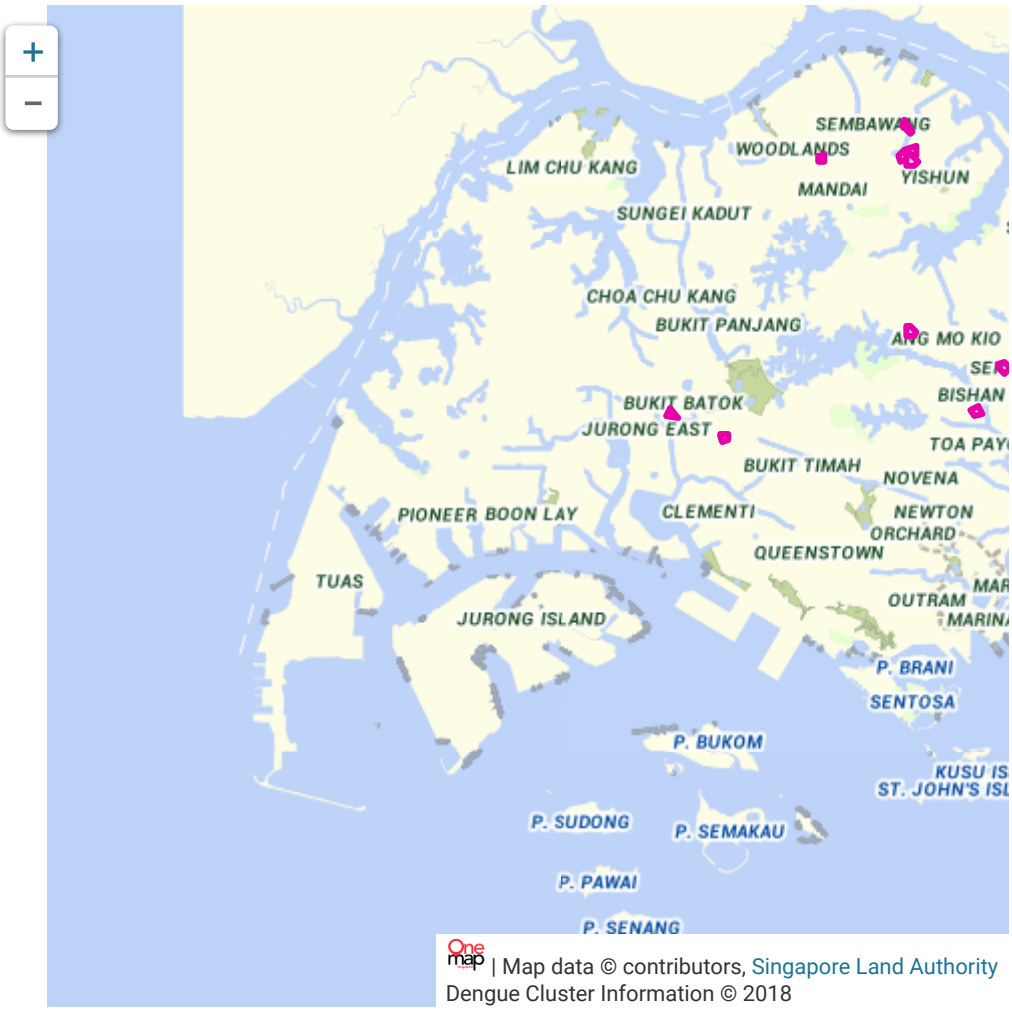

(Map data is updated at 1am. Kindly clear your internet browser cache after each visit, in order to view the latest information.)

Operationally, a dengue cluster indicates a locality with active transmission where intervention is targeted. It is formed when two or more cases have onset within 14 days and are located within 150m of each other (based on residential and workplace addresses as well as movement history). The clusters are categorised according to their current status. There are 3 alert levels:

Definition	Alert Level
High-risk area with 10 or more cases	**Red**
High-risk area with less than 10 cases	**Yellow**

	No new cases, under surveillance for the next 21 days	**Green**

Each cluster map illustrates the extent of NEA's current vector control intervention. Please click on the cluster location to view the respective map.

The information provided in this listing is accurate as at 10 Sep 2018

S/N	Alert Level	Locality	Cases with onset in last 2 weeks	Cases since start of cluster	Breakdown	
					Location	No. of Cases
1		Yishun Ave 7 / Yishun Ave 7 (Blk 172, 173, 174) / Yishun Ring Rd (Blk 120, 165, 166)	12	35	Yishun Avenue 7	2
					Yishun Avenue 7 (Blk 172)	6
					Yishun Avenue 7 (Blk 173)	10
					Yishun Avenue 7 (Blk 174)	3
					Yishun Ring Road (Blk 120)	1
					Yishun Ring Road (Blk 165)	1
					Yishun Ring Road (Blk 166)	12
2		Yishun St 11 (Blk 122, 124, 128, 131, 132)	5	17	Yishun Street 11 (Blk 122)	1
					Yishun Street 11 (Blk 124)	4

				Yishun Street 11 (Blk 128)	10
				Yishun Street 11 (Blk 131)	1
				Yishun Street 11 (Blk 132)	1
3	Jln Gajus / Seraya Ln, Rd	1	5	Jalan Gajus	1
				Seraya Lane	3
				Seraya Road	1
4	Jln Leban, Tarum	1	5	Jalan Leban	4
				Jalan Tarum	1
5	Bishan St 13 (Blk 170, 171, 172)	4	4	Bishan Street 13 (Blk 170)	1
				Bishan Street 13 (Blk 171)	2
				Bishan Street 13 (Blk 172)	1
6	Toh Tuck Rd (The Beverly)	1	4	Toh Tuck Road (The Beverly)	4
7	Bloxhome Dr / Crowhurst Dr	2	3	Bloxhome Drive	2
				Crowhurst Drive	1

8	Bt Batok St 21 (Blk 206, 208)	2	3	Bukit Batok Street 21 (Blk 206)	1
				Bukit Batok Street 21 (Blk 208)	2
9	Vaughan Rd	1	3	Vaughan Road	3
10	Woodlands Ave 6 (Blk 627) / Woodlands Ring Rd (Blk 628B)	1	2	Woodlands Avenue 6 (Blk 627)	1
				Woodlands Ring Road (Blk 628B)	1

For a list of clusters under surveillance, please click here.

Dengue

You are now reading:

Dengue Clusters

Dengue Clusters

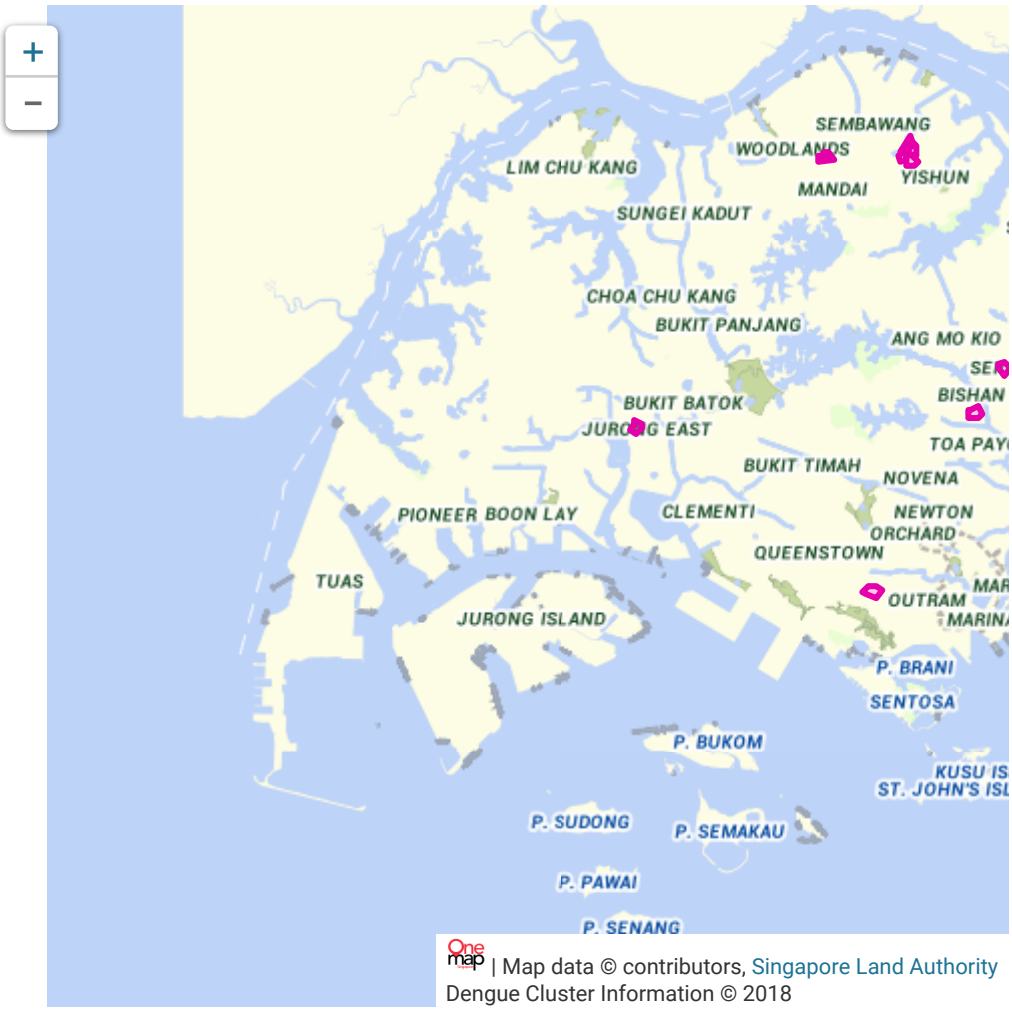

(Map data is updated at 1am. Kindly clear your internet browser cache after each visit, in order to view the latest information.)

Operationally, a dengue cluster indicates a locality with active transmission where intervention is targeted. It is formed when two or more cases have onset within 14 days and are located within 150m of each other (based on residential and workplace addresses as well as movement history). The clusters are categorised according to their current status. There are 3 alert levels:

Definition	Alert Level
High-risk area with 10 or more cases	**Red**
High-risk area with less than 10 cases	**Yellow**

	No new cases, under surveillance for the next 21 days	**Green**

Each cluster map illustrates the extent of NEA's current vector control intervention. Please click on the cluster location to view the respective map.

The information provided in this listing is accurate as at 14 Sep 2018

S/N	Alert Level	Locality	Cases with onset in last 2 weeks	Cases since start of cluster	Breakdown	
					Location	No. of Cases
1		Canberra Dr (Eight Courtyards) / Yishun Ave 7 / Yishun Ave 7 (Blk 172, 173, 174) / Yishun Ring Rd (Blk 120, 165, 166)	15	44	Canberra Drive (Eight Courtyards)	1
					Yishun Avenue 7	3
					Yishun Avenue 7 (Blk 172)	7
					Yishun Avenue 7 (Blk 173)	11
					Yishun Avenue 7 (Blk 174)	6
					Yishun Ring Road (Blk 120)	1
					Yishun Ring Road (Blk 165)	1
					Yishun Ring Road (Blk 166)	14
2		Yishun St 11 (Blk 122, 124, 128,	2	18	Yishun Street 11	1

	131, 132)			(Blk 122)	
				Yishun Street 11 (Blk 124)	4
				Yishun Street 11 (Blk 128)	11
				Yishun Street 11 (Blk 131)	1
				Yishun Street 11 (Blk 132)	1
3	Bishan St 11 (Bishan Loft) / Bishan St 13 (Blk 170, 171, 172)	4	6	Bishan Street 11 (Bishan Loft)	2
				Bishan Street 13 (Blk 170)	1
				Bishan Street 13 (Blk 171)	2
				Bishan Street 13 (Blk 172)	1
4	Bloxhome Dr / Crowhurst Dr	3	5	Bloxhome Drive	4
				Crowhurst Drive	1
5	Canberra Dr (1 Canberra)	4	5	Canberra Drive (1 Canberra)	5
6	Vaughan Rd	3	5	Vaughan Road	5
7	Redhill Cl (Blk	3	3	Redhill	1

	16, 89, 90)			Close (Blk 16)	
				Redhill Close (Blk 89)	1
				Redhill Close (Blk 90)	1
8	Woodlands Ave 6 (Blk 627) / Woodlands Ring Rd (Blk 628B)	1	3	Woodlands Avenue 6 (Blk 627)	2
				Woodlands Ring Road (Blk 628B)	1
9	Hougang St 11 (The Minton)	2	2	Hougang Street 11 (The Minton)	2
10	Jurong East St 21 (Blk 223A, 228)	2	2	Jurong East Street 21 (Blk 223A)	1
				Jurong East Street 21 (Blk 228)	1
11	Seagull Walk / Upp Changi Rd East (Cascadale)	2	2	Seagull Walk	1
				Upper Changi Road East (Cascadale)	1

For a list of clusters under surveillance, please click here.

Dengue

You are now reading:

Dengue Clusters

Dengue Clusters

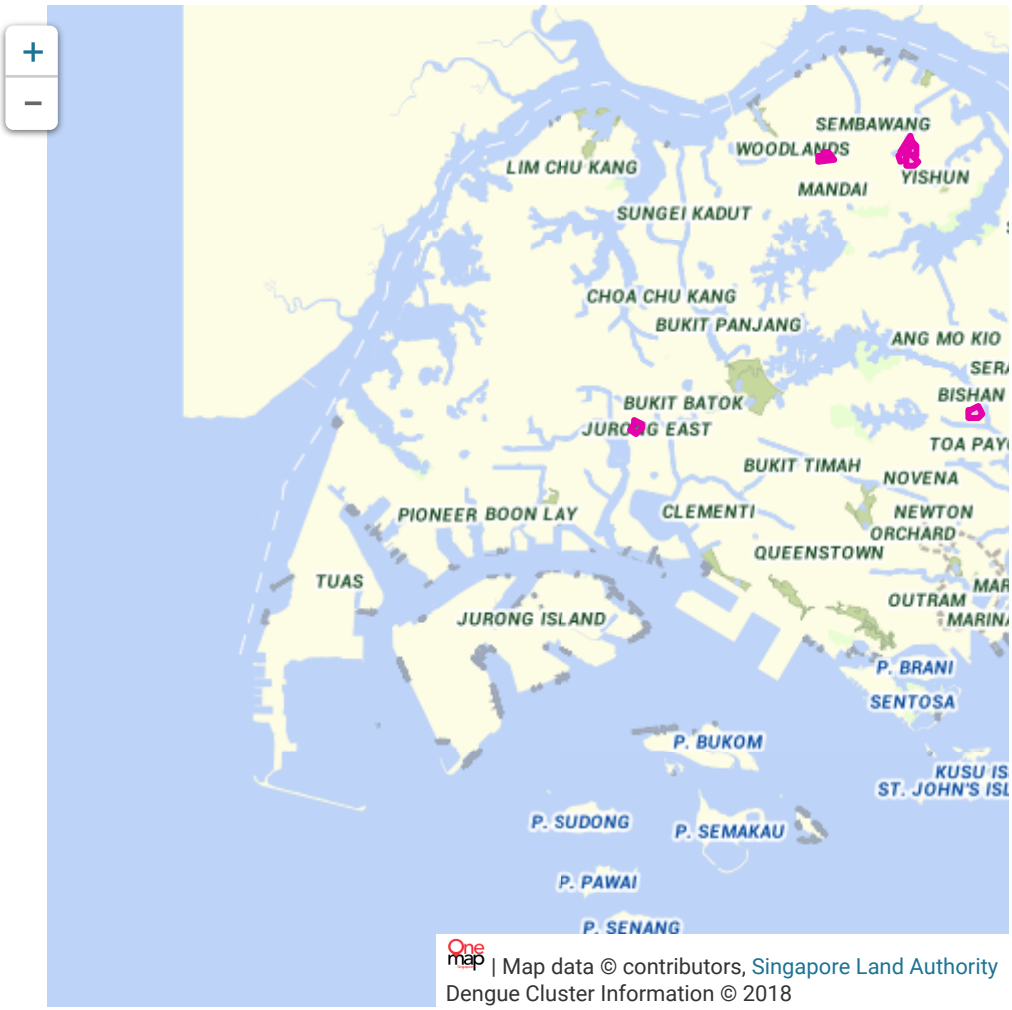

(Map data is updated at 1am. Kindly clear your internet browser cache after each visit, in order to view the latest information.)

Operationally, a dengue cluster indicates a locality with active transmission where intervention is targeted. It is formed when two or more cases have onset within 14 days and are located within 150m of each other (based on residential and workplace addresses as well as movement history). The clusters are categorised according to their current status. There are 3 alert levels:

Definition	Alert Level
High-risk area with 10 or more cases	**Red**
High-risk area with less than 10 cases	**Yellow**

No new cases, under surveillance for the next 21 days	**Green**

Each cluster map illustrates the extent of NEA's current vector control intervention. Please click on the cluster location to view the respective map.

The information provided in this listing is accurate as at 17 Sep 2018

S/N	Alert Level	Locality	Cases with onset in last 2 weeks	Cases since start of cluster	Breakdown	
					Location	No. of Cases
1		Canberra Dr (Eight Courtyards) / Yishun Ave 7 / Yishun Ave 7 (Blk 171, 172, 173, 174) / Yishun Ring Rd (Blk 120, 165, 166)	12	45	Canberra Drive (Eight Courtyards)	1
					Yishun Avenue 7	3
					Yishun Avenue 7 (Blk 171)	1
					Yishun Avenue 7 (Blk 172)	7
					Yishun Avenue 7 (Blk 173)	11
					Yishun Avenue 7 (Blk 174)	6
					Yishun Ring Road (Blk 120)	1
					Yishun Ring Road (Blk 165)	1
					Yishun Ring Road	14

				(Blk 166)	
2	Yishun St 11 (Blk 122, 124, 128, 131, 132)	2	19	Yishun Street 11 (Blk 122)	1
				Yishun Street 11 (Blk 124)	5
				Yishun Street 11 (Blk 128)	11
				Yishun Street 11 (Blk 131)	1
				Yishun Street 11 (Blk 132)	1
3	Bishan St 11 (Bishan Loft) / Bishan St 13 (Blk 170, 171, 172)	2	6	Bishan Street 11 (Bishan Loft)	2
				Bishan Street 13 (Blk 170)	1
				Bishan Street 13 (Blk 171)	2
				Bishan Street 13 (Blk 172)	1
4	Canberra Dr (1 Canberra)	3	5	Canberra Drive (1 Canberra)	5
5	Vaughan Rd	1	5	Vaughan Road	5
6	Woodlands Ave 6 (Blk 627) /	1	3	Woodlands Avenue 6 (Blk 627)	2

	Woodlands Ring Rd (Blk 628B)			Woodlands Ring Road (Blk 628B)	1
7	Hougang St 11 (The Minton)	1	2	Hougang Street 11 (The Minton)	2
8	Jurong East St 21 (Blk 223A, 228)	1	2	Jurong East Street 21 (Blk 223A)	1
				Jurong East Street 21 (Blk 228)	1
9	Seagull Walk / Upp Changi Rd East (Cascadale)	1	2	Seagull Walk	1
				Upper Changi Road East (Cascadale)	1

For a list of clusters under surveillance, please click here.

Dengue

You are now reading:

Dengue Clusters

Dengue Clusters

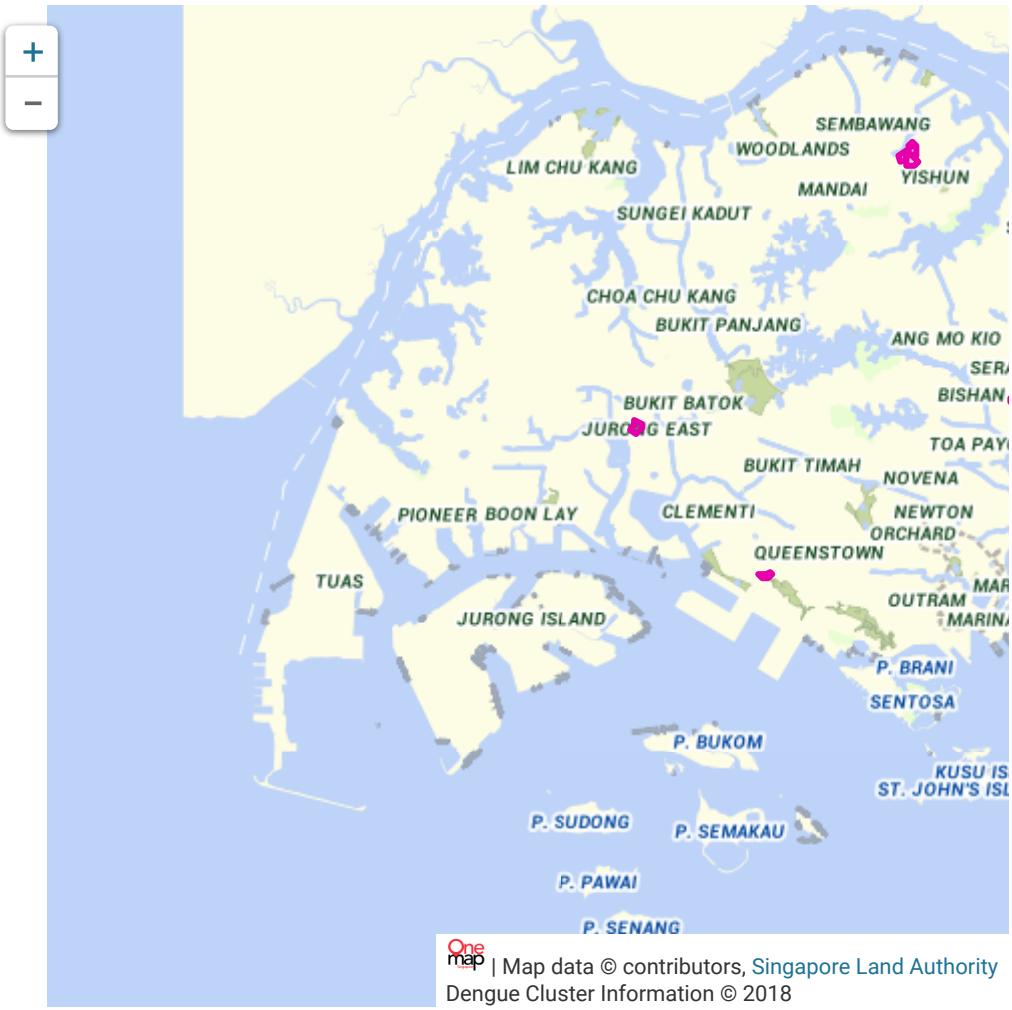

(Map data is updated at 1am. Kindly clear your internet browser cache after each visit, in order to view the latest information.)

Operationally, a dengue cluster indicates a locality with active transmission where intervention is targeted. It is formed when two or more cases have onset within 14 days and are located within 150m of each other (based on residential and workplace addresses as well as movement history). The clusters are categorised according to their current status. There are 3 alert levels:

Definition	Alert Level
High-risk area with 10 or more cases	**Red**
High-risk area with less than 10 cases	**Yellow**

No new cases, under surveillance for the next 21 days	**Green**

Each cluster map illustrates the extent of NEA's current vector control intervention. Please click on the cluster location to view the respective map.

The information provided in this listing is accurate as at 21 Sep 2018

S/N	Alert Level	Locality	Cases with onset in last 2 weeks	Cases since start of cluster	Breakdown	
					Location	No. of Cases
1		Canberra Dr (1 Canberra, Eight Courtyards) / Yishun Ave 7 / Yishun Ave 7 (Blk 170, 171, 172, 173, 174) / Yishun Ring Rd (Blk 120, 165, 166)	17	52	Canberra Drive (1 Canberra)	1
					Canberra Drive (Eight Courtyards)	1
					Yishun Avenue 7	3
					Yishun Avenue 7 (Blk 170)	4
					Yishun Avenue 7 (Blk 171)	1
					Yishun Avenue 7 (Blk 172)	7
					Yishun Avenue 7 (Blk 173)	13
					Yishun Avenue 7 (Blk 174)	6
					Yishun	1

				Ring Road (Blk 120)	
				Yishun Ring Road (Blk 165)	1
				Yishun Ring Road (Blk 166)	14
2	Yishun St 11 (Blk 122, 124, 128, 131, 132)	2	19	Yishun Street 11 (Blk 122)	1
				Yishun Street 11 (Blk 124)	5
				Yishun Street 11 (Blk 128)	11
				Yishun Street 11 (Blk 131)	1
				Yishun Street 11 (Blk 132)	1
3	Lor Biawak / S'goon Ave 2 (Sunglade) / Vaughan Rd	3	7	Lorong Biawak	1
				Serangoon Avenue 2 (Sunglade)	1
				Vaughan Road	5
4	Bt Timah Rd / Bt Timah Rd (Madison Residences) / Keng Chin Rd (Cyan)	1	3	Bukit Timah Road	1
				Bukit Timah Road (Madison Residences)	1

				Keng Chin Road (Cyan)	1
5	Jurong East St 21 (Blk 223A, 228)	1	2	Jurong East Street 21 (Blk 223A)	1
				Jurong East Street 21 (Blk 228)	1
6	Prince George's Pk	2	2	Prince George's Park	2
7	S'goon Ave 3 (Blk 328, 331)	2	2	Serangoon Avenue 3 (Blk 328)	1
				Serangoon Avenue 3 (Blk 331)	1
8	Woodlands Dr 52 (Blk 620)	2	2	Woodlands Drive 52 (Blk 620)	2

For a list of clusters under surveillance, please click here.

Dengue

You are now reading:

Dengue Clusters

Dengue Clusters

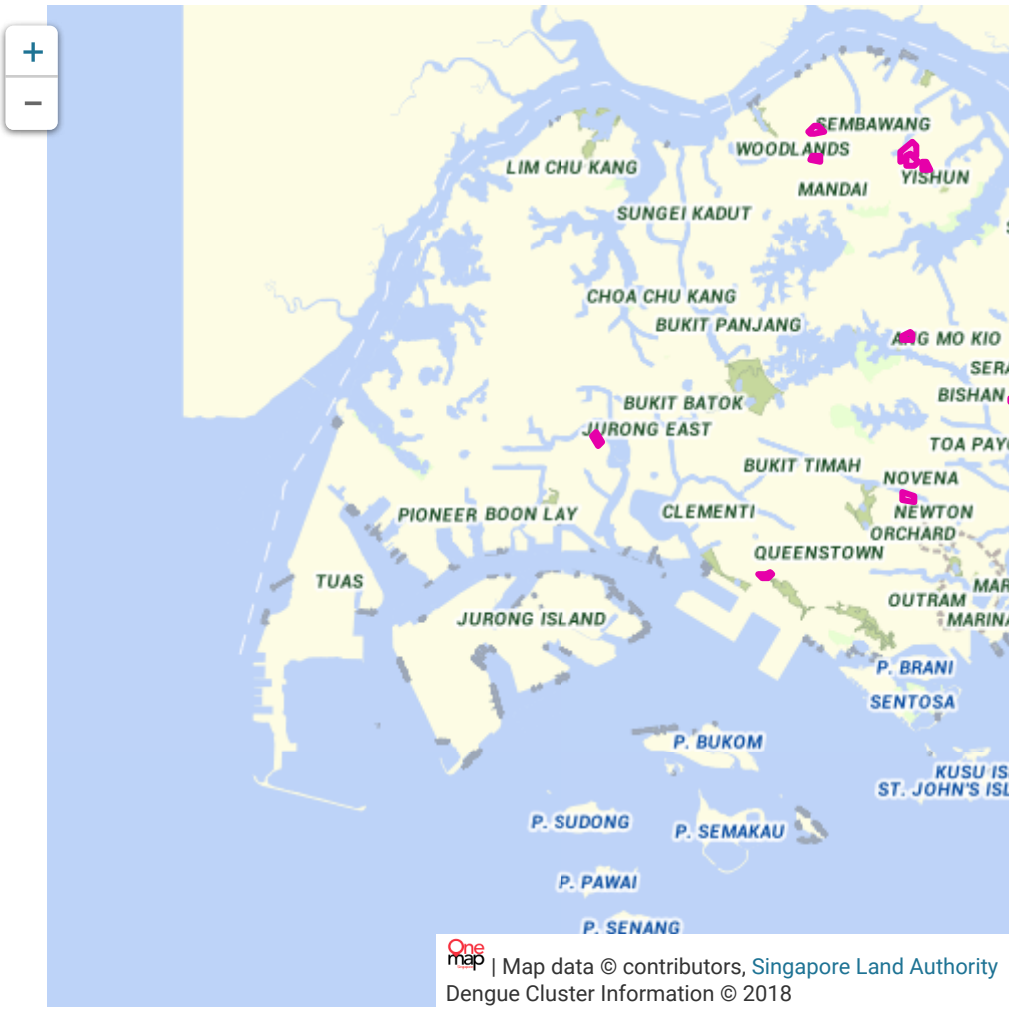

(Map data is updated at 1am. Kindly clear your internet browser cache after each visit, in order to view the latest information.)

Operationally, a dengue cluster indicates a locality with active transmission where intervention is targeted. It is formed when two or more cases have onset within 14 days and are located within 150m of each other (based on residential and workplace addresses as well as movement history). The clusters are categorised according to their current status. There are 3 alert levels:

Definition	Alert Level
High-risk area with 10 or more cases	**Red**
High-risk area with less than 10 cases	**Yellow**

No new cases, under surveillance for the next 21 days	**Green**

Each cluster map illustrates the extent of NEA's current vector control intervention. Please click on the cluster location to view the respective map.

The information provided in this listing is accurate as at 25 Sep 2018

S/N	Alert Level	Locality	Cases with onset in last 2 weeks	Cases since start of cluster	Breakdown	
					Location	No. of Cases
1		Canberra Dr (1 Canberra, Eight Courtyards) / Yishun Ave 7 / Yishun Ave 7 (Blk 170, 171, 172, 173, 174) / Yishun Ring Rd (Blk 120, 165, 166)	10	53	Canberra Drive (1 Canberra)	1
					Canberra Drive (Eight Courtyards)	1
					Yishun Avenue 7	3
					Yishun Avenue 7 (Blk 170)	4
					Yishun Avenue 7 (Blk 171)	1
					Yishun Avenue 7 (Blk 172)	7
					Yishun Avenue 7 (Blk 173)	14
					Yishun Avenue 7 (Blk 174)	6
					Yishun	1

				Ring Road (Blk 120)	
				Yishun Ring Road (Blk 165)	1
				Yishun Ring Road (Blk 166)	14
2	Yishun St 11 (Blk 122, 124, 128, 131, 132)	2	19	Yishun Street 11 (Blk 122)	1
				Yishun Street 11 (Blk 124)	5
				Yishun Street 11 (Blk 128)	11
				Yishun Street 11 (Blk 131)	1
				Yishun Street 11 (Blk 132)	1
3	Lor Biawak / S'goon Ave 2 (Sunglade) / Vaughan Rd	4	8	Lorong Biawak	1
				Serangoon Avenue 2 (Sunglade)	2
				Vaughan Road	5
4	Woodlands Circle (Blk 732, 733)	3	4	Woodlands Circle (Blk 732)	2
				Woodlands Circle (Blk 733)	2
5	Bt Timah Rd / Bt	1	3	Bukit	1

	Timah Rd (Madison Residences) / Keng Chin Rd (Cyan)			Timah Road	
				Bukit Timah Road (Madison Residences)	1
				Keng Chin Road (Cyan)	1
6	How Sun Dr / Lor Ong Lye (Casa Rosa)	2	3	How Sun Drive	1
				Lorong Ong Lye (Casa Rosa)	2
7	Jln Leban	2	2	Jalan Leban	2
8	Prince George's Pk	2	2	Prince George's Park	2
9	S'goon Ave 1 (Blk 401, 408)	1	2	Serangoon Avenue 1 (Blk 401)	1
				Serangoon Avenue 1 (Blk 408)	1
10	S'goon Ave 3 (Blk 328, 331)	2	2	Serangoon Avenue 3 (Blk 328)	1
				Serangoon Avenue 3 (Blk 331)	1
11	Tah Ching Rd (Blk 321, 332)	2	2	Tah Ching Road (Blk 321)	1
				Tah Ching Road (Blk 332)	1

12	Woodlands Dr 52 (Blk 620)	2	2	Woodlands Drive 52 (Blk 620)	2
13	Yishun St 21 (Blk 214, 215)	2	2	Yishun Street 21 (Blk 214)	1
				Yishun Street 21 (Blk 215)	1

For a list of clusters under surveillance, please click here.

Dengue

You are now reading:

Dengue Clusters

Dengue Clusters

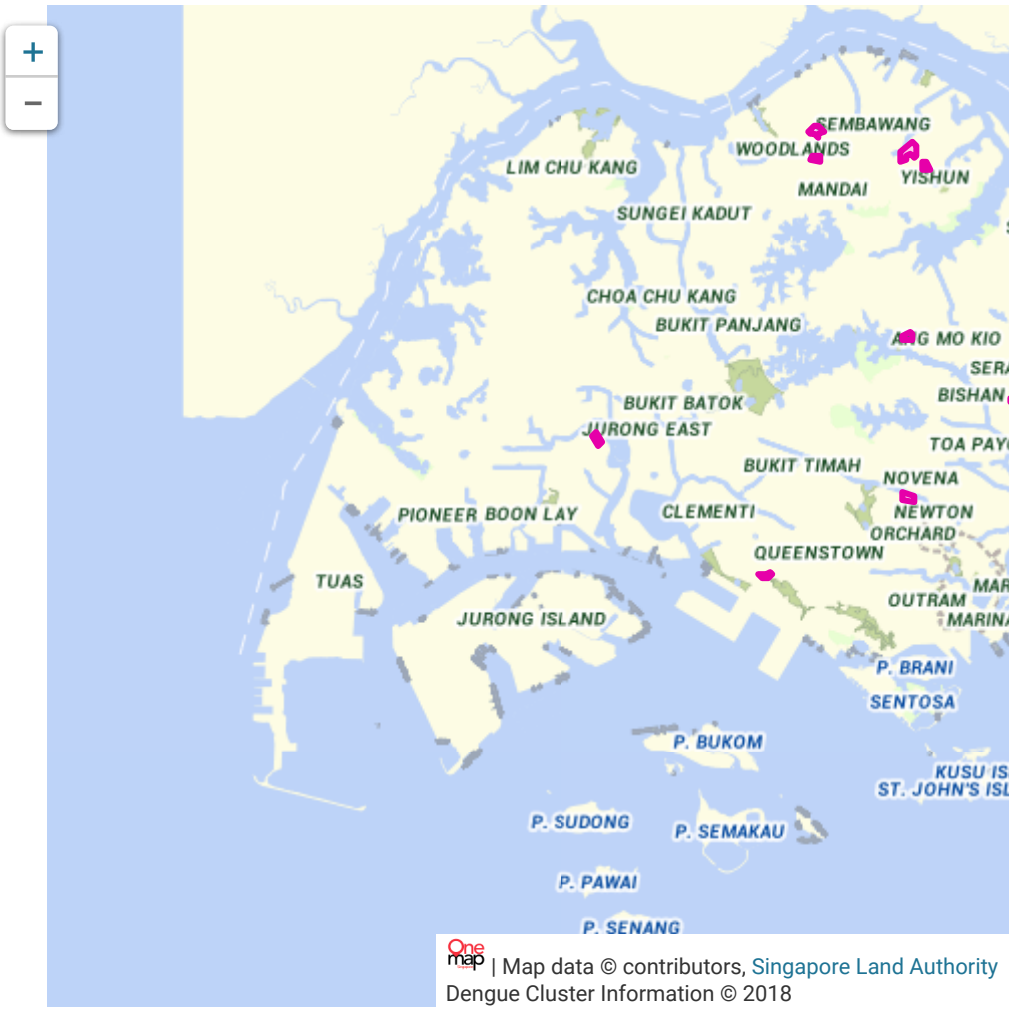

(Map data is updated at 1am. Kindly clear your internet browser cache after each visit, in order to view the latest information.)

Operationally, a dengue cluster indicates a locality with active transmission where intervention is targeted. It is formed when two or more cases have onset within 14 days and are located within 150m of each other (based on residential and workplace addresses as well as movement history). The clusters are categorised according to their current status. There are 3 alert levels:

Definition	Alert Level
High-risk area with 10 or more cases	**Red**
High-risk area with less than 10 cases	**Yellow**

No new cases, under surveillance for the next 21 days	**Green**

Each cluster map illustrates the extent of NEA's current vector control intervention. Please click on the cluster location to view the respective map.

The information provided in this listing is accurate as at 28 Sep 2018

S/N	Alert Level	Locality	Cases with onset in last 2 weeks	Cases since start of cluster	Breakdown	
					Location	No. of Cases
1		Canberra Dr (1 Canberra, Eight Courtyards) / Yishun Ave 7 / Yishun Ave 7 (Blk 170, 171, 172, 173, 174) / Yishun Ring Rd (Blk 120, 165, 166)	7	53	Canberra Drive (1 Canberra)	1
					Canberra Drive (Eight Courtyards)	1
					Yishun Avenue 7	3
					Yishun Avenue 7 (Blk 170)	4
					Yishun Avenue 7 (Blk 171)	1
					Yishun Avenue 7 (Blk 172)	7
					Yishun Avenue 7 (Blk 173)	14
					Yishun Avenue 7 (Blk 174)	6
					Yishun	1

				Ring Road (Blk 120)	
				Yishun Ring Road (Blk 165)	1
				Yishun Ring Road (Blk 166)	14
2	Woodlands Circle (Blk 728, 732, 733)	4	5	Woodlands Circle (Blk 728)	1
				Woodlands Circle (Blk 732)	2
				Woodlands Circle (Blk 733)	2
3	Bt Timah Rd / Bt Timah Rd (Madison Residences) / Keng Chin Rd (Cyan)	1	3	Bukit Timah Road	1
				Bukit Timah Road (Madison Residences)	1
				Keng Chin Road (Cyan)	1
4	Green Ln / Rose Ln	2	2	Green Lane	1
				Rose Lane	1
5	Jln Leban	2	2	Jalan Leban	2
6	Lor H Telok Kurau / Telok Kurau Rd	2	2	Lorong H Telok Kurau	1
				Telok Kurau Road	1

7	Prince George's Pk	2	2	Prince George's Park	2
8	S'goon Ave 3 (Blk 328, 331)	2	2	Serangoon Avenue 3 (Blk 328)	1
				Serangoon Avenue 3 (Blk 331)	1
9	Tah Ching Rd (Blk 321, 332)	2	2	Tah Ching Road (Blk 321)	1
				Tah Ching Road (Blk 332)	1
10	Woodlands Dr 52 (Blk 620)	2	2	Woodlands Drive 52 (Blk 620)	2
11	Yishun St 21 (Blk 214, 215)	2	2	Yishun Street 21 (Blk 214)	1
				Yishun Street 21 (Blk 215)	1

For a list of clusters under surveillance, please click here.

Dengue

You are now reading:

Dengue Clusters

Dengue Clusters

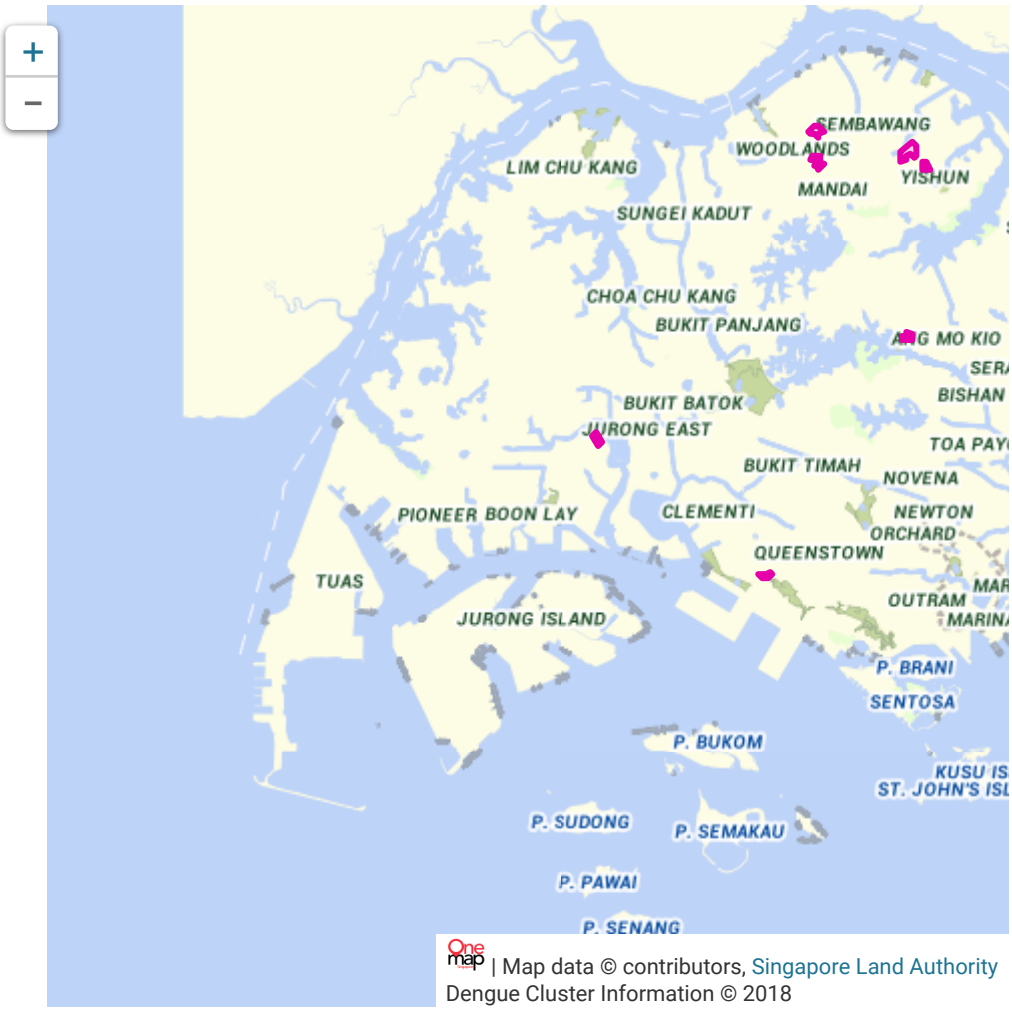

(Map data is updated at 1am. Kindly clear your internet browser cache after each visit, in order to view the latest information.)

Operationally, a dengue cluster indicates a locality with active transmission where intervention is targeted. It is formed when two or more cases have onset within 14 days and are located within 150m of each other (based on residential and workplace addresses as well as movement history). The clusters are categorised according to their current status. There are 3 alert levels:

Definition	Alert Level
High-risk area with 10 or more cases	**Red**
High-risk area with less than 10 cases	**Yellow**

No new cases, under surveillance for the next 21 days	**Green**

Each cluster map illustrates the extent of NEA's current vector control intervention. Please click on the cluster location to view the respective map.

The information provided in this listing is accurate as at 01 Oct 2018

S/N	Alert Level	Locality	Cases with onset in last 2 weeks	Cases since start of cluster	Breakdown	
					Location	No. of Cases
1		Canberra Dr (1 Canberra, Eight Courtyards) / Yishun Ave 7 / Yishun Ave 7 (Blk 170, 171, 172, 173, 174) / Yishun Ring Rd (Blk 120, 165, 166)	3	55	Canberra Drive (1 Canberra)	1
					Canberra Drive (Eight Courtyards)	1
					Yishun Avenue 7	4
					Yishun Avenue 7 (Blk 170)	4
					Yishun Avenue 7 (Blk 171)	1
					Yishun Avenue 7 (Blk 172)	7
					Yishun Avenue 7 (Blk 173)	15
					Yishun Avenue 7 (Blk 174)	6
					Yishun Ring Road	1

				(Blk 120)	
				Yishun Ring Road (Blk 165)	1
				Yishun Ring Road (Blk 166)	14
2	Woodlands Circle (Blk 728, 732, 733)	4	5	Woodlands Circle (Blk 728)	1
				Woodlands Circle (Blk 732)	2
				Woodlands Circle (Blk 733)	2
3	Jln Leban	3	3	Jalan Leban	3
4	Green Ln / Rose Ln	2	2	Green Lane	1
				Rose Lane	1
5	Lor H Telok Kurau / Telok Kurau Rd	1	2	Lorong H Telok Kurau	1
				Telok Kurau Road	1
6	Prince George's Pk	1	2	Prince George's Park	2
7	Tah Ching Rd (Blk 321, 332)	2	2	Tah Ching Road (Blk 321)	1
				Tah Ching Road (Blk 332)	1
8	Woodlands Ave 5 (Bellewoods) / Woodlands Ave	2	2	Woodlands Avenue 5 (Bellewoods)	1

	6 (Twin Fountains)			Woodlands Avenue 6 (Twin Fountains)	1
9	Woodlands Dr 52 (Blk 620)	1	2	Woodlands Drive 52 (Blk 620)	2
10	Yishun St 21 (Blk 214, 215)	1	2	Yishun Street 21 (Blk 214)	1
				Yishun Street 21 (Blk 215)	1

For a list of clusters under surveillance, please click here.

Dengue

You are now reading:

Dengue Clusters

Dengue Clusters

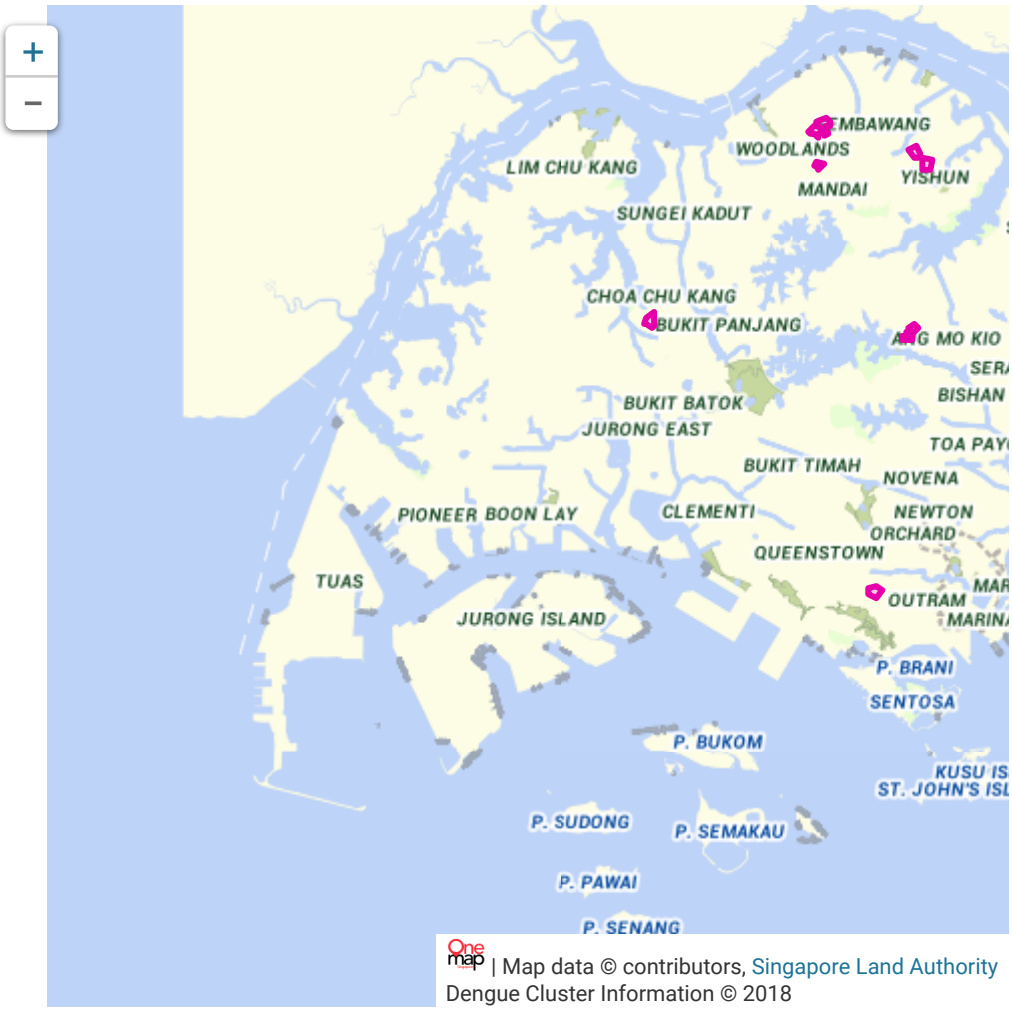

(Map data is updated at 1am. Kindly clear your internet browser cache after each visit, in order to view the latest information.)

Operationally, a dengue cluster indicates a locality with active transmission where intervention is targeted. It is formed when two or more cases have onset within 14 days and are located within 150m of each other (based on residential and workplace addresses as well as movement history). The clusters are categorised according to their current status. There are 3 alert levels:

Definition	Alert Level
High-risk area with 10 or more cases	**Red**
High-risk area with less than 10 cases	**Yellow**

No new cases, under surveillance for the next 21 days	**Green**

Each cluster map illustrates the extent of NEA's current vector control intervention. Please click on the cluster location to view the respective map.

The information provided in this listing is accurate as at 05 Oct 2018

S/N	Alert Level	Locality	Cases with onset in last 2 weeks	Cases since start of cluster	Breakdown	
					Location	No. of Cases
1		Woodlands Circle (Blk 728, 732, 733)	3	7	Woodlands Circle (Blk 728)	1
					Woodlands Circle (Blk 732)	2
					Woodlands Circle (Blk 733)	4
2		Woodlands Cres (Blk 787B, 788B) / Woodlands Dr 60 (Blk 786B, 786D)	3	5	Woodlands Crescent (Blk 787B)	2
					Woodlands Crescent (Blk 788B)	1
					Woodlands Drive 60 (Blk 786B)	1
					Woodlands Drive 60 (Blk 786D)	1
3		Jln Leban	1	3	Jalan Leban	3
4		Redhill Cl (Blk 89, 90)	2	3	Redhill Close (Blk 89)	1

				Redhill Close (Blk 90)	2
5	Yishun Ave 7 (Blk 174, 175) / Yishun Ring Rd (Blk 167)	3	3	Yishun Avenue 7 (Blk 174)	1
				Yishun Avenue 7 (Blk 175)	1
				Yishun Ring Road (Blk 167)	1
6	Yishun St 21 (Blk 214, 215, 216)	1	3	Yishun Street 21 (Blk 214)	1
				Yishun Street 21 (Blk 215)	1
				Yishun Street 21 (Blk 216)	1
7	Choa Chu Kang Ave 2 / Choa Chu Kang Ave 2 (Blk 275)	1	2	Choa Chu Kang Avenue 2	1
				Choa Chu Kang Avenue 2 (Blk 275)	1
8	Jln Tarum / Thomson Walk	2	2	Jalan Tarum	1
				Thomson Walk	1
9	Pasir Ris Dr 10 (Blk 703, 737)	2	2	Pasir Ris Drive 10 (Blk 703)	1
				Pasir Ris Drive 10 (Blk 737)	1

10	Woodlands Ave 5 (Bellewoods) / Woodlands Ave 6 (Twin Fountains)	2	2	Woodlands Avenue 5 (Bellewoods)	1
				Woodlands Avenue 6 (Twin Fountains)	1

For a list of clusters under surveillance, please click here.

Dengue

You are now reading:

Dengue Clusters

Dengue Clusters

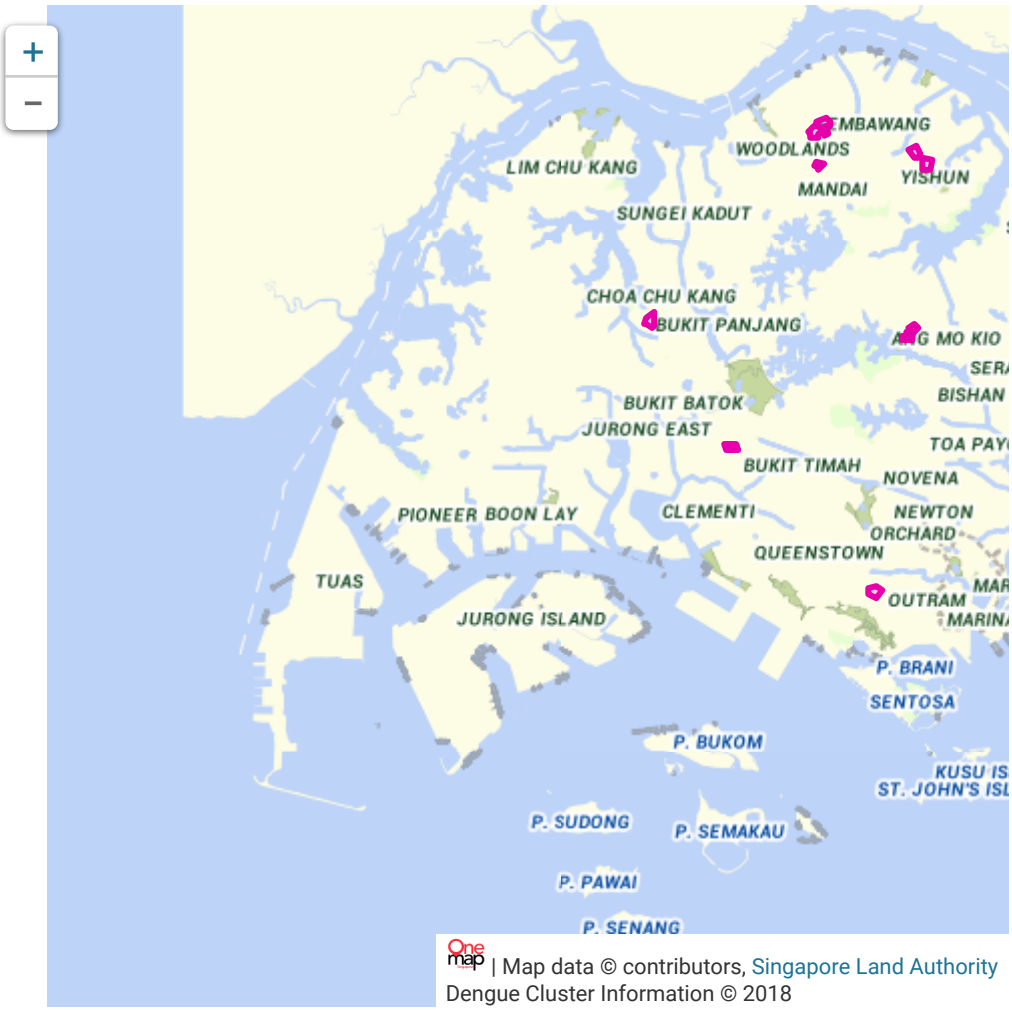

(Map data is updated at 1am. Kindly clear your internet browser cache after each visit, in order to view the latest information.)

Operationally, a dengue cluster indicates a locality with active transmission where intervention is targeted. It is formed when two or more cases have onset within 14 days and are located within 150m of each other (based on residential and workplace addresses as well as movement history). The clusters are categorised according to their current status. There are 3 alert levels:

Definition	Alert Level
High-risk area with 10 or more cases	**Red**
High-risk area with less than 10 cases	**Yellow**

	No new cases, under surveillance for the next 21 days	**Green**

Each cluster map illustrates the extent of NEA's current vector control intervention. Please click on the cluster location to view the respective map.

The information provided in this listing is accurate as at 08 Oct 2018

S/N	Alert Level	Locality	Cases with onset in last 2 weeks	Cases since start of cluster	Breakdown	
					Location	No. of Cases
1		Woodlands Circle (Blk 728, 729, 732, 733)	3	8	Woodlands Circle (Blk 728)	1
					Woodlands Circle (Blk 729)	1
					Woodlands Circle (Blk 732)	2
					Woodlands Circle (Blk 733)	4
2		Woodlands Cres (Blk 787B, 788B) / Woodlands Dr 60 (Blk 786B, 786D)	1	5	Woodlands Crescent (Blk 787B)	2
					Woodlands Crescent (Blk 788B)	1
					Woodlands Drive 60 (Blk 786B)	1
					Woodlands Drive 60 (Blk 786D)	1
3		Eng Kong Cres, Gdn	1	3	Eng Kong Crescent	2

				Eng Kong Garden	1
4	Jln Leban	1	3	Jalan Leban	3
5	Redhill Cl (Blk 89, 90)	2	3	Redhill Close (Blk 89)	1
				Redhill Close (Blk 90)	2
6	Yishun Ave 7 (Blk 174, 175) / Yishun Ring Rd (Blk 167)	3	3	Yishun Avenue 7 (Blk 174)	1
				Yishun Avenue 7 (Blk 175)	1
				Yishun Ring Road (Blk 167)	1
7	Yishun St 21 (Blk 214, 215, 216)	1	3	Yishun Street 21 (Blk 214)	1
				Yishun Street 21 (Blk 215)	1
				Yishun Street 21 (Blk 216)	1
8	Choa Chu Kang Ave 2 / Choa Chu Kang Ave 2 (Blk 275)	1	2	Choa Chu Kang Avenue 2	1
				Choa Chu Kang Avenue 2 (Blk 275)	1
9	Jln Tarum / Thomson Walk	2	2	Jalan Tarum	1
				Thomson	1

				Walk	
10	Pasir Ris Dr 10 (Blk 703, 737)	1	2	Pasir Ris Drive 10 (Blk 703)	1
				Pasir Ris Drive 10 (Blk 737)	1
11	Woodlands Ave 5 (Bellewoods) / Woodlands Ave 6 (Twin Fountains)	1	2	Woodlands Avenue 5 (Bellewoods)	1
				Woodlands Avenue 6 (Twin Fountains)	1

For a list of clusters under surveillance, please click here.

Dengue

You are now reading:

Dengue Clusters

Dengue Clusters

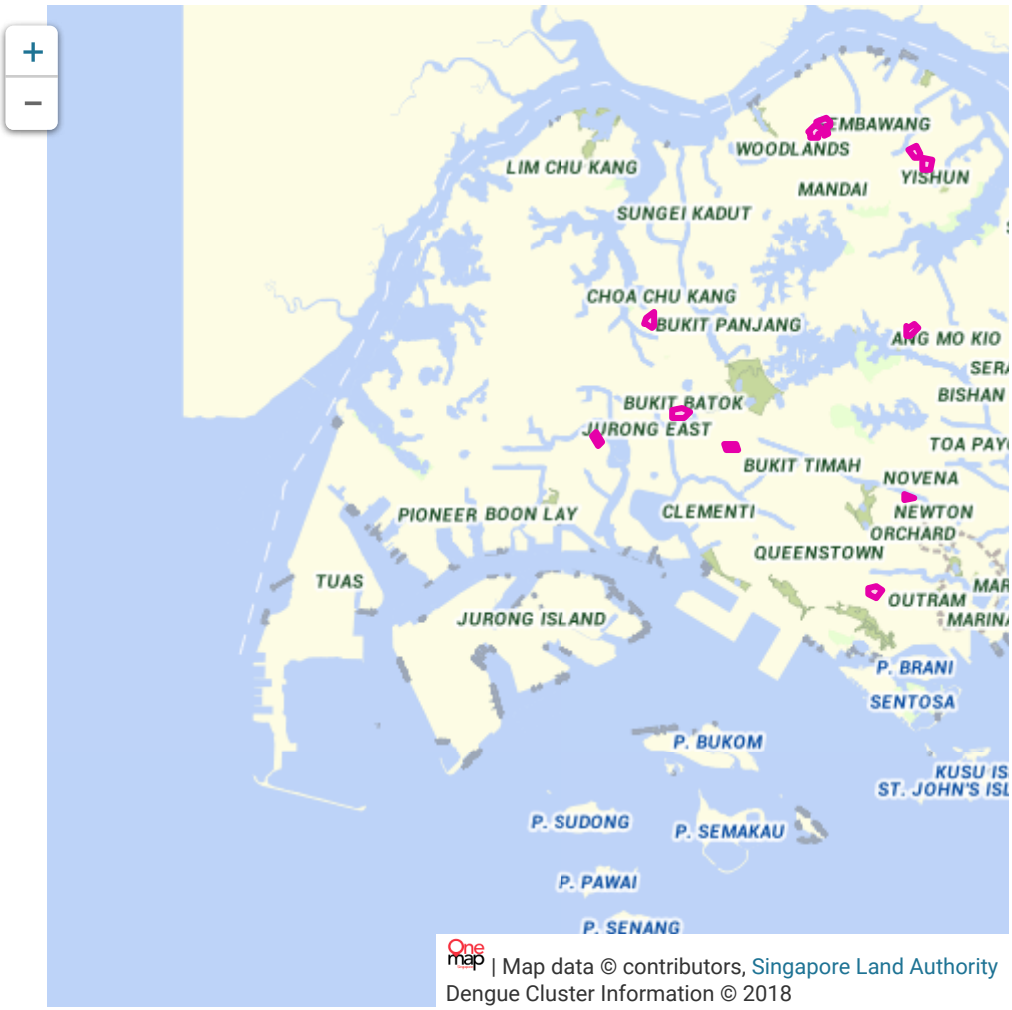

(Map data is updated at 1am. Kindly clear your internet browser cache after each visit, in order to view the latest information.)

Operationally, a dengue cluster indicates a locality with active transmission where intervention is targeted. It is formed when two or more cases have onset within 14 days and are located within 150m of each other (based on residential and workplace addresses as well as movement history). The clusters are categorised according to their current status. There are 3 alert levels:

Definition	Alert Level
High-risk area with 10 or more cases	**Red**
High-risk area with less than 10 cases	**Yellow**

	No new cases, under surveillance for the next 21 days	**Green**

Each cluster map illustrates the extent of NEA's current vector control intervention. Please click on the cluster location to view the respective map.

The information provided in this listing is accurate as at 12 Oct 2018

S/N	Alert Level	Locality	Cases with onset in last 2 weeks	Cases since start of cluster	Breakdown	
					Location	No. of Cases
1		Woodlands Circle / Woodlands Circle (Blk 728, 729, 732, 733)	4	10	Woodlands Circle	1
					Woodlands Circle (Blk 728)	1
					Woodlands Circle (Blk 729)	1
					Woodlands Circle (Blk 732)	2
					Woodlands Circle (Blk 733)	5
2		Eng Kong Cres, Gdn	3	5	Eng Kong Crescent	4
					Eng Kong Garden	1
3		Jln Gelenggang, Tarum / Sembawang Hills Dr / Thomson Walk	3	4	Jalan Gelenggang	1
					Jalan Tarum	1
					Sembawang Hills Drive	1
					Thomson	1

				Walk	
4	Yishun St 21 (Blk 214, 215, 216)	2	4	Yishun Street 21 (Blk 214)	1
				Yishun Street 21 (Blk 215)	1
				Yishun Street 21 (Blk 216)	2
5	Bt Batok St 21 / Bt Batok St 21 (Blk 212, 215)	2	3	Bukit Batok Street 21	1
				Bukit Batok Street 21 (Blk 212)	1
				Bukit Batok Street 21 (Blk 215)	1
6	Redhill Cl (Blk 89, 90)	1	3	Redhill Close (Blk 89)	1
				Redhill Close (Blk 90)	2
7	Tah Ching Rd (Blk 321, 332)	1	3	Tah Ching Road (Blk 321)	1
				Tah Ching Road (Blk 332)	2
8	Yishun Ave 7 (Blk 174, 175) / Yishun Ring Rd (Blk 167)	2	3	Yishun Avenue 7 (Blk 174)	1
				Yishun Avenue 7 (Blk 175)	1
				Yishun	1

				Ring Road (Blk 167)	
9	Bishan St 11 (Bishan Loft)	2	2	Bishan Street 11 (Bishan Loft)	2
10	Jln Tenaga (Blk 658)	1	2	Jalan Tenaga (Blk 658)	2

For a list of clusters under surveillance, please click here.

Dengue

You are now reading:

Dengue Clusters

Dengue Clusters

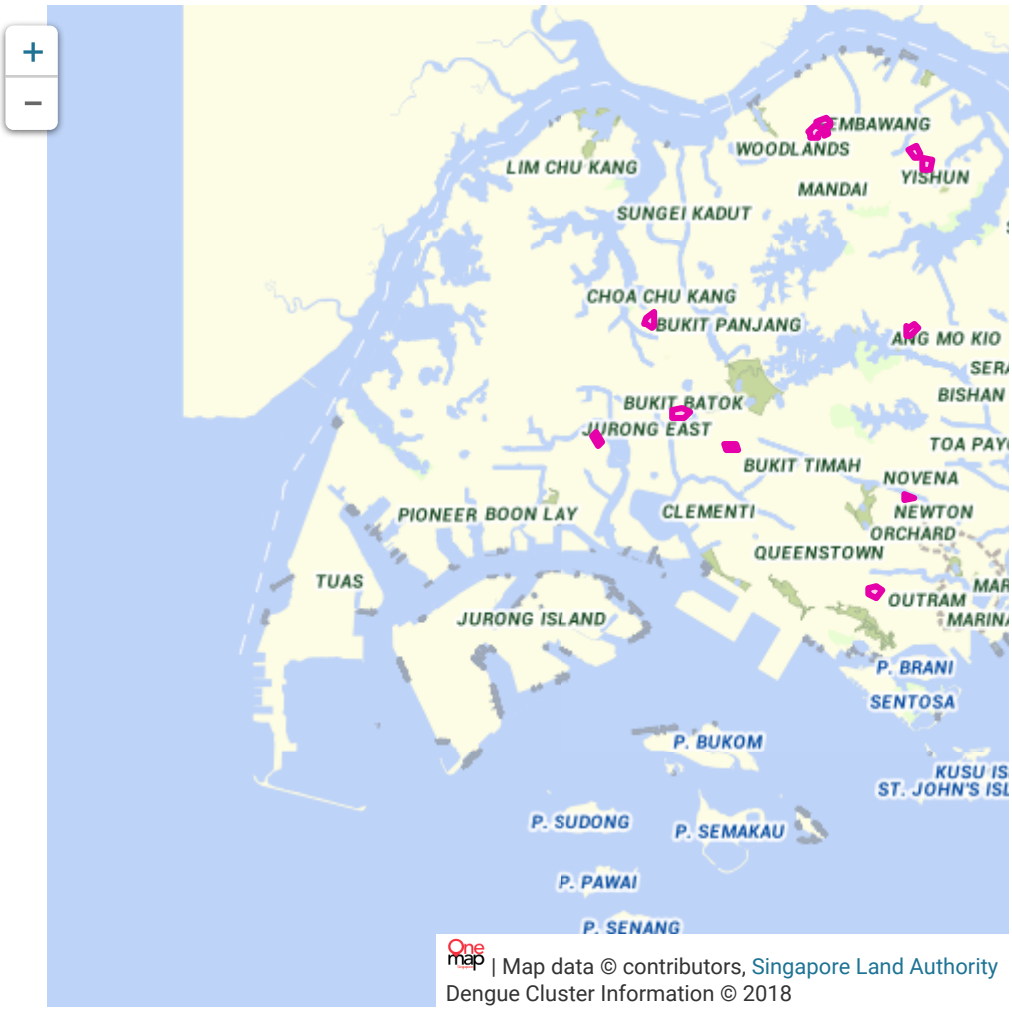

(Map data is updated at 1am. Kindly clear your internet browser cache after each visit, in order to view the latest information.)

Operationally, a dengue cluster indicates a locality with active transmission where intervention is targeted. It is formed when two or more cases have onset within 14 days and are located within 150m of each other (based on residential and workplace addresses as well as movement history). The clusters are categorised according to their current status. There are 3 alert levels:

Definition	Alert Level
High-risk area with 10 or more cases	**Red**
High-risk area with less than 10 cases	**Yellow**

	No new cases, under surveillance for the next 21 days	**Green**

Each cluster map illustrates the extent of NEA's current vector control intervention. Please click on the cluster location to view the respective map.

The information provided in this listing is accurate as at 15 Oct 2018

S/N	Alert Level	Locality	Cases with onset in last 2 weeks	Cases since start of cluster	Breakdown	
					Location	No. of Cases
1		Woodlands Circle / Woodlands Circle (Blk 728, 729, 732, 733)	3	10	Woodlands Circle	1
					Woodlands Circle (Blk 728)	1
					Woodlands Circle (Blk 729)	1
					Woodlands Circle (Blk 732)	2
					Woodlands Circle (Blk 733)	5
2		Eng Kong Cres, Gdn	3	5	Eng Kong Crescent	4
					Eng Kong Garden	1
3		Jln Gelenggang, Tarum / Sembawang Hills Dr / Thomson Walk	3	4	Jalan Gelenggang	1
					Jalan Tarum	1
					Sembawang Hills Drive	1
					Thomson	1

				Walk	
4	Yishun St 21 (Blk 214, 215, 216)	2	4	Yishun Street 21 (Blk 214)	1
				Yishun Street 21 (Blk 215)	1
				Yishun Street 21 (Blk 216)	2
5	Jln Tenaga (Blk 657, 658)	3	4	Jalan Tenaga (Blk 657)	2
				Jalan Tenaga (Blk 658)	2
6	Bt Batok St 21 / Bt Batok St 21 (Blk 212, 215)	2	3	Bukit Batok Street 21	1
				Bukit Batok Street 21 (Blk 212)	1
				Bukit Batok Street 21 (Blk 215)	1
7	Redhill Cl (Blk 89, 90)	1	3	Redhill Close (Blk 89)	1
				Redhill Close (Blk 90)	2
8	Tah Ching Rd (Blk 321, 332)	1	3	Tah Ching Road (Blk 321)	1
				Tah Ching Road (Blk 332)	2
9	Woodlands Ave 5 (Bellewoods) /	1	3	Woodlands Avenue 5 (Bellewoods)	2

	Woodlands Ave 6 (Twin Fountains)			Woodlands Avenue 6 (Twin Fountains)	1
10	Bishan St 11 (Bishan Loft)	2	2	Bishan Street 11 (Bishan Loft)	2
11	Bukit Batok St 21 (Blk 201, 206)	2	2	Bukit Batok Street 21 (Blk 201)	1
				Bukit Batok Street 21 (Blk 206)	1

For a list of clusters under surveillance, please click here.

Dengue

You are now reading:

Dengue Clusters

Dengue Clusters

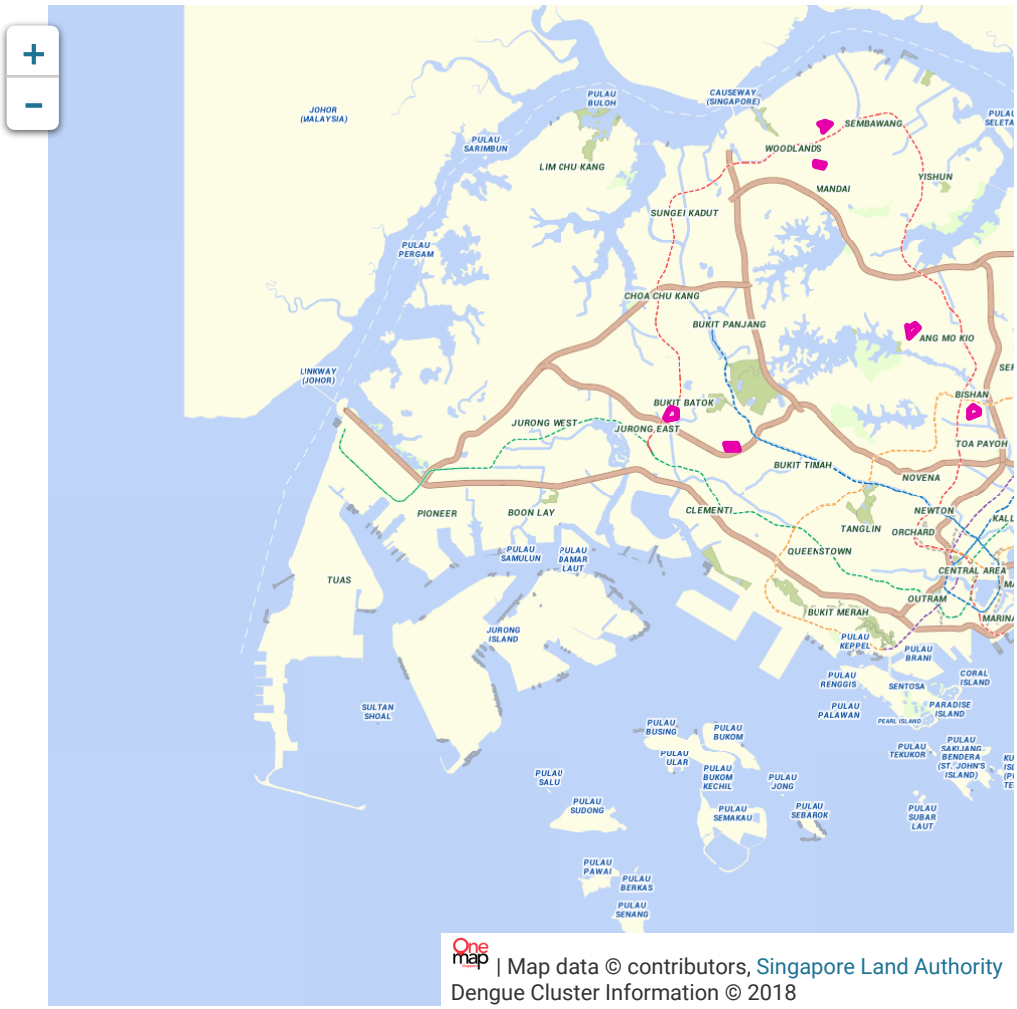

(Map data is updated at 1am. Kindly clear your internet browser cache after each visit, in order to view the latest information.)

Operationally, a dengue cluster indicates a locality with active transmission where intervention is targeted. It is formed when two or more cases have onset within 14 days and are located within 150m of each other (based on residential and workplace addresses as well as movement history). The clusters are categorised according to their current status. There are 3 alert levels:

Definition	Alert Level
High-risk area with 10 or more cases	**Red**
High-risk area with less than 10 cases	**Yellow**

	No new cases, under surveillance for the next 21 days	**Green**

Each cluster map illustrates the extent of NEA's current vector control intervention. Please click on the cluster location to view the respective map.

The information provided in this listing is accurate as at 19 Oct 2018

S/N	Alert Level	Locality	Cases with onset in last 2 weeks	Cases since start of cluster	Breakdown	
					Location	No. of Cases
1		Jln Damai (Blk 665) / Jln Tenaga (Blk 656, 657, 658)	8	9	Jalan Damai (Blk 665)	1
					Jalan Tenaga (Blk 656)	2
					Jalan Tenaga (Blk 657)	2
					Jalan Tenaga (Blk 658)	4
2		Eng Kong Cres, Gdn	3	5	Eng Kong Crescent	4
					Eng Kong Garden	1
3		Jln Gelenggang, Tarum / Sembawang Hills Dr / Thomson Walk	2	5	Jalan Gelenggang	2
					Jalan Tarum	1
					Sembawang Hills Drive	1
					Thomson Walk	1
4		Woodlands Ave 5 (Bellewoods) / Woodlands	3	5	Woodlands Avenue 5 (Bellewoods)	4
					Woodlands	1

	Ave 6 (Twin Fountains)			Avenue 6 (Twin Fountains)	
5	Woodlands Cres (Blk 787C, 787D)	5	5	Woodlands Cresent (Blk 787C)	3
				Woodlands Cresent (Blk 787D)	2
6	Bishan St 11 (Bishan Loft)	3	3	Bishan Street 11 (Bishan Loft)	3
7	Bukit Batok St 21 (Blk 201, 206)	3	3	Bukit Batok Street 21 (Blk 201)	1
				Bukit Batok Street 21 (Blk 206)	2
8	Bayshore Rd (Bayshore Pk, The Bayshore)	2	2	Bayshore Road (Bayshore Park, The Bayshore)	2

For a list of clusters under surveillance, please click here.

Dengue

You are now reading:

Dengue Clusters

Dengue Clusters

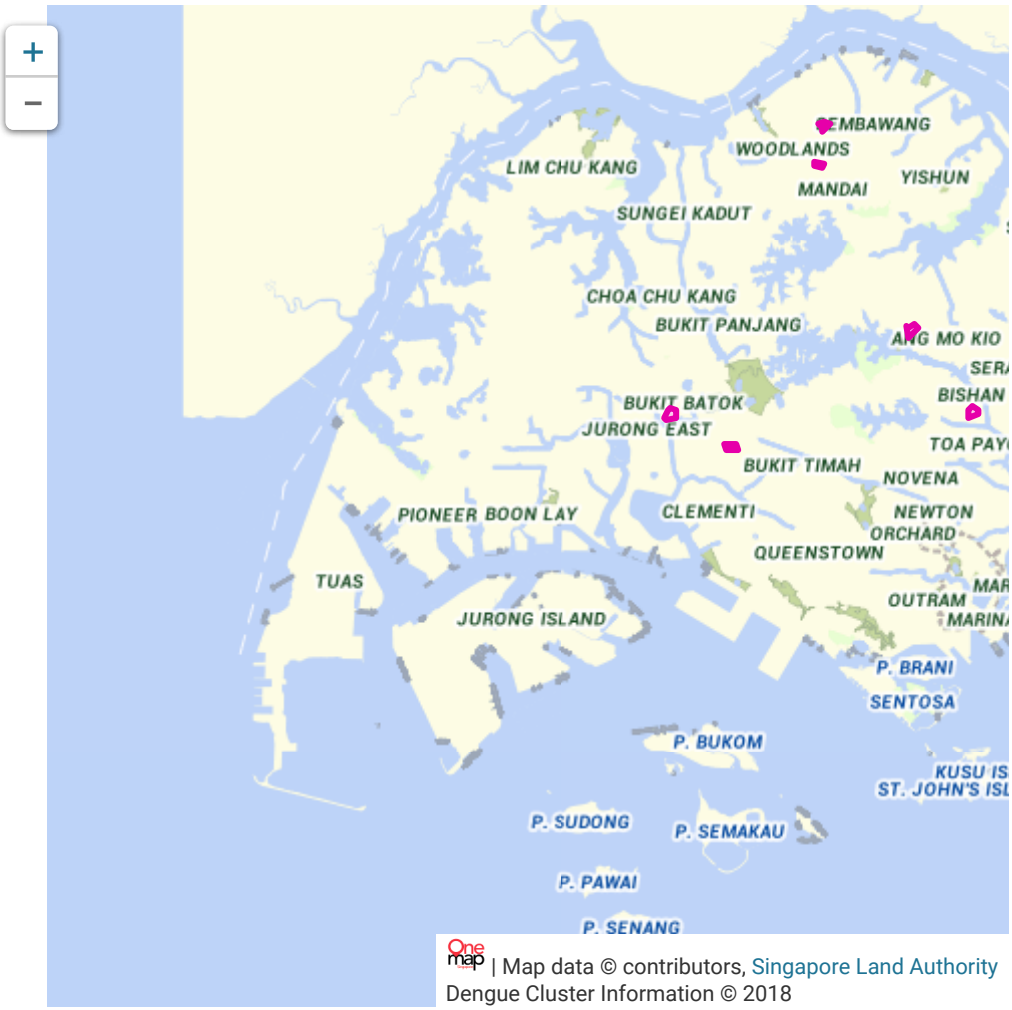

(Map data is updated at 1am. Kindly clear your internet browser cache after each visit, in order to view the latest information.)

Operationally, a dengue cluster indicates a locality with active transmission where intervention is targeted. It is formed when two or more cases have onset within 14 days and are located within 150m of each other (based on residential and workplace addresses as well as movement history). The clusters are categorised according to their current status. There are 3 alert levels:

Definition	Alert Level
High-risk area with 10 or more cases	**Red**
High-risk area with less than 10 cases	**Yellow**

No new cases, under surveillance for the next 21 days	**Green**

Each cluster map illustrates the extent of NEA's current vector control intervention. Please click on the cluster location to view the respective map.

The information provided in this listing is accurate as at 22 Oct 2018

S/N	Alert Level	Locality	Cases with onset in last 2 weeks	Cases since start of cluster	Breakdown	
					Location	No. of Cases
1		Jln Damai (Blk 665) / Jln Tenaga (Blk 656, 657, 658)	5	9	Jalan Damai (Blk 665)	1
					Jalan Tenaga (Blk 656)	2
					Jalan Tenaga (Blk 657)	2
					Jalan Tenaga (Blk 658)	4
2		Eng Kong Cres, Gdn	1	5	Eng Kong Crescent	4
					Eng Kong Garden	1
3		Jln Gelenggang, Tarum / Sembawang Hills Dr / Thomson Walk	1	5	Jalan Gelenggang	2
					Jalan Tarum	1
					Sembawang Hills Drive	1
					Thomson Walk	1
4		Woodlands Ave 5 (Bellewoods) / Woodlands	3	5	Woodlands Avenue 5 (Bellewoods)	4
					Woodlands	1

	Ave 6 (Twin Fountains)			Avenue 6 (Twin Fountains)	
5	Woodlands Cres (Blk 787C, 787D)	4	5	Woodlands Cresent (Blk 787C)	3
				Woodlands Cresent (Blk 787D)	2
6	Bishan St 11 (Bishan Loft)	3	3	Bishan Street 11 (Bishan Loft)	3
7	Bt Batok St 21 (Blk 201, 206)	1	3	Bukit Batok Street 21 (Blk 201)	1
				Bukit Batok Street 21 (Blk 206)	2
8	Bayshore Rd (Bayshore Pk, The Bayshore)	2	2	Bayshore Road (Bayshore Park, The Bayshore)	2
9	Holland Hill (Parvis) / Jln Hitam Manis	2	2	Holland Hill (Parvis)	1
				Jalan Hitam Manis	1

For a list of clusters under surveillance, please click here.

Dengue

You are now reading:

Dengue Clusters

Dengue Clusters

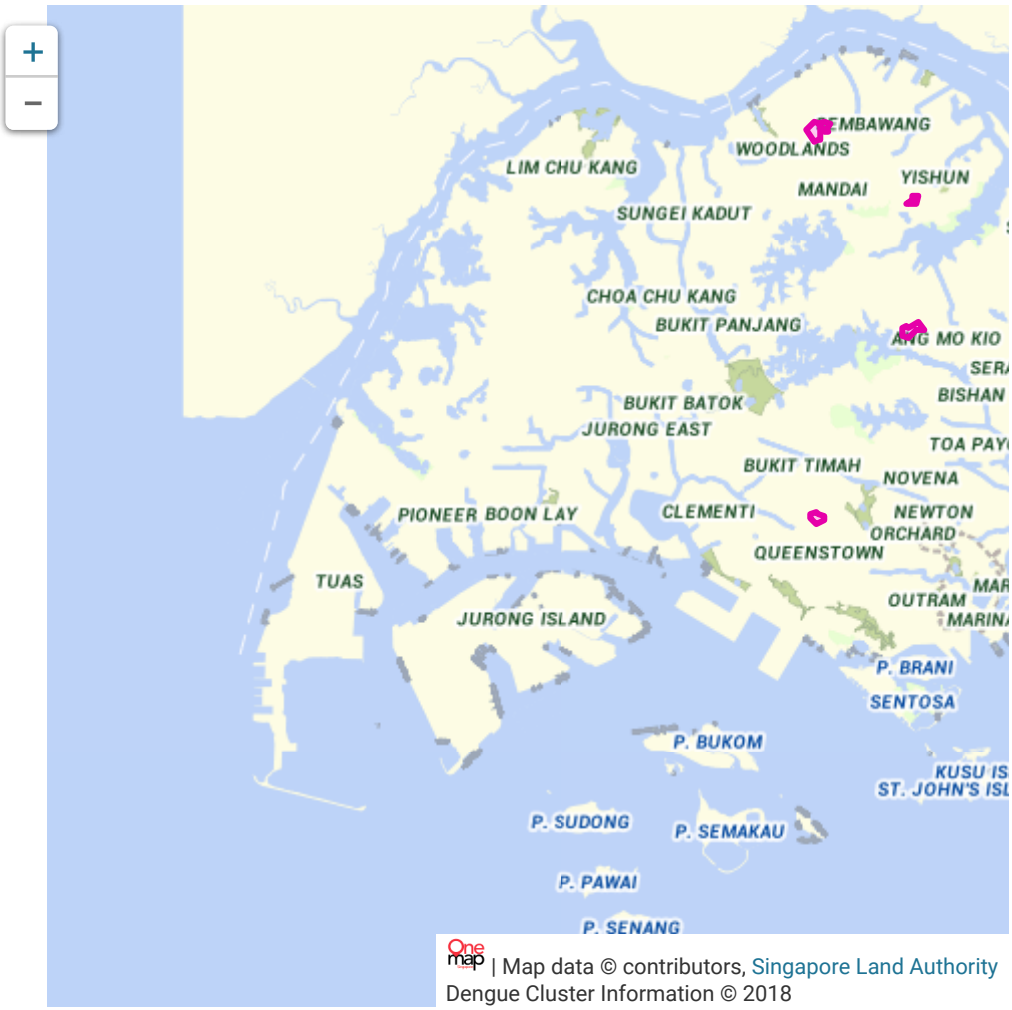

(Map data is updated at 1am. Kindly clear your internet browser cache after each visit, in order to view the latest information.)

Operationally, a dengue cluster indicates a locality with active transmission where intervention is targeted. It is formed when two or more cases have onset within 14 days and are located within 150m of each other (based on residential and workplace addresses as well as movement history). The clusters are categorised according to their current status. There are 3 alert levels:

Definition	Alert Level
High-risk area with 10 or more cases	**Red**
High-risk area with less than 10 cases	**Yellow**

	No new cases, under surveillance for the next 21 days	**Green**

Each cluster map illustrates the extent of NEA's current vector control intervention. Please click on the cluster location to view the respective map.

The information provided in this listing is accurate as at 26 Oct 2018

S/N	Alert Level	Locality	Cases with onset in last 2 weeks	Cases since start of cluster	Breakdown	
					Location	No. of Cases
1		Jln Damai (Blk 665) / Jln Tenaga (Blk 656, 657, 658)	7	12	Jalan Damai (Blk 665)	1
					Jalan Tenaga (Blk 656)	2
					Jalan Tenaga (Blk 657)	2
					Jalan Tenaga (Blk 658)	7
2		Ang Mo Kio Ave 2 / Jln Gelenggang, Kuras, Tarum / Sembawang Hills Dr / Thomson Walk	4	9	Ang Mo Kio Avenue 2	1
					Jalan Gelenggang	4
					Jalan Kuras	1
					Jalan Tarum	1
					Sembawang Hills Drive	1
					Thomson Walk	1
3		Woodlands Circle (Blk 730,	7	8	Woodlands Circle	1

	733, 738) / Woodlands Dr 70 (Blk 714)			(Blk 730)	
				Woodlands Circle (Blk 733)	5
				Woodlands Circle (Blk 738)	1
				Woodlands Drive 70 (Blk 714)	1
4	Woodlands Cres (Blk 787B, 787C, 787D, 787E)	5	7	Woodlands Cresent (Blk 787B)	1
				Woodlands Cresent (Blk 787C)	3
				Woodlands Cresent (Blk 787D)	2
				Woodlands Cresent (Blk 787E)	1
5	Pasir Ris St 51 (Blk 551, 552, 556)	2	4	Pasir Ris Street 51 (Blk 551)	1
				Pasir Ris Street 51 (Blk 552)	2
				Pasir Ris Street 51 (Blk 556)	1
6	Holland Hill (Parvis) / Jln Hitam Manis, Kelabu Asap	3	3	Holland Hill (Parvis)	1
				Jalan Hitam Manis	1
				Jalan	1

				Kelabu Asap	
7	Macpherson Rd / Siang Kuang Ave	2	3	Macpherson Road	2
				Siang Kuang Avenue	1
8	Seletar Nth Lk	2	2	Seletar North Link	2
9	Yishun Ring Rd / Yishun Ring Road (Blk 794)	2	2	Yishun Ring Road	1
				Yishun Ring Road (Blk 794)	1

For a list of clusters under surveillance, please click here.

Dengue

You are now reading:

Dengue Clusters

Dengue Clusters

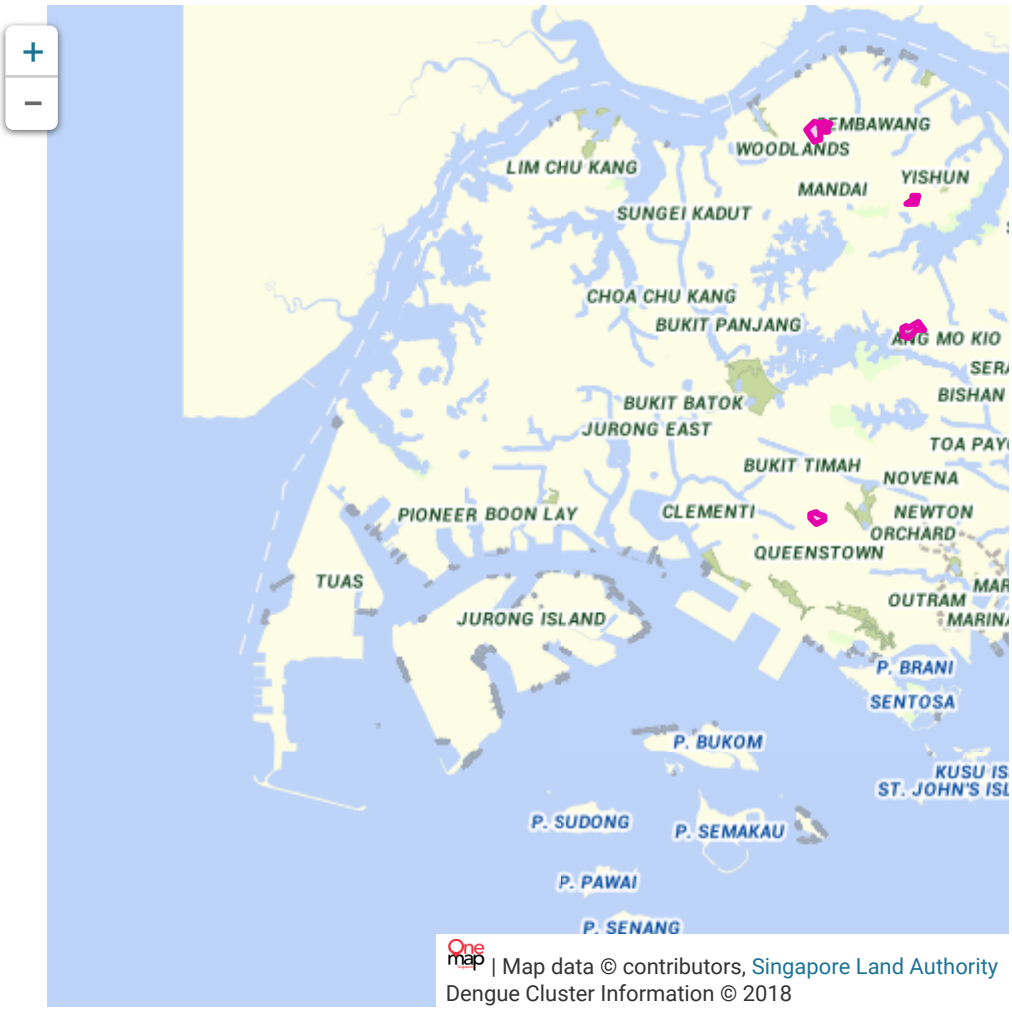

(Map data is updated at 1am. Kindly clear your internet browser cache after each visit, in order to view the latest information.)

Operationally, a dengue cluster indicates a locality with active transmission where intervention is targeted. It is formed when two or more cases have onset within 14 days and are located within 150m of each other (based on residential and workplace addresses as well as movement history). The clusters are categorised according to their current status. There are 3 alert levels:

Definition	Alert Level
High-risk area with 10 or more cases	**Red**
High-risk area with less than 10 cases	**Yellow**

	No new cases, under surveillance for the next 21 days	**Green**

Each cluster map illustrates the extent of NEA's current vector control intervention. Please click on the cluster location to view the respective map.

The information provided in this listing is accurate as at 29 Oct 2018

S/N	Alert Level	Locality	Cases with onset in last 2 weeks	Cases since start of cluster	Breakdown	
					Location	No. of Cases
1		Jln Damai (Blk 665) / Jln Tenaga (Blk 645, 650, 656, 657, 658)	8	14	Jalan Damai (Blk 665)	1
					Jalan Tenaga (Blk 645)	1
					Jalan Tenaga (Blk 650)	1
					Jalan Tenaga (Blk 656)	2
					Jalan Tenaga (Blk 657)	2
					Jalan Tenaga (Blk 658)	7
2		Ang Mo Kio Ave 2 / Jln Gelenggang, Kuras, Tarum / Sembawang Hills Dr / Thomson Walk	4	9	Ang Mo Kio Avenue 2	1
					Jalan Gelenggang	4
					Jalan Kuras	1
					Jalan Tarum	1

				Sembawang Hills Drive	1
				Thomson Walk	1
3	Woodlands Circle (Blk 730, 731, 733, 738) / Woodlands Dr 70 (Blk 714)	8	9	Woodlands Circle (Blk 730)	1
				Woodlands Circle (Blk 731)	1
				Woodlands Circle (Blk 733)	5
				Woodlands Circle (Blk 738)	1
				Woodlands Drive 70 (Blk 714)	1
4	Woodlands Cres (Blk 787B, 787C, 787D, 787E)	6	8	Woodlands Cresent (Blk 787B)	1
				Woodlands Cresent (Blk 787C)	4
				Woodlands Cresent (Blk 787D)	2
				Woodlands Cresent (Blk 787E)	1
5	Pasir Ris St 51 (Blk 551, 552, 556)	2	4	Pasir Ris Street 51 (Blk 551)	1
				Pasir Ris Street 51 (Blk 552)	2

				Pasir Ris Street 51 (Blk 556)	1
6	Holland Hill (Parvis) / Jln Hitam Manis, Kelabu Asap	3	3	Holland Hill (Parvis)	1
				Jalan Hitam Manis	1
				Jalan Kelabu Asap	1
7	Macpherson Rd / Siang Kuang Ave	2	3	Macpherson Road	2
				Siang Kuang Avenue	1
8	Amber Rd (The Sea View, The Shore Residences)	2	2	Amber Road (The Sea View)	1
				Amber Road (The Shore Residences)	1
9	Seletar Nth Lk	2	2	Seletar North Link	2
10	Yishun Ring Rd / Yishun Ring Road (Blk 794)	2	2	Yishun Ring Road	1
				Yishun Ring Road (Blk 794)	1

For a list of clusters under surveillance, please click here.

Dengue

You are now reading:

Dengue Clusters

Dengue Clusters

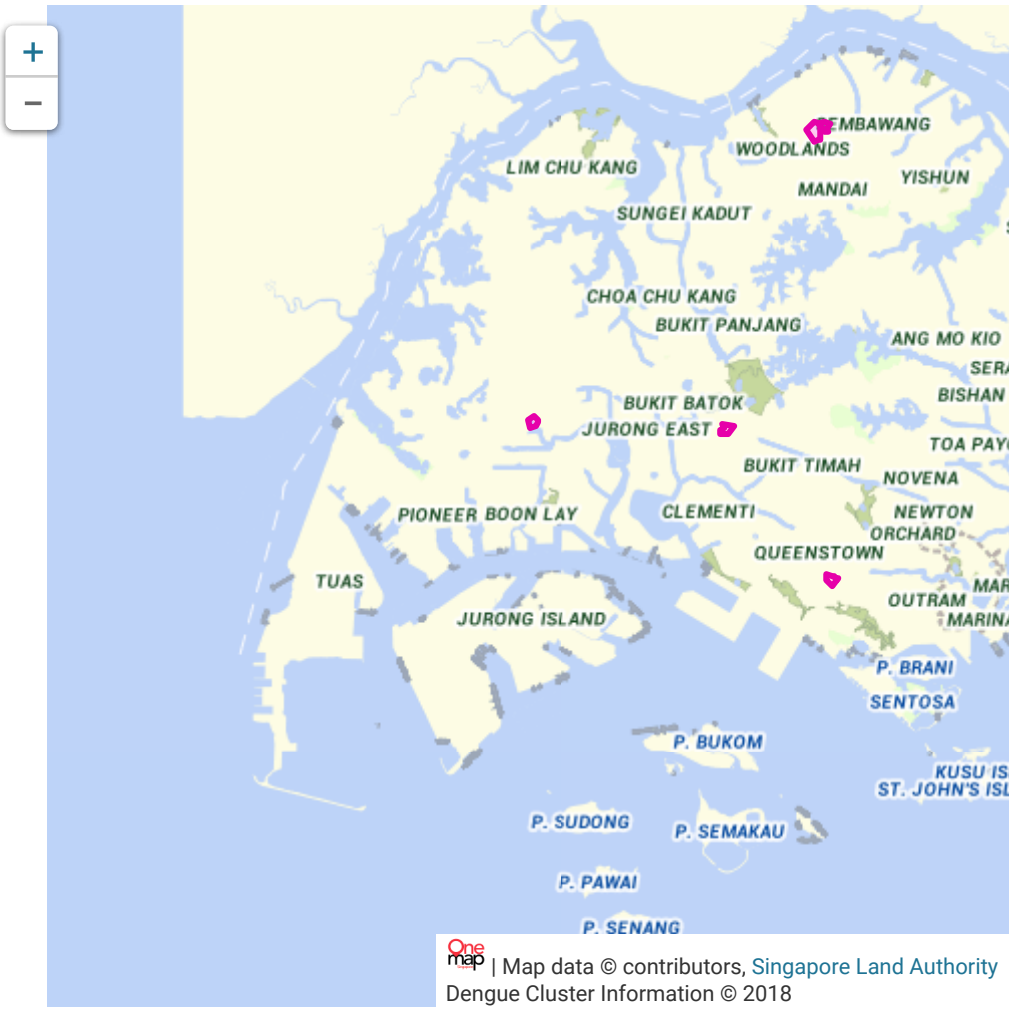

(Map data is updated at 1am. Kindly clear your internet browser cache after each visit, in order to view the latest information.)

The information provided in this listing is accurate as at 02 Nov 2018

S/N	Alert Level	Locality	Cases with onset in last 2 weeks	Cases since start of cluster	Breakdown	
					Location	No. of Cases
1		Jln Damai (Blk 665) / Jln	13	23	Jalan Damai (Blk 665)	3

	Tenaga (Blk 645, 650, 656, 657, 658, 659, 660) / Kaki Bt Cres			Jalan Tenaga (Blk 645)	1
				Jalan Tenaga (Blk 650)	1
				Jalan Tenaga (Blk 656)	3
				Jalan Tenaga (Blk 657)	1
				Jalan Tenaga (Blk 658)	11
				Jalan Tenaga (Blk 659)	1
				Jalan Tenaga (Blk 660)	1
				Kaki Bukit Crescent	1
2	Woodlands Circle (Blk 730, 731, 733, 738) / Woodlands Dr 70 (Blk 714)	7	13	Woodlands Circle (Blk 730)	1
				Woodlands Circle (Blk 731)	1
				Woodlands Circle (Blk 733)	8
				Woodlands Circle (Blk 738)	2
				Woodlands Drive 70	1

				(Blk 714)	
3	Woodlands Cres (Blk 787B, 787C, 787D, 787E)	6	11	Woodlands Cresent (Blk 787B)	2
				Woodlands Cresent (Blk 787C)	6
				Woodlands Cresent (Blk 787D)	2
				Woodlands Cresent (Blk 787E)	1
4	Pasir Ris St 51 (Blk 551, 552, 556)	3	5	Pasir Ris Street 51 (Blk 551)	2
				Pasir Ris Street 51 (Blk 552)	2
				Pasir Ris Street 51 (Blk 556)	1
5	Macpherson Rd / Siang Kuang Ave	2	3	Macpherson Road	2
				Siang Kuang Avenue	1
6	Seletar Nth Lk	1	3	Seletar North Link	3
7	Alexandra Rd (The Anchorage)	2	2	Alexandra Road (The Anchorage)	2
8	Amber Rd (The Sea View, The Shore Residences)	2	2	Amber Road (The Sea View)	1

				Amber Road (The Shore Residences)	1
9	Bedok Reservior Rd (Blk 136)	1	2	Bedok Reservior Road (Blk 136)	2
10	Bedok South Ave 1 (Casafina) / Upp East Coast Rd	2	2	Bedok South Avenue 1 (Casafina)	1
				Upper East Coast Road	1
11	Joo Seng Rd (Blk 8, 14)	2	2	Joo Seng Road (Blk 8)	1
				Joo Seng Road (Blk 14)	1
12	Jurong West St 65 (Blk 671C, 672A)	2	2	Jurong West Street 65 (Blk 671C)	1
				Jurong West Street 65 (Blk 672A)	1
13	Toh Tuck Rd (Goodluck Gdn, Signature Pk)	2	2	Toh Tuck Road (Goodluck Garden)	1
				Toh Tuck Road (Goodluck Signature Park)	1

For a list of clusters under surveillance, please click here.

Dengue

You are now reading:

Dengue Clusters

Dengue Clusters

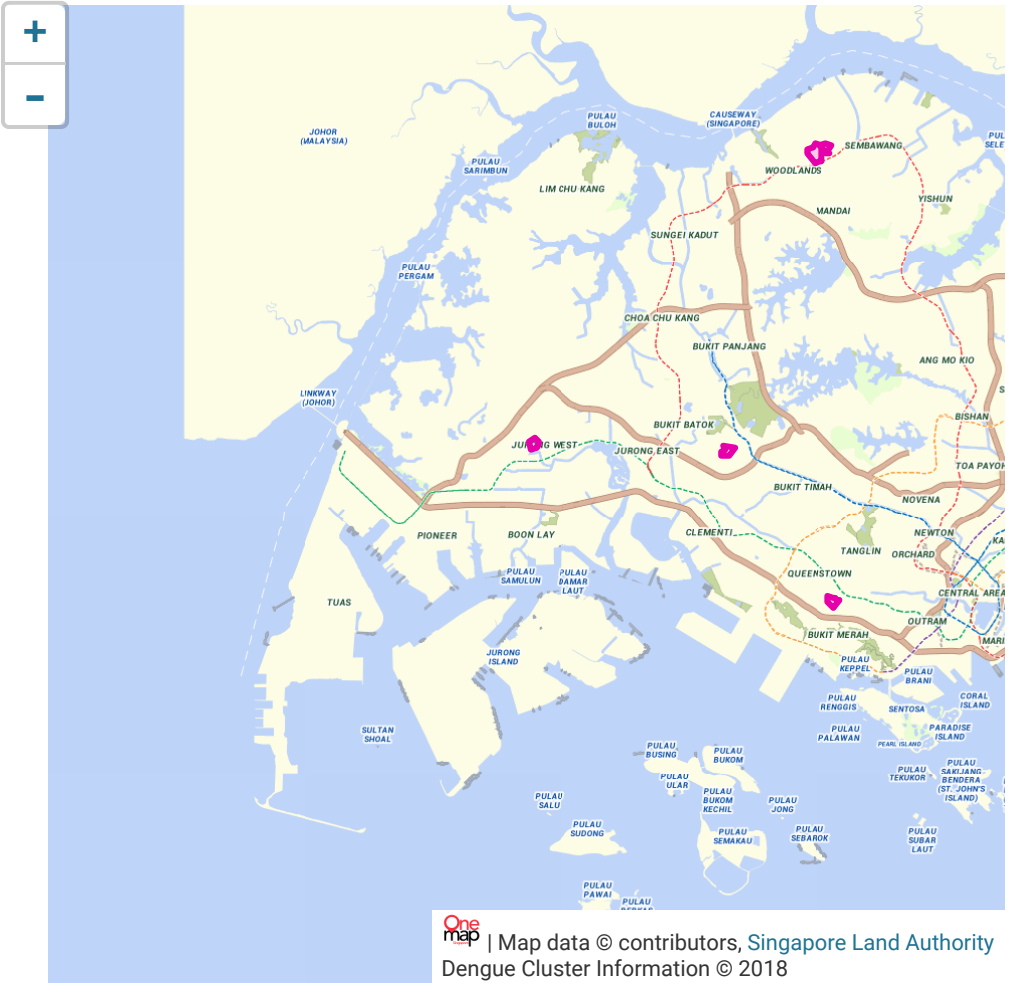

(Map data is updated at 1am. Kindly clear your internet browser cache after each visit, in order to view the latest information.)

The information provided in this listing is accurate as at 05 Nov 2018

S/N	Alert Level	Locality	Cases with onset in last 2 weeks	Cases since start of cluster	Breakdown	
					Location	No. of Cases
1		Jln Damai (Blk 665) /	12	25	Jalan Damai (Blk 665)	3

	Jln Tenaga (Blk 645, 650, 655, 656, 657, 658, 659, 660) / Kaki Bt Cres			Jalan Tenaga (Blk 645)	1
				Jalan Tenaga (Blk 650)	1
				Jalan Tenaga (Blk 655)	1
				Jalan Tenaga (Blk 656)	3
				Jalan Tenaga (Blk 657)	1
				Jalan Tenaga (Blk 658)	12
				Jalan Tenaga (Blk 659)	1
				Jalan Tenaga (Blk 660)	1
				Kaki Bukit Crescent	1
2	Woodlands Circle (Blk 730, 733, 737, 738) / Woodlands Dr 70 (Blk 714)	5	14	Woodlands Circle (Blk 730)	1
				Woodlands Circle (Blk 733)	9
				Woodlands Circle (Blk 737)	1
				Woodlands Circle	2

				(Blk 738)	
				Woodlands Drive 70 (Blk 714)	1
3	Woodlands Cres (Blk 787B, 787C, 787D, 787E)	4	11	Woodlands Cresent (Blk 787B)	2
				Woodlands Cresent (Blk 787C)	6
				Woodlands Cresent (Blk 787D)	2
				Woodlands Cresent (Blk 787E)	1
4	Pasir Ris St 51 (Blk 551, 552, 556)	1	5	Pasir Ris Street 51 (Blk 551)	2
				Pasir Ris Street 51 (Blk 552)	2
				Pasir Ris Street 51 (Blk 556)	1
5	Kaki Bt Ind Ter / Kaki Bt Rd 1, 3	3	3	Kaki Bukit Industrial Terrace	1
				Kaki Bukit Road 1	1
				Kaki Bukit Road 3	1
6	Macpherson Rd / Siang Kuang Ave	1	3	Macpherson Road	2
				Siang Kuang Avenue	1

7	Seletar Nth Lk	1	3	Seletar North Link	3
8	Alexandra Rd (The Anchorage)	2	2	Alexandra Road (The Anchorage)	2
9	Amber Rd (The Sea View, The Shore Residences)	2	2	Amber Road (The Sea View)	1
				Amber Road (The Shore Residences)	1
10	Bedok Reservior Rd (Blk 136)	1	2	Bedok Reservior Road (Blk 136)	2
11	Bedok South Ave 1 (Casafina) / Upp East Coast Rd	1	2	Bedok South Avenue 1 (Casafina)	1
				Upper East Coast Road	1
12	Joo Seng Rd (Blk 8, 14)	2	2	Joo Seng Road (Blk 8)	1
				Joo Seng Road (Blk 14)	1
13	Jurong West St 65 (Blk 671C, 672A)	1	2	Jurong West Street 65 (Blk 671C)	1
				Jurong West Street 65 (Blk 672A)	1
14	Toh Tuck Rd (Goodluck	2	2	Toh Tuck Road	1

	Gdn, Signature Pk)	(Goodluck Garden)	
		Toh Tuck Road (Signature Park)	1

For a list of clusters under surveillance, please click here.

Dengue

You are now reading:

Dengue Clusters

Dengue Clusters

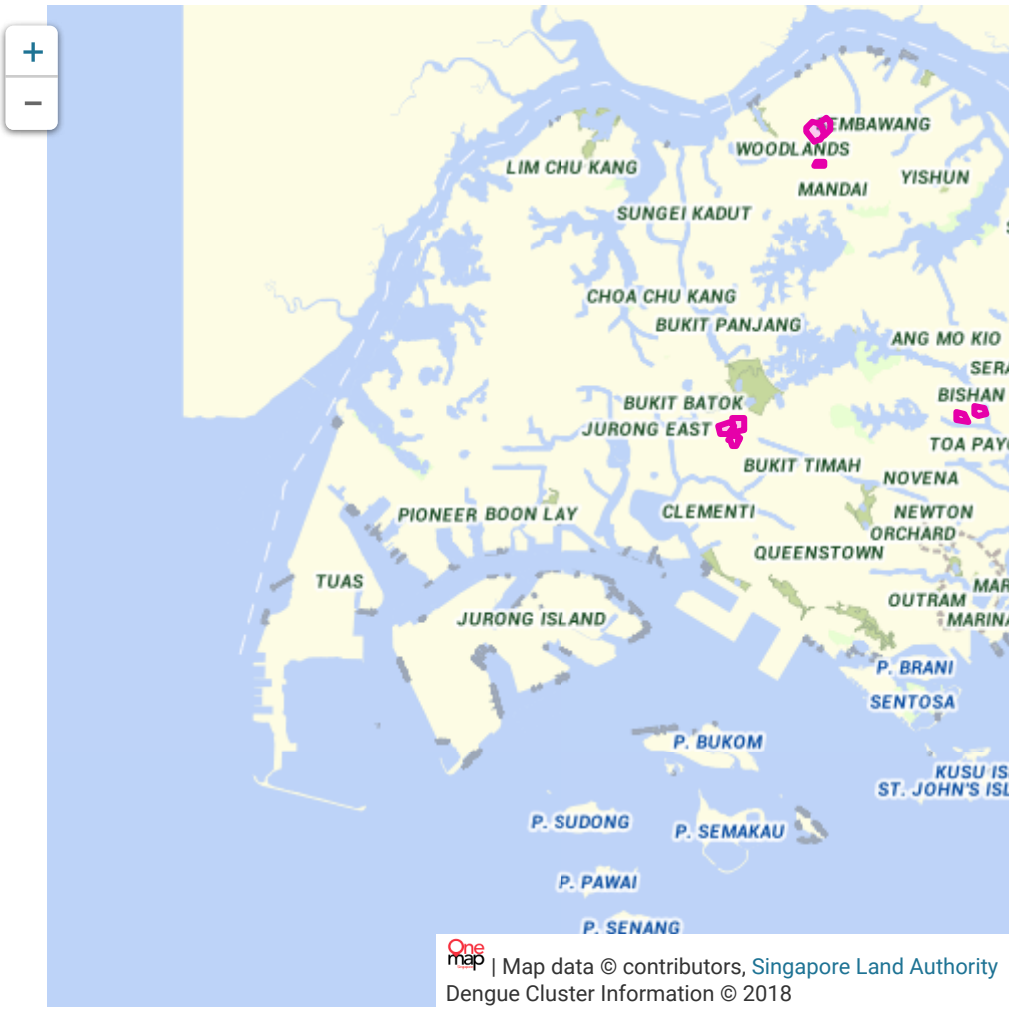

(Map data is updated at 1am. Kindly clear your internet browser cache after each visit, in order to view the latest information.)

The information provided in this listing is accurate as at 16 Nov 2018

S/N	Alert Level	Locality	Cases with onset in last 2 weeks	Cases since start of cluster	Breakdown	
					Location	No. of Cases
1		Bedok Reservoir Rd (Blk 124) /	6	36	Bedok Reservoir	1

Jln Damai (Blk 662, 665, 667) / Jln Tenaga (Blk 645, 648, 650, 655, 656, 657, 658, 659, 660) / Kaki Bt Cres / Kaki Bt Rd 3	Road (Blk 124)	
	Jalan Damai (Blk 662)	2
	Jalan Damai (Blk 665)	3
	Jalan Damai (Blk 667)	1
	Jalan Tenaga (Blk 645)	1
	Jalan Tenaga (Blk 648)	1
	Jalan Tenaga (Blk 650)	1
	Jalan Tenaga (Blk 655)	3
	Jalan Tenaga (Blk 656)	3
	Jalan Tenaga (Blk 657)	1
	Jalan Tenaga (Blk 658)	14
	Jalan Tenaga (Blk 659)	1
	Jalan Tenaga (Blk 660)	1
	Kaki Bukit Crescent	2

				Kaki Bukit Road 3	1
2	Woodlands Circle (Blk 726, 729, 730, 733, 734, 737, 738, 739) / Woodlands Dr 70 (Blk 714)	5	24	Woodlands Circle (Blk 726)	2
				Woodlands Circle (Blk 729)	1
				Woodlands Circle (Blk 730)	2
				Woodlands Circle (Blk 733)	10
				Woodlands Circle (Blk 734)	1
				Woodlands Circle (Blk 737)	2
				Woodlands Circle (Blk 738)	4
				Woodlands Circle (Blk 739)	1
				Woodlands Drive 70 (Blk 714)	1
3	Woodlands Cres (Blk 787B, 787C, 787D, 787E, 788B, 788C) / Woodlands Dr 60 (Blk 786C, 786F)	5	16	Woodlands Crescent (Blk 787B)	2
				Woodlands Crescent (Blk 787C)	7
				Woodlands Crescent (Blk 787D)	2

				Woodlands Crescent (Blk 787E)	1
				Woodlands Crescent (Blk 788B)	1
				Woodlands Crescent (Blk 788C)	1
				Woodlands Drive 60 (Blk 786C)	1
				Woodlands Drive 60 (Blk 786F)	1
4	Jln Jurong Kechil / Lor Pisang Asam, Emas, Raja	10	13	Jalan Jurong Kechil	1
				Lorong Pisang Asam	5
				Lorong Pisang Emas	6
				Lorong Pisang Raja	1
5	Eng Kong Ter / Toh Yi Dr, Rd	6	9	Eng Kong Terrace	4
				Toh Yi Drive	1
				Toh Yi Road	4
6	Kaki Bt Ind Ter / Kaki Bt Rd 1, 3	3	6	Kaki Bukit Industrial Terrace	3
				Kaki Bukit	2

				Road 1	
				Kaki Bukit Road 3	1
7	Woodlands Ave 6 (Twin Fountains) / Woodlands Dr 16 (Forestville)	3	4	Woodlands Avenue 6 (Twin Fountains)	1
				Woodlands Drive 16 (Forestville)	3
8	Amber Gdns (The Esta) / Amber Rd (The Sea View, The Shore Residences)	1	3	Amber Gardens (The Esta)	1
				Amber Road (The Sea View)	1
				Amber Road (The Shore Residences)	1
9	Bishan St 12 (Blk 101, 102, 103)	2	3	Bishan Street 12 (Blk 101)	1
				Bishan Street 12 (Blk 102)	1
				Bishan Street 12 (Blk 103)	1
10	Bishan St 13 / Bishan St 13 (Blk 168)	3	3	Bishan Street 13	2
				Bishan Street 13 (Blk 168)	1
11	Toh Tuck Rd (Goodluck Gdn, Signature Pk)	1	3	Toh Tuck Road	1

				(Goodluck Garden)	
				Toh Tuck Road (Signature Park)	2
12	Eastwood Dr	2	2	Eastwood Drive	2
13	Riverina View	2	2	Riverina View	2
14	Rivervale Dr (Blk 124A) / Rivervale St (Blk 140)	2	2	Rivervale Drive (Blk 124A)	1
				Rivervale Street (Blk 140)	1

For a list of clusters under surveillance, please click here.

Dengue

You are now reading:

Dengue Clusters

Dengue Clusters

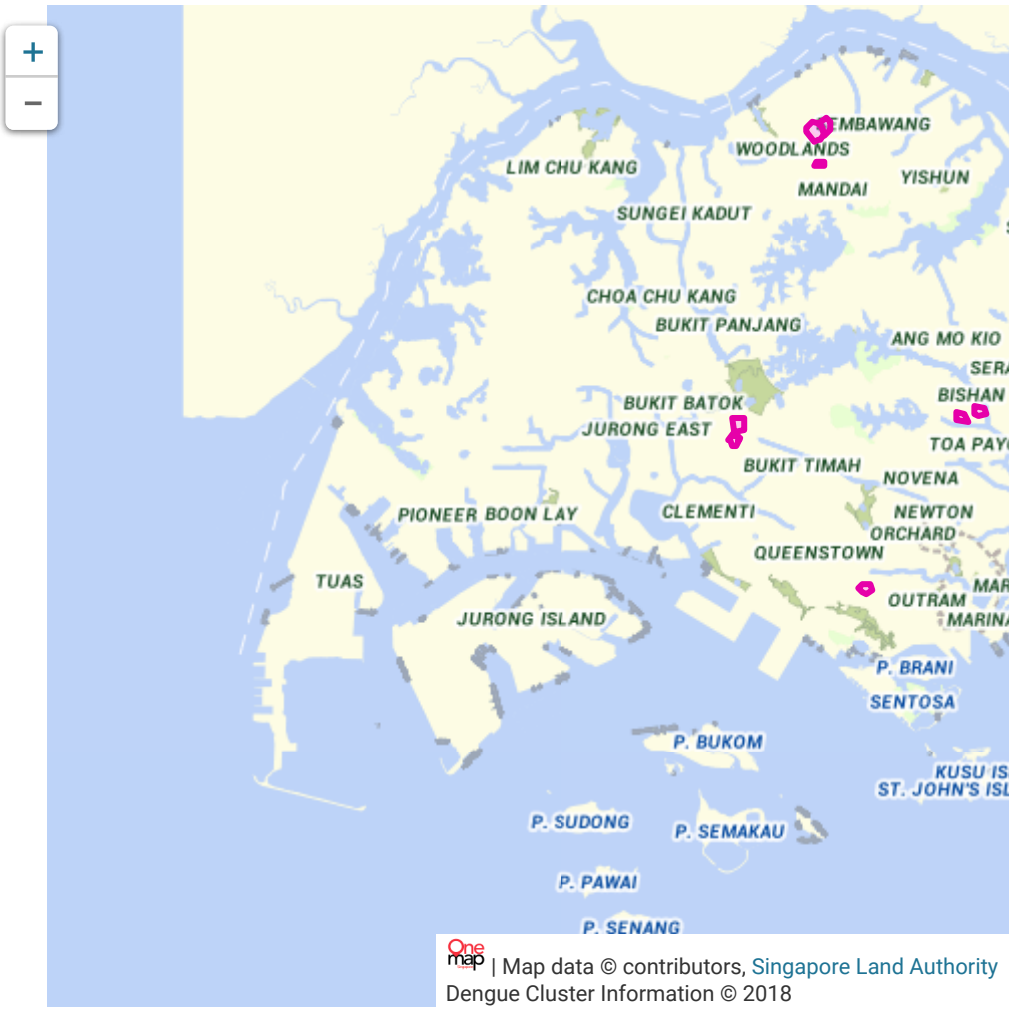

(Map data is updated at 1am. Kindly clear your internet browser cache after each visit, in order to view the latest information.)

The information provided in this listing is accurate as at 19 Nov 2018

S/N	Alert Level	Locality	Cases with onset in last 2 weeks	Cases since start of cluster	Breakdown	
					Location	No. of Cases
1		Bedok Reservoir Rd (Blk 124) /	4	36	Bedok Reservoir	1

Jln Damai (Blk 662, 665, 667) / Jln Tenaga (Blk 645, 648, 650, 655, 656, 657, 658, 659, 660) / Kaki Bt Cres / Kaki Bt Rd 3	Road (Blk 124)	
	Jalan Damai (Blk 662)	2
	Jalan Damai (Blk 665)	3
	Jalan Damai (Blk 667)	1
	Jalan Tenaga (Blk 645)	1
	Jalan Tenaga (Blk 648)	1
	Jalan Tenaga (Blk 650)	1
	Jalan Tenaga (Blk 655)	3
	Jalan Tenaga (Blk 656)	3
	Jalan Tenaga (Blk 657)	1
	Jalan Tenaga (Blk 658)	14
	Jalan Tenaga (Blk 659)	1
	Jalan Tenaga (Blk 660)	1
	Kaki Bukit Crescent	2

				Kaki Bukit Road 3	1
2	Woodlands Circle (Blk 726, 729, 730, 733, 734, 737, 738, 739) / Woodlands Dr 70 (Blk 714)	5	25	Woodlands Circle (Blk 726)	2
				Woodlands Circle (Blk 729)	1
				Woodlands Circle (Blk 730)	2
				Woodlands Circle (Blk 733)	10
				Woodlands Circle (Blk 734)	1
				Woodlands Circle (Blk 737)	3
				Woodlands Circle (Blk 738)	4
				Woodlands Circle (Blk 739)	1
				Woodlands Drive 70 (Blk 714)	1
3	Woodlands Cres (Blk 787B, 787C, 787D, 787E, 788B, 788C) / Woodlands Dr 60 (Blk 786C, 786F)	2	16	Woodlands Crescent (Blk 787B)	2
				Woodlands Crescent (Blk 787C)	7
				Woodlands Crescent (Blk 787D)	2

				Woodlands Crescent (Blk 787E)	1
				Woodlands Crescent (Blk 788B)	1
				Woodlands Crescent (Blk 788C)	1
				Woodlands Drive 60 (Blk 786C)	1
				Woodlands Drive 60 (Blk 786F)	1
4	Jln Jurong Kechil / Lor Pisang Asam, Emas, Raja	7	13	Jalan Jurong Kechil	1
				Lorong Pisang Asam	5
				Lorong Pisang Emas	6
				Lorong Pisang Raja	1
5	Eng Kong Ter / Toh Yi Dr, Rd	8	11	Eng Kong Terrace	5
				Toh Yi Drive	1
				Toh Yi Road	5
6	Kaki Bt Ind Ter / Kaki Bt Rd 1, 3	3	6	Kaki Bukit Industrial Terrace	3
				Kaki Bukit	2

				Road 1	
				Kaki Bukit Road 3	1
7	Eastwood Dr	5	5	Eastwood Drive	5
8	Woodlands Ave 6 (Twin Fountains) / Woodlands Dr 16 (Forestville)	3	4	Woodlands Avenue 6 (Twin Fountains)	1
				Woodlands Drive 16 (Forestville)	3
9	Amber Gdns (The Esta) / Amber Rd (The Sea View, The Shore Residences)	1	3	Amber Gardens (The Esta)	1
				Amber Road (The Sea View)	1
				Amber Road (The Shore Residences)	1
10	Bishan St 12 (Blk 101, 102, 103)	2	3	Bishan Street 12 (Blk 101)	1
				Bishan Street 12 (Blk 102)	1
				Bishan Street 12 (Blk 103)	1
11	Bishan St 13 / Bishan St 13 (Blk 168)	3	3	Bishan Street 13	2
				Bishan Street 13 (Blk 168)	1

12	Pasir Ris Dr 1 (Blk 637)	1	2	Pasir Ris Drive 1 (Blk 637)	2
13	Redhill Cl (Blk 68, 70)	2	2	Redhill Close (Blk 68)	1
				Redhill Close (Blk 70)	1
14	Riverina View	2	2	Riverina View	2
15	Rivervale Dr (Blk 124A) / Rivervale St (Blk 140)	2	2	Rivervale Drive (Blk 124A)	1
				Rivervale Street (Blk 140)	1

For a list of clusters under surveillance, please click here.

Dengue

You are now reading:

Dengue Clusters

Dengue Clusters

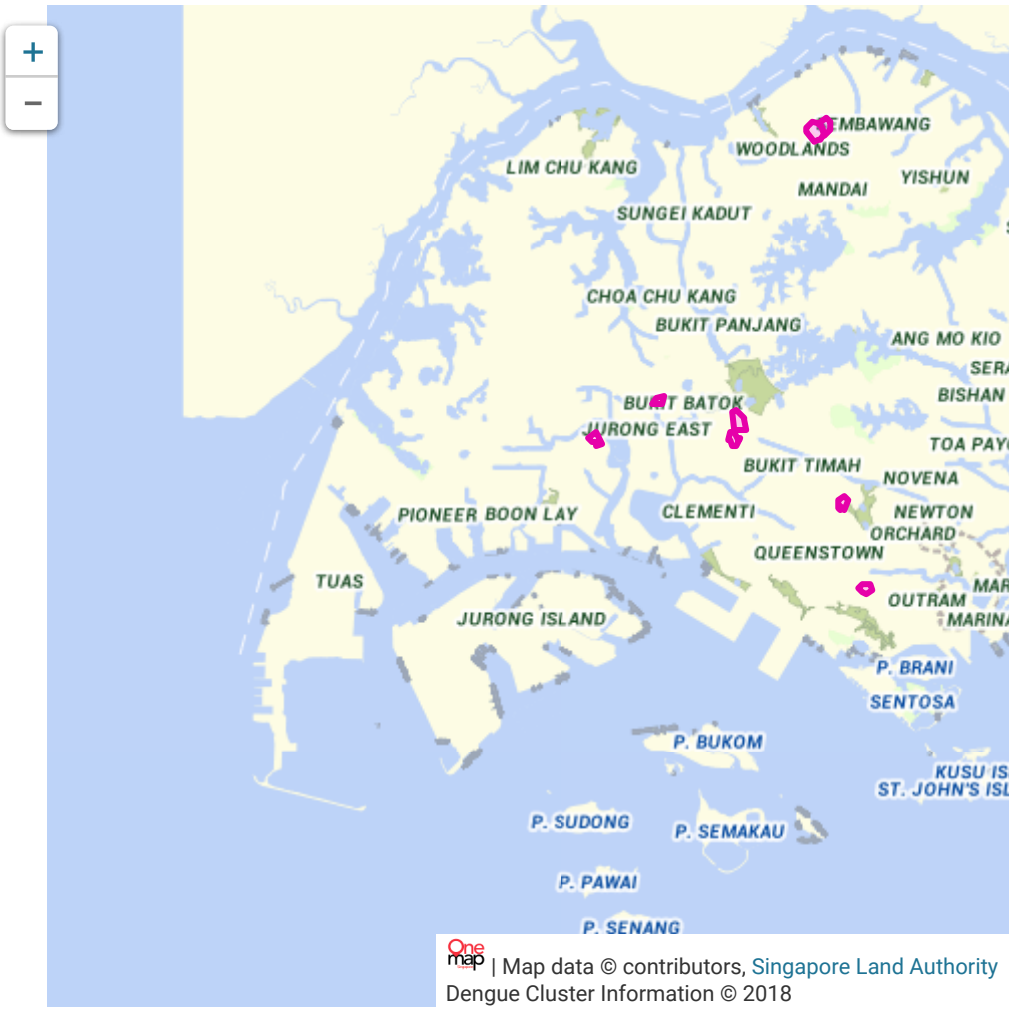

(Map data is updated at 1am. Kindly clear your internet browser cache after each visit, in order to view the latest information.)

The information provided in this listing is accurate as at 23 Nov 2018

S/N	Alert Level	Locality	Cases with onset in last 2 weeks	Cases since start of cluster	Breakdown	
					Location	No. of Cases
1		Bedok Reservoir Rd (Blk 124) / Jln	5	40	Bedok Reservoir	1

Damai (Blk 662, 665, 667) / Jln Tenaga (Blk 645, 648, 649, 650, 655, 656, 657, 658, 659, 660) / Kaki Bt Cres / Kaki Bt Rd 3	Road (Blk 124)	
	Jalan Damai (Blk 662)	2
	Jalan Damai (Blk 665)	3
	Jalan Damai (Blk 667)	1
	Jalan Tenaga (Blk 645)	1
	Jalan Tenaga (Blk 648)	1
	Jalan Tenaga (Blk 649)	3
	Jalan Tenaga (Blk 650)	1
	Jalan Tenaga (Blk 655)	3
	Jalan Tenaga (Blk 656)	3
	Jalan Tenaga (Blk 657)	2
	Jalan Tenaga (Blk 658)	14
	Jalan Tenaga (Blk 659)	1

				Jalan Tenaga (Blk 660)	1
				Kaki Bukit Crescent	2
				Kaki Bukit Road 3	1
2	Woodlands Circle (Blk 726, 728, 729, 730, 733, 734, 735, 737, 738, 739) / Woodlands Dr 70 (Blk 714)	9	31	Woodlands Circle (Blk 726)	2
				Woodlands Circle (Blk 728)	1
				Woodlands Circle (Blk 729)	1
				Woodlands Circle (Blk 730)	2
				Woodlands Circle (Blk 733)	10
				Woodlands Circle (Blk 734)	1
				Woodlands Circle (Blk 735)	2
				Woodlands Circle (Blk 737)	4
				Woodlands Circle (Blk 738)	6
				Woodlands Circle (Blk 739)	1

				Woodlands Drive 70 (Blk 714)	1
3	Chun Tin Rd / Jln Jurong Kechil / Lor Pisang Asam, Emas, Raja, Udang / Yuk Tong Ave	13	21	Chun Tin Road	1
				Jalan Jurong Kechil	1
				Lorong Pisang Asam	8
				Lorong Pisang Emas	6
				Lorong Pisang Raja	3
				Lorong Pisang Udang	1
				Yuk Tong Avenue	1
4	Woodlands Cres (Blk 787B, 787C, 787D, 787E, 788B, 788C) / Woodlands Dr 60 (Blk 786C, 786F)	4	18	Woodlands Crescent (Blk 787B)	2
				Woodlands Crescent (Blk 787C)	7
				Woodlands Crescent (Blk 787D)	2
				Woodlands Crescent (Blk 787E)	1
				Woodlands Crescent (Blk 788B)	2
				Woodlands	1

				Crescent (Blk 788C)	
				Woodlands Drive 60 (Blk 786C)	1
				Woodlands Drive 60 (Blk 786F)	2
5	Eng Kong Ter / Lor Kismis (Kismis View) / Toh Yi Dr, Rd	7	13	Eng Kong Terrace	5
				Lorong Kismis (Kismis View)	1
				Toh Yi Drive	2
				Toh Yi Road	5
6	Eastwood Dr / Jln Greja	7	8	Eastwood Drive	7
				Jalan Greja	1
7	Bedok Reservoir Rd (Blk 135, 136, 139, 142)	3	4	Bedok Reservoir Road (Blk 135)	1
				Bedok Reservoir Road (Blk 136)	1
				Bedok Reservoir Road (Blk 139)	1
				Bedok Reservoir Road (Blk 142)	1

8	Pasir Ris St 51 (Blk 541, 544, 553)	3	4	Pasir Ris Street 51 (Blk 541)	2
				Pasir Ris Street 51 (Blk 544)	1
				Pasir Ris Street 51 (Blk 553)	1
9	Tah Ching Rd (Blk 329, 332, 338A)	2	4	Tah Ching Road (Blk 329)	1
				Tah Ching Road (Blk 332)	2
				Tah Ching Road (Blk 338A)	1
10	Elias Rd (Blk 614) / Pasir Ris Dr 1 (Blk 637)	2	3	Elias Road (Blk 614)	1
				Pasir Ris Drive 1 (Blk 637)	2
11	Bt Batok St 11 (Blk 141) / Bt Batok West Ave 6 (Blk 136)	2	2	Bukit Batok Street 11 (Blk 141)	1
				Bukit Batok West Avenue 6 (Blk 136)	1
12	Farrer Rd (Gallop Gables) / Woollerton Pk (Woollerton Pk)	2	2	Farrer Road (Gallop Gables)	1
				Woollerton Park (Woollerton Park)	1

13	Nallur Rd	1	2	Nallur Road	2
14	Punggol Dr (Blk 663A, 664A)	1	2	Punggol Drive (Blk 663A)	1
				Punggol Drive (Blk 664A)	1
15	Redhill Cl (Blk 68, 70)	2	2	Redhill Close (Blk 68)	1
				Redhill Close (Blk 70)	1
16	Riverina View	2	2	Riverina View	2

For a list of clusters under surveillance, please click here.

Dengue

You are now reading:

Dengue Clusters

Dengue Clusters

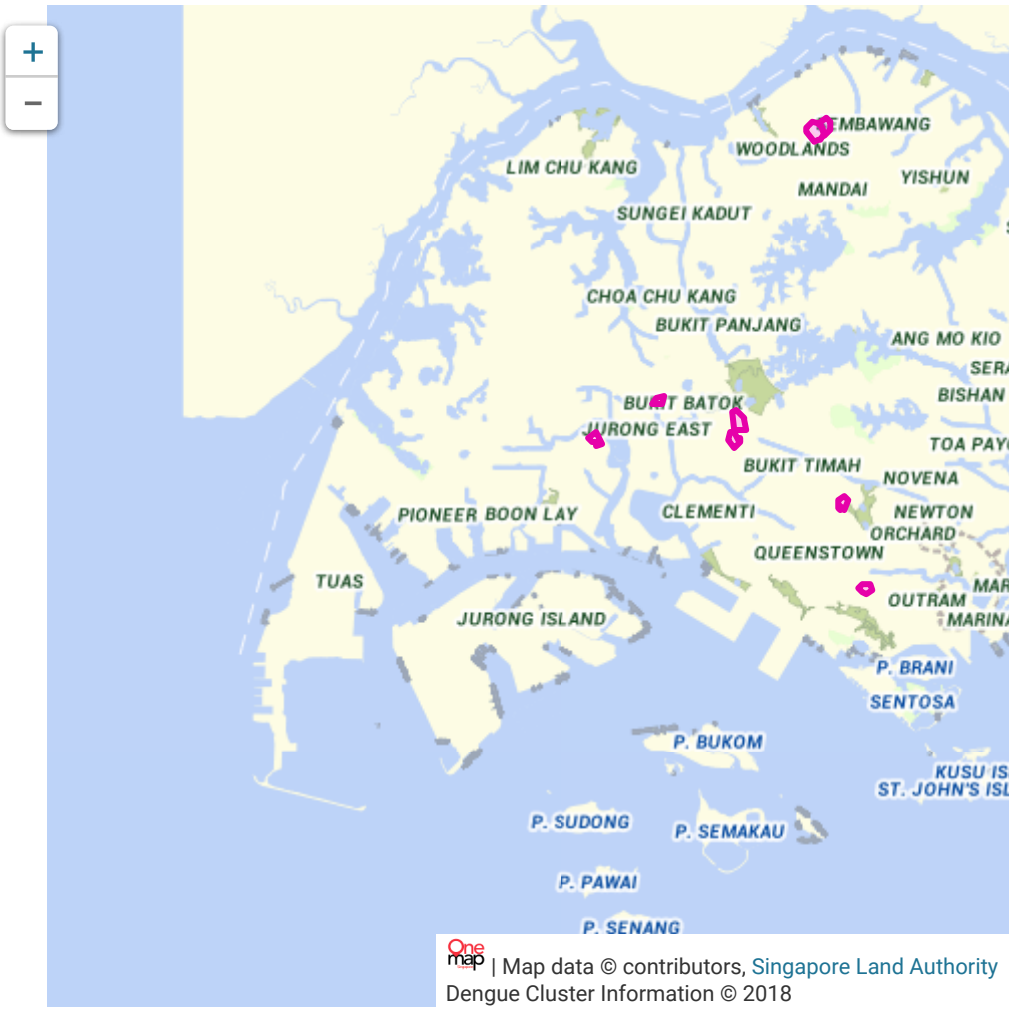

(Map data is updated at 1am. Kindly clear your internet browser cache after each visit, in order to view the latest information.)

The information provided in this listing is accurate as at 26 Nov 2018

S/N	Alert Level	Locality	Cases with onset in last 2 weeks	Cases since start of cluster	Breakdown	
					Location	No. of Cases
1		Bedok Reservoir Rd (Blk 124) / Jln	3	40	Bedok Reservoir	1

Damai (Blk 662, 665, 667) / Jln Tenaga (Blk 645, 648, 649, 650, 655, 656, 657, 658, 659, 660) / Kaki Bt Cres / Kaki Bt Rd 3	Road (Blk 124)	
	Jalan Damai (Blk 662)	2
	Jalan Damai (Blk 665)	3
	Jalan Damai (Blk 667)	1
	Jalan Tenaga (Blk 645)	1
	Jalan Tenaga (Blk 648)	1
	Jalan Tenaga (Blk 649)	3
	Jalan Tenaga (Blk 650)	1
	Jalan Tenaga (Blk 655)	3
	Jalan Tenaga (Blk 656)	3
	Jalan Tenaga (Blk 657)	2
	Jalan Tenaga (Blk 658)	14
	Jalan Tenaga (Blk 659)	1

				Jalan Tenaga (Blk 660)	1
				Kaki Bukit Crescent	2
				Kaki Bukit Road 3	1
2	Woodlands Circle (Blk 726, 728, 729, 730, 733, 734, 735, 737, 738, 739) / Woodlands Dr 70 (Blk 714)	9	32	Woodlands Circle (Blk 726)	2
				Woodlands Circle (Blk 728)	1
				Woodlands Circle (Blk 729)	1
				Woodlands Circle (Blk 730)	2
				Woodlands Circle (Blk 733)	10
				Woodlands Circle (Blk 734)	1
				Woodlands Circle (Blk 735)	2
				Woodlands Circle (Blk 737)	5
				Woodlands Circle (Blk 738)	6
				Woodlands Circle (Blk 739)	1

				Woodlands Drive 70 (Blk 714)	1
3	Chun Tin Rd / Jln Jurong Kechil / Lor Pisang Asam, Emas, Hijau, Raja, Udang / Yuk Tong Ave	11	23	Chun Tin Road	1
				Jalan Jurong Kechil	1
				Lorong Pisang Asam	8
				Lorong Pisang Emas	6
				Lorong Pisang Hijau	2
				Lorong Pisang Raja	3
				Lorong Pisang Udang	1
				Yuk Tong Avenue	1
4	Woodlands Cres (Blk 787B, 787C, 787D, 787E, 788B, 788C) / Woodlands Dr 60 (Blk 786C, 786F)	4	18	Woodlands Crescent (Blk 787B)	2
				Woodlands Crescent (Blk 787C)	7
				Woodlands Crescent (Blk 787D)	2
				Woodlands Crescent (Blk 787E)	1
				Woodlands	2

				Crescent (Blk 788B)	
				Woodlands Crescent (Blk 788C)	1
				Woodlands Drive 60 (Blk 786C)	1
				Woodlands Drive 60 (Blk 786F)	2
5	Eng Kong Ter / Lor Kismis (Kismis View) / Toh Yi Dr, Rd	7	15	Eng Kong Terrace	6
				Lorong Kismis (Kismis View)	1
				Toh Yi Drive	2
				Toh Yi Road	6
6	Eastwood Dr / Jln Greja	4	8	Eastwood Drive	7
				Jalan Greja	1
7	Bedok Reservoir Rd (Blk 135, 136, 139, 142)	4	5	Bedok Reservoir Road (Blk 135)	1
				Bedok Reservoir Road (Blk 136)	1
				Bedok Reservoir Road (Blk 139)	2
				Bedok	1

				Reservoir Road (Blk 142)	
8	Pasir Ris St 51 (Blk 541, 544, 553)	3	4	Pasir Ris Street 51 (Blk 541)	2
				Pasir Ris Street 51 (Blk 544)	1
				Pasir Ris Street 51 (Blk 553)	1
9	Tah Ching Rd (Blk 329, 332, 338A)	1	4	Tah Ching Road (Blk 329)	1
				Tah Ching Road (Blk 332)	2
				Tah Ching Road (Blk 338A)	1
10	Elias Rd (Blk 614) / Pasir Ris Dr 1 (Blk 637)	1	3	Elias Road (Blk 614)	1
				Pasir Ris Drive 1 (Blk 637)	2
11	Bt Batok St 11 (Blk 141) / Bt Batok West Ave 6 (Blk 136)	1	2	Bukit Batok Street 11 (Blk 141)	1
				Bukit Batok West Avenue 6 (Blk 136)	1
12	Farrer Rd (Gallop Gables) / Woollerton Pk (Woollerton Pk)	1	2	Farrer Road (Gallop Gables)	1
				Woollerton	1

				Park (Woollerton Park)	
13	Hougang St 91 (Blk 909, 915)	1	2	Hougang Street 91 (Blk 909)	1
				Hougang Street 91 (Blk 915)	1
14	Nallur Rd	1	2	Nallur Road	2
15	Punggol Dr (Blk 663A, 664A)	1	2	Punggol Drive (Blk 663A)	1
				Punggol Drive (Blk 664A)	1
16	Redhill Cl (Blk 68, 70)	1	2	Redhill Close (Blk 68)	1
				Redhill Close (Blk 70)	1

For a list of clusters under surveillance, please click here.

Dengue

You are now reading:

Dengue Clusters

Dengue Clusters

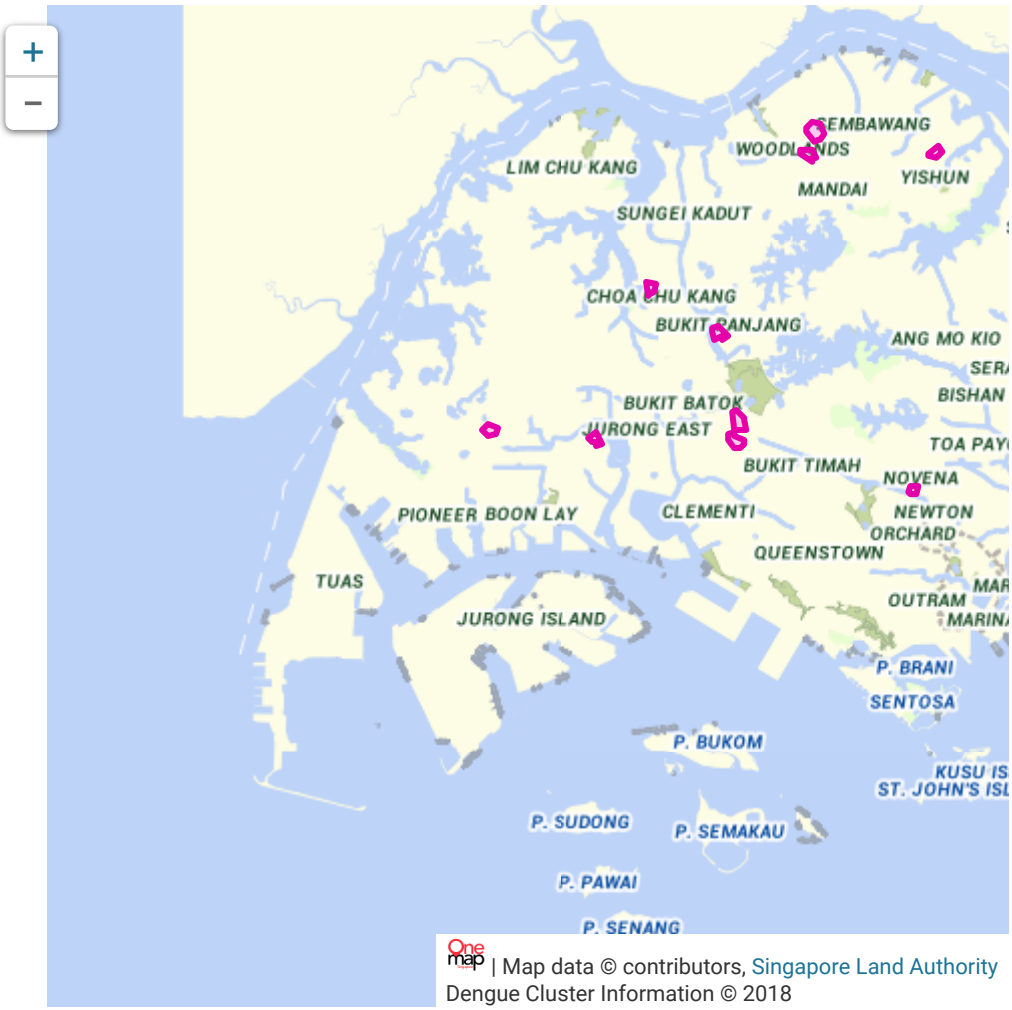

(Map data is updated at 1am. Kindly clear your internet browser cache after each visit, in order to view the latest information.)

The information provided in this listing is accurate as at 30 Nov 2018

S/N	Alert Level	Locality	Cases with onset in last 2 weeks	Cases since start of cluster	Breakdown	
					Location	No. of Cases
1		Bedok Reservoir Rd (Blk 124) / Jln	3	42	Bedok Reservoir	1

Damai (Blk 662, 665, 667) / Jln Tenaga (Blk 645, 648, 649, 650, 655, 656, 657, 658, 659, 660) / Kaki Bt Cres / Kaki Bt Rd 3	Road (Blk 124)	
	Jalan Damai (Blk 662)	2
	Jalan Damai (Blk 665)	3
	Jalan Damai (Blk 667)	1
	Jalan Tenaga (Blk 645)	1
	Jalan Tenaga (Blk 648)	2
	Jalan Tenaga (Blk 649)	4
	Jalan Tenaga (Blk 650)	1
	Jalan Tenaga (Blk 655)	3
	Jalan Tenaga (Blk 656)	3
	Jalan Tenaga (Blk 657)	2
	Jalan Tenaga (Blk 658)	14
	Jalan Tenaga (Blk 659)	1

				Jalan Tenaga (Blk 660)	1
				Kaki Bukit Crescent	2
				Kaki Bukit Road 3	1
2	Woodlands Circle (Blk 726, 728, 729, 730, 733, 734, 735, 737, 738, 739) / Woodlands Dr 70 (Blk 714)	7	36	Woodlands Circle (Blk 726)	2
				Woodlands Circle (Blk 728)	1
				Woodlands Circle (Blk 729)	1
				Woodlands Circle (Blk 730)	2
				Woodlands Circle (Blk 733)	10
				Woodlands Circle (Blk 734)	1
				Woodlands Circle (Blk 735)	3
				Woodlands Circle (Blk 737)	6
				Woodlands Circle (Blk 738)	7
				Woodlands Circle (Blk 739)	2

				Woodlands Drive 70 (Blk 714)	1
3	Chun Tin Rd / Jln Jurong Kechil / Lor Pisang Asam, Emas, Hijau, Raja, Udang / Yuk Tong Ave	8	26	Chun Tin Road	1
				Jalan Jurong Kechil	1
				Lorong Pisang Asam	6
				Lorong Pisang Emas	10
				Lorong Pisang Hijau	2
				Lorong Pisang Raja	3
				Lorong Pisang Udang	2
				Yuk Tong Avenue	1
4	Eastwood Dr, Green, Pl, Ter, Way / Jln Greja	11	20	Eastwood Drive	14
				Eastwood Green	1
				Eastwood Place	1
				Eastwood Terrace	1
				Eastwood Way	1
				Jalan	2

				Greja	
5	Cheng Soon Cres / Eng Kong Ter / Lor Kismis (Kismis View) / Toh Yi Dr, Rd	5	17	Cheng Soon Crescent	1
				Eng Kong Terrace	6
				Lorong Kismis (Kismis View)	1
				Toh Yi Drive	2
				Toh Yi Road	7
6	Bedok Reservoir Rd (Blk 135, 136, 137, 139, 142)	7	9	Bedok Reservoir Road (Blk 135)	1
				Bedok Reservoir Road (Blk 136)	3
				Bedok Reservoir Road (Blk 137)	1
				Bedok Reservoir Road (Blk 139)	3
				Bedok Reservoir Road (Blk 142)	1
7	Pasir Ris St 51 (Blk 541, 543, 544, 553)	3	6	Pasir Ris Street 51 (Blk 541)	3
				Pasir Ris	1

				Street 51 (Blk 543)	
				Pasir Ris Street 51 (Blk 544)	1
				Pasir Ris Street 51 (Blk 553)	1
8	Tah Ching Rd (Blk 329, 332, 338A)	1	5	Tah Ching Road (Blk 329)	2
				Tah Ching Road (Blk 332)	2
				Tah Ching Road (Blk 338A)	1
9	Choa Chu Kang St 51 (Blk 504, 513)	2	2	Choa Chu Kang Street 51 (Blk 504)	1
				Choa Chu Kang Street 51 (Blk 513)	1
10	Gangsa Rd (Blk 153, 154)	2	2	Gangsa Road (Blk 153)	1
				Gangsa Road (Blk 154)	1
11	Goldhill Ave, Dr	2	2	Goldhill Avenue	1
				Goldhill Drive	1
12	Hougang St 91 (Blk 909, 915)	1	2	Hougang Street 91	1

				(Blk 909)	
				Hougang Street 91 (Blk 915)	1
13	Jurong West St 91 (Blk 909, 915)	1	2	Jurong West Street 91 (Blk 909)	1
				Jurong West Street 91 (Blk 915)	1
14	Lor Ah Soo (Blk 134, 135)	2	2	Lor Ah Soo (Blk 134)	1
				Lor Ah Soo (Blk 135)	1
15	Woo Mon Chew Rd	2	2	Woo Mon Chew Road	2
16	Woodlands Ave 4 (Blk 610) / Woodlands Dr 50 (Blk 899B)	2	2	Woodlands Avenue 4 (Blk 610)	1
				Woodlands Drive 50 (Blk 899B)	1
17	Yishun St 22 (Blk 262, 269A)	2	2	Yishun Street 22 (Blk 262)	1
				Yishun Street 22 (Blk 269A)	1

For a list of clusters under surveillance, please click here.

Dengue

You are now reading:

Dengue Clusters

Dengue Clusters

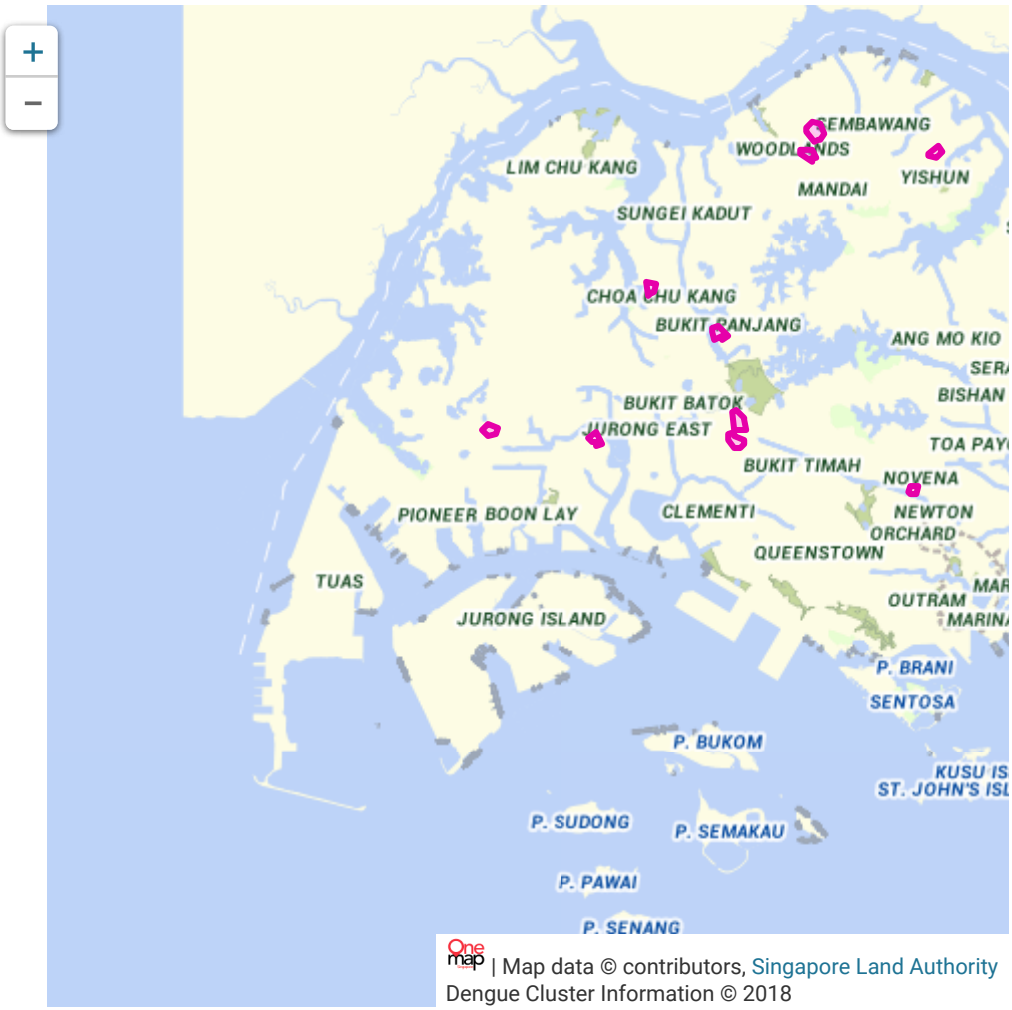

(Map data is updated at 1am. Kindly clear your internet browser cache after each visit, in order to view the latest information.)

The information provided in this listing is accurate as at 03 Dec 2018

S/N	Alert Level	Locality	Cases with onset in last 2 weeks	Cases since start of cluster	Breakdown	
					Location	No. of Cases
1		Bedok Reservoir Rd (Blk 124) / Jln	3	42	Bedok Reservoir	1

Damai (Blk 662, 665, 667) / Jln Tenaga (Blk 645, 648, 649, 650, 655, 656, 657, 658, 659, 660) / Kaki Bt Cres / Kaki Bt Rd 3	Road (Blk 124)	
	Jalan Damai (Blk 662)	2
	Jalan Damai (Blk 665)	3
	Jalan Damai (Blk 667)	1
	Jalan Tenaga (Blk 645)	1
	Jalan Tenaga (Blk 648)	2
	Jalan Tenaga (Blk 649)	4
	Jalan Tenaga (Blk 650)	1
	Jalan Tenaga (Blk 655)	3
	Jalan Tenaga (Blk 656)	3
	Jalan Tenaga (Blk 657)	2
	Jalan Tenaga (Blk 658)	14
	Jalan Tenaga (Blk 659)	1

				Jalan Tenaga (Blk 660)	1
				Kaki Bukit Crescent	2
				Kaki Bukit Road 3	1
2	Woodlands Circle (Blk 726, 728, 729, 730, 733, 734, 735, 737, 738, 739) / Woodlands Dr 70 (Blk 714)	2	36	Woodlands Circle (Blk 726)	2
				Woodlands Circle (Blk 728)	1
				Woodlands Circle (Blk 729)	1
				Woodlands Circle (Blk 730)	2
				Woodlands Circle (Blk 733)	10
				Woodlands Circle (Blk 734)	1
				Woodlands Circle (Blk 735)	3
				Woodlands Circle (Blk 737)	6
				Woodlands Circle (Blk 738)	7
				Woodlands Circle (Blk 739)	2

				Woodlands Drive 70 (Blk 714)	1
3	Chun Tin Rd / Jln Jurong Kechil / Lor Pisang Asam, Emas, Hijau, Raja, Udang / Yuk Tong Ave	5	26	Chun Tin Road	1
				Jalan Jurong Kechil	1
				Lorong Pisang Asam	6
				Lorong Pisang Emas	10
				Lorong Pisang Hijau	2
				Lorong Pisang Raja	3
				Lorong Pisang Udang	2
				Yuk Tong Avenue	1
4	Eastwood Dr, Green, Pl, Ter, Way / Jln Greja	7	20	Eastwood Drive	14
				Eastwood Green	1
				Eastwood Place	1
				Eastwood Terrace	1
				Eastwood Way	1
				Jalan	2

				Greja	
5	Cheng Soon Cres / Eng Kong Ter / Lor Kismis (Kismis View) / Toh Yi Dr, Rd	5	18	Cheng Soon Crescent	1
				Eng Kong Terrace	6
				Lorong Kismis (Kismis View)	1
				Toh Yi Drive	3
				Toh Yi Road	7
6	Bedok Reservoir Rd (Blk 135, 136, 137, 139, 142)	5	11	Bedok Reservoir Road (Blk 135)	1
				Bedok Reservoir Road (Blk 136)	3
				Bedok Reservoir Road (Blk 137)	1
				Bedok Reservoir Road (Blk 139)	5
				Bedok Reservoir Road (Blk 142)	1
7	Pasir Ris St 51 (Blk 541, 543, 544, 553)	3	6	Pasir Ris Street 51 (Blk 541)	3
				Pasir Ris	1

				Street 51 (Blk 543)	
				Pasir Ris Street 51 (Blk 544)	1
				Pasir Ris Street 51 (Blk 553)	1
8	Tah Ching Rd (Blk 329, 332, 338A)	1	5	Tah Ching Road (Blk 329)	2
				Tah Ching Road (Blk 332)	2
				Tah Ching Road (Blk 338A)	1
9	Choa Chu Kang St 51 (Blk 504, 513)	2	2	Choa Chu Kang Street 51 (Blk 504)	1
				Choa Chu Kang Street 51 (Blk 513)	1
10	Gangsa Rd (Blk 153, 154)	2	2	Gangsa Road (Blk 153)	1
				Gangsa Road (Blk 154)	1
11	Goldhill Ave, Dr	2	2	Goldhill Avenue	1
				Goldhill Drive	1
12	Hougang St 91 (Blk 909, 915)	1	2	Hougang Street 91	1

				(Blk 909)	
				Hougang Street 91 (Blk 915)	1
13	Jurong West St 91 (Blk 909, 915)	1	2	Jurong West Street 91 (Blk 909)	1
				Jurong West Street 91 (Blk 915)	1
14	Lor Ah Soo (Blk 134, 135)	2	2	Lor Ah Soo (Blk 134)	1
				Lor Ah Soo (Blk 135)	1
15	Woo Mon Chew Rd	2	2	Woo Mon Chew Road	2
16	Woodlands Ave 4 (Blk 610) / Woodlands Dr 50 (Blk 899B)	2	2	Woodlands Avenue 4 (Blk 610)	1
				Woodlands Drive 50 (Blk 899B)	1
17	Yishun St 22 (Blk 262, 269A)	2	2	Yishun Street 22 (Blk 262)	1
				Yishun Street 22 (Blk 269A)	1

For a list of clusters under surveillance, please click here.

Dengue

You are now reading:

Dengue Clusters

Dengue Clusters

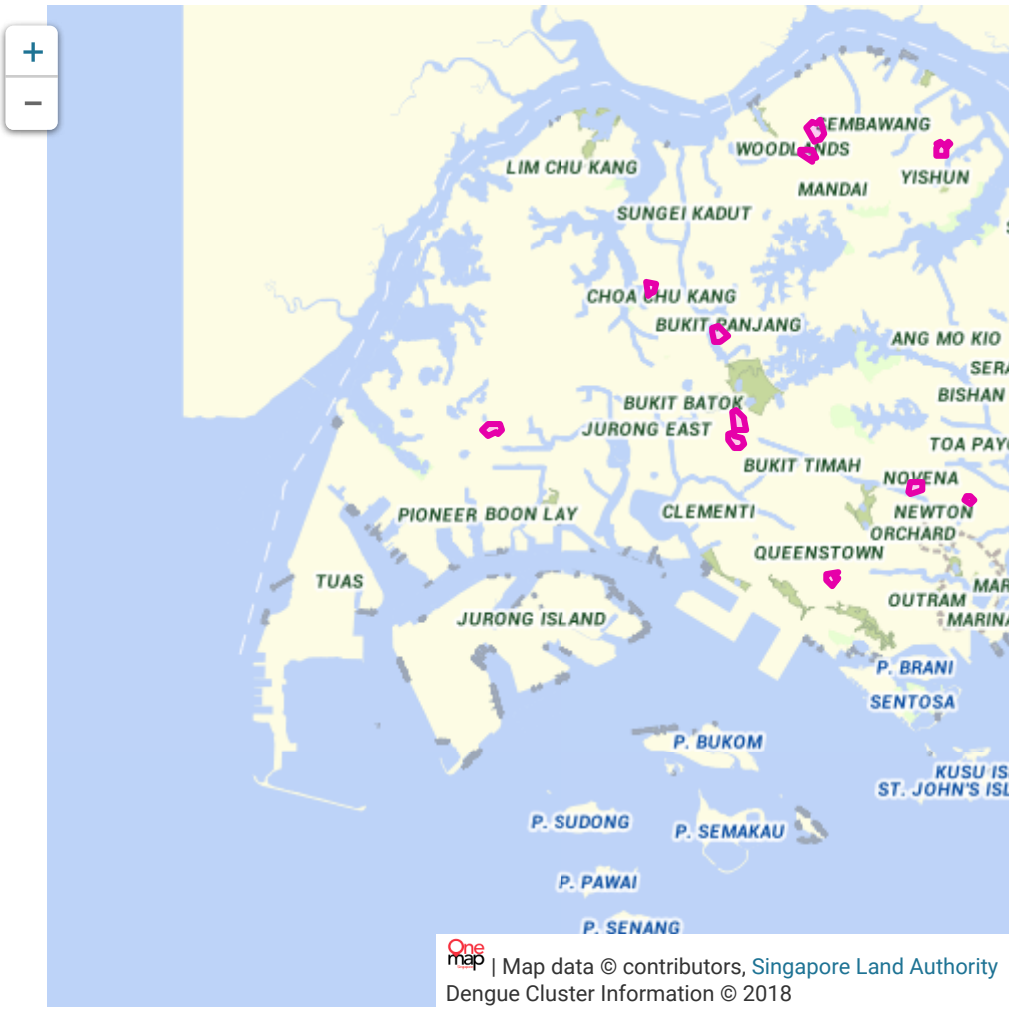

(Map data is updated at 1am. Kindly clear your internet browser cache after each visit, in order to view the latest information.)

Operationally, a dengue cluster indicates a locality with active transmission where intervention is targeted. It is formed when two or more cases have onset within 14 days and are located within 150m of each other (based on residential and workplace addresses as well as movement history). The clusters are categorised according to their current status. There are 3 alert levels:

Definition	Alert Level
High-risk area with 10 or more cases	**Red**
High-risk area with less than 10 cases	**Yellow**

	No new cases, under surveillance for the next 21 days	**Green**

Each cluster map illustrates the extent of NEA's current vector control intervention. Please click on the cluster location to view the respective map.

The information provided in this listing is accurate as at 07 Dec 2018

S/N	Alert Level	Locality	Cases with onset in last 2 weeks	Cases since start of cluster	Breakdown	
					Location	No. of Cases
1		Woodlands Ave 6 (Blk 724) / Woodlands Circle (Blk 726, 728, 729, 730, 733, 734, 735, 737, 738, 739) / Woodlands Dr 70 (Blk 714)	3	38	Woodlands Avenue 6 (Blk 724)	1
					Woodlands Circle (Blk 726)	2
					Woodlands Circle (Blk 728)	1
					Woodlands Circle (Blk 729)	1
					Woodlands Circle (Blk 730)	2
					Woodlands Circle (Blk 733)	10
					Woodlands Circle (Blk 734)	2
					Woodlands Circle (Blk 735)	3
					Woodlands Circle	6

				(Blk 737)	
				Woodlands Circle (Blk 738)	7
				Woodlands Circle (Blk 739)	2
				Woodlands Drive 70 (Blk 714)	1
2	Chun Tin Rd / Jln Jurong Kechil / Lor Pisang Asam, Emas, Hijau, Raja, Udang / Yuk Tong Ave	6	31	Chun Tin Road	3
				Jalan Jurong Kechil	1
				Lorong Pisang Asam	6
				Lorong Pisang Emas	13
				Lorong Pisang Hijau	2
				Lorong Pisang Raja	3
				Lorong Pisang Udang	2
				Yuk Tong Avenue	1
3	Eastwood Dr, Green, Pl, Ter, Way / Jln Greja / Pesari Walk / Taman Bedok	8	29	Eastwood Drive	18
				Eastwood Green	3
				Eastwood	1

				Place	
				Eastwood Terrace	1
				Eastwood Way	1
				Jalan Greja	3
				Pesari Walk	1
				Taman Bedok	1
4	Cheng Soon Cres / Eng Kong Ter / Lor Kismis (Kismis View) / Toh Yi Dr, Rd	2	19	Cheng Soon Crescent	1
				Eng Kong Terrace	6
				Lorong Kismis (Kismis View)	1
				Toh Yi Drive	3
				Toh Yi Road	8
5	Bedok Reservoir Rd (Blk 135, 136, 137, 139, 142, 145)	5	14	Bedok Reservoir Road (Blk 135)	1
				Bedok Reservoir Road (Blk 136)	3
				Bedok Reservoir Road (Blk 137)	1
				Bedok	7

				Reservoir Road (Blk 139)	
				Bedok Reservoir Road (Blk 142)	1
				Bedok Reservoir Road (Blk 145)	1
6	Gangsa Rd (Blk 153, 154) / Hazel Pk Ter (Hazel Pk Condo)	4	5	Gangsa Road (Blk 153)	1
				Gangsa Road (Blk 154)	2
				Hazel Park Terrace (Hazel Pk Condo)	2
7	Kaki Bt Ind Ter	4	5	Kaki Bukit Industrial Terrace	5
8	Jurong West St 91 (Blk 909, 915) / Jurong West St 92 (Blk 929)	2	4	Jurong West Street 91 (Blk 909)	1
				Jurong West Street 91 (Blk 915)	1
				Jurong West Street 92 (Blk 929)	2
9	Alexandra Rd (The Anchorage)	1	3	Alexandra Road	3

				(The Anchorage)	
10	Goldhill Ave, Dr	1	3	Goldhill Avenue	2
				Goldhill Drive	1
11	Jln Mastuli / Jln Pelikat	1	3	Jalan Mastuli	1
				Jalan Pelikat	2
12	Tampines St 42 (Blk 446, 449) / Tampines St 43 (Blk 434)	2	3	Tampines Street 42 (Blk 446)	1
				Tampines Street 42 (Blk 449)	1
				Tampines Street 43 (Blk 434)	1
13	Choa Chu Kang St 51 (Blk 504, 513)	2	2	Choa Chu Kang Street 51 (Blk 504)	1
				Choa Chu Kang Street 51 (Blk 513)	1
14	Mergui Rd (Mergui Mans)	2	2	Mergui Road (Mergui Mansions)	2
15	Woodlands Ave 4 (Blk 610) / Woodlands Dr 50 (Blk 899B)	1	2	Woodlands Avenue 4 (Blk 610)	1
				Woodlands Drive 50 (Blk 899B)	1

16	Yishun Ind St 1 / Yishun St 22 (Blk 269A)	2	2	Yishun Industrial Street 1	1
				Yishun Street 22 (Blk 269A)	1

For a list of clusters under surveillance, please click here.

Dengue

You are now reading:

Dengue Clusters

Dengue Clusters

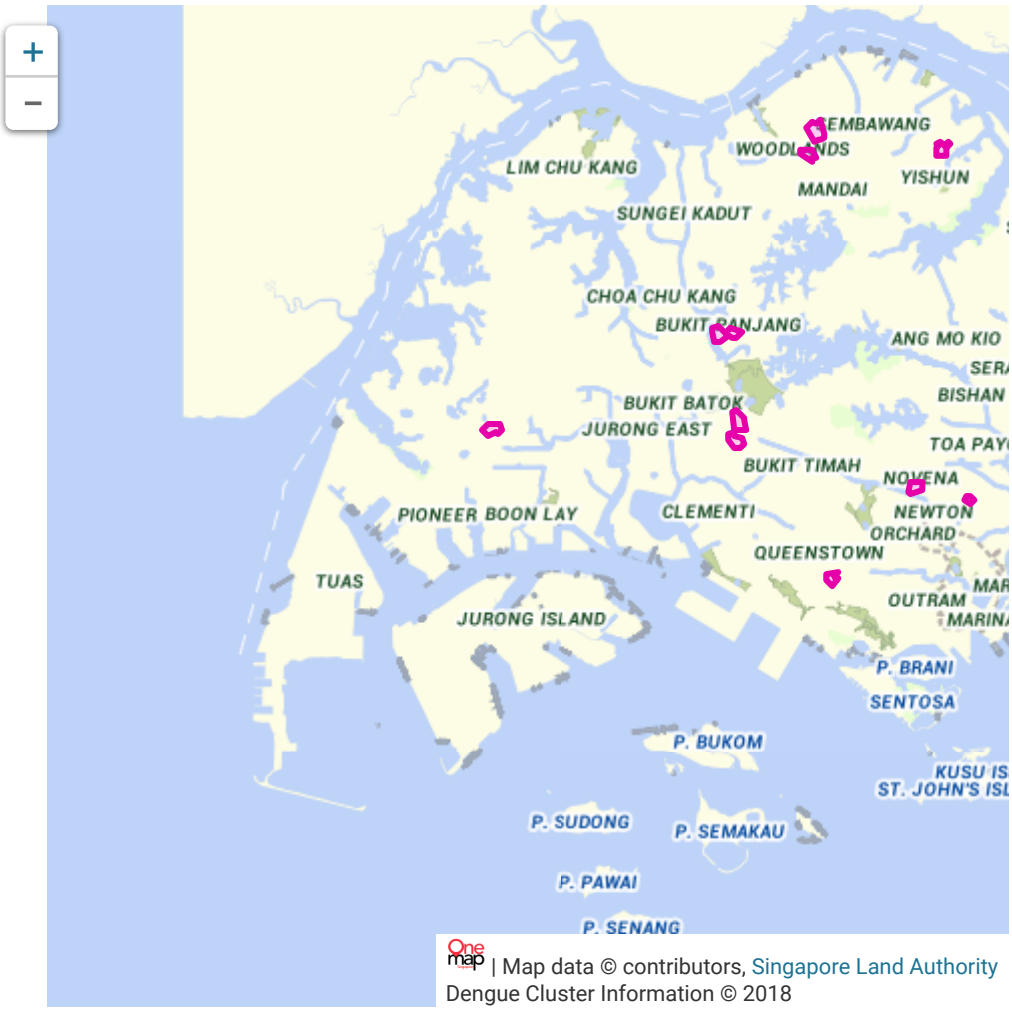

(Map data is updated at 1am. Kindly clear your internet browser cache after each visit, in order to view the latest information.)

Operationally, a dengue cluster indicates a locality with active transmission where intervention is targeted. It is formed when two or more cases have onset within 14 days and are located within 150m of each other (based on residential and workplace addresses as well as movement history). The clusters are categorised according to their current status. There are 3 alert levels:

Definition	Alert Level
High-risk area with 10 or more cases	**Red**
High-risk area with less than 10 cases	**Yellow**

No new cases, under surveillance for the next 21 days	**Green**

Each cluster map illustrates the extent of NEA's current vector control intervention. Please click on the cluster location to view the respective map.

The information provided in this listing is accurate as at 10 Dec 2018

S/N	Alert Level	Locality	Cases with onset in last 2 weeks	Cases since start of cluster	Breakdown	
					Location	No. of Cases
1		Woodlands Ave 6 (Blk 724) / Woodlands Circle (Blk 726, 728, 729, 730, 733, 734, 735, 737, 738, 739) / Woodlands Dr 70 (Blk 714)	3	38	Woodlands Avenue 6 (Blk 724)	1
					Woodlands Circle (Blk 726)	2
					Woodlands Circle (Blk 728)	1
					Woodlands Circle (Blk 729)	1
					Woodlands Circle (Blk 730)	2
					Woodlands Circle (Blk 733)	10
					Woodlands Circle (Blk 734)	2
					Woodlands Circle (Blk 735)	3
					Woodlands Circle	6

				(Blk 737)	
				Woodlands Circle (Blk 738)	7
				Woodlands Circle (Blk 739)	2
				Woodlands Drive 70 (Blk 714)	1
2	Chun Tin Rd / Jln Jurong Kechil / Lor Pisang Asam, Emas, Hijau, Raja, Udang / Yuk Tong Ave	8	33	Chun Tin Road	4
				Jalan Jurong Kechil	1
				Lorong Pisang Asam	6
				Lorong Pisang Emas	14
				Lorong Pisang Hijau	2
				Lorong Pisang Raja	3
				Lorong Pisang Udang	2
				Yuk Tong Avenue	1
3	Eastwood Dr, Green, Pl, Ter, Way / Jln Greja / Pesari Walk / Taman Bedok	9	30	Eastwood Drive	18
				Eastwood Green	4
				Eastwood	1

				Place	
				Eastwood Terrace	1
				Eastwood Way	1
				Jalan Greja	3
				Pesari Walk	1
				Taman Bedok	1
4	Cheng Soon Cres / Eng Kong Ter / Lor Kismis (Kismis View) / Toh Yi Dr, Rd	2	19	Cheng Soon Crescent	1
				Eng Kong Terrace	6
				Lorong Kismis (Kismis View)	1
				Toh Yi Drive	3
				Toh Yi Road	8
5	Bedok Reservoir Rd (Blk 135, 136, 137, 139, 142, 145)	5	14	Bedok Reservoir Road (Blk 135)	1
				Bedok Reservoir Road (Blk 136)	3
				Bedok Reservoir Road (Blk 137)	1
				Bedok	7

				Reservoir Road (Blk 139)	
				Bedok Reservoir Road (Blk 142)	1
				Bedok Reservoir Road (Blk 145)	1
6	Gangsa Rd (Blk 153, 154) / Hazel Pk Ter (Hazel Pk Condo)	4	5	Gangsa Road (Blk 153)	1
				Gangsa Road (Blk 154)	2
				Hazel Park Terrace (Hazel Pk Condo)	2
7	Kaki Bt Ind Ter	4	5	Kaki Bukit Industrial Terrace	5
8	Jurong West St 91 (Blk 909, 915) / Jurong West St 92 (Blk 929)	2	4	Jurong West Street 91 (Blk 909)	1
				Jurong West Street 91 (Blk 915)	1
				Jurong West Street 92 (Blk 929)	2
9	Alexandra Rd (The Anchorage)	1	3	Alexandra Road	3

				(The Anchorage)	
10	Goldhill Ave, Dr	1	3	Goldhill Avenue	2
				Goldhill Drive	1
11	Jln Mastuli / Jln Pelikat	1	3	Jalan Mastuli	1
				Jalan Pelikat	2
12	Tampines St 42 (Blk 446, 449) / Tampines St 43 (Blk 434)	2	3	Tampines Street 42 (Blk 446)	1
				Tampines Street 42 (Blk 449)	1
				Tampines Street 43 (Blk 434)	1
13	Cashew Rd (Blk 130, 133)	2	2	Cashew Road (Blk 130)	1
				Cashew Road (Blk 133)	1
14	Hougang Ave 1 (Blk 238) / Jln Lepas	2	2	Hougang Avenue 1 (Blk 238)	1
				Jalan Lepas	1
15	Kaki Bt Ave 1	2	2	Kaki Bukit Avenue 1	2
16	Mergui Rd (Mergui Mans)	2	2	Mergui Road (Mergui Mansions)	2
17	Woodlands Ave 4	1	2	Woodlands	1

	(Blk 610) / Woodlands Dr 50 (Blk 899B)			Avenue 4 (Blk 610)	
				Woodlands Drive 50 (Blk 899B)	1
18	Yishun Ind St 1 / Yishun St 22 (Blk 269A)	2	2	Yishun Industrial Street 1	1
				Yishun Street 22 (Blk 269A)	1

For a list of clusters under surveillance, please click here.

Dengue

You are now reading:

Dengue Clusters

Dengue Clusters

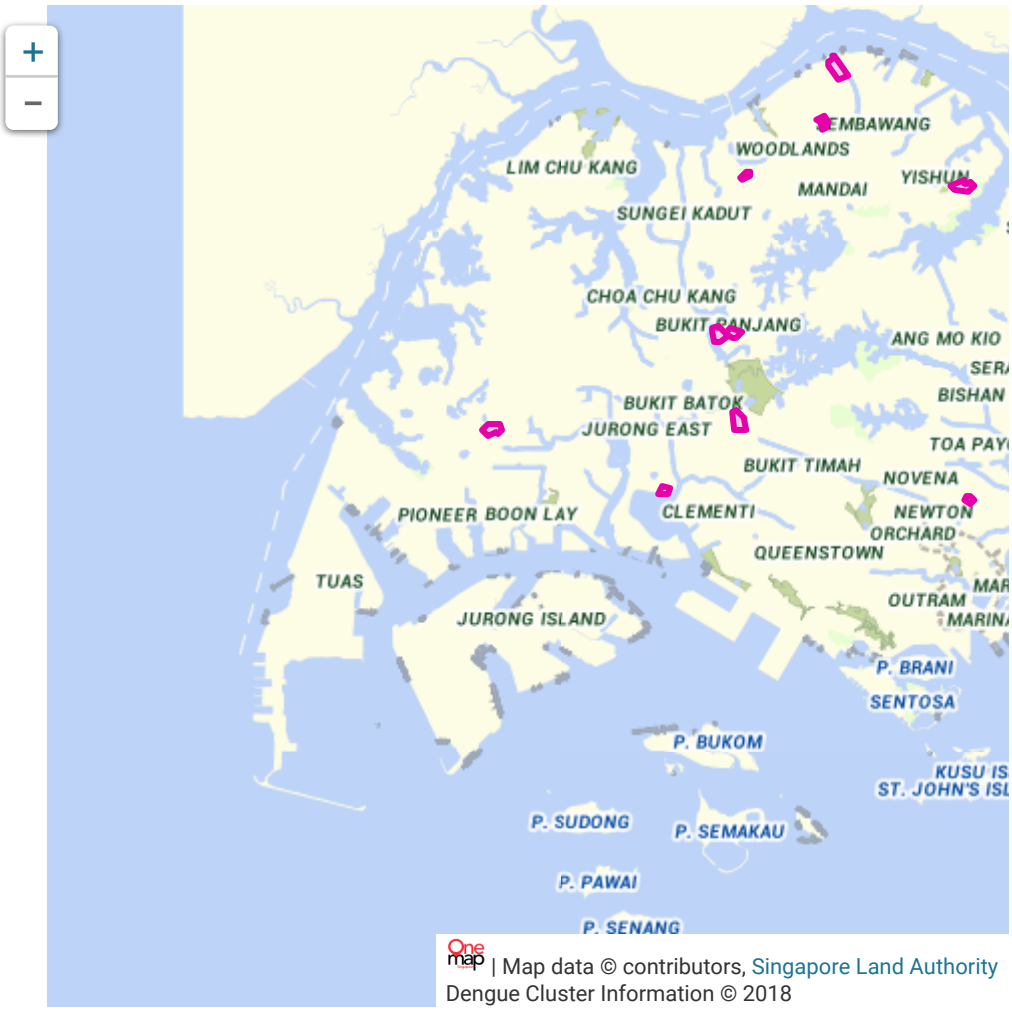

(Map data is updated at 1am. Kindly clear your internet browser cache after each visit, in order to view the latest information.)

Operationally, a dengue cluster indicates a locality with active transmission where intervention is targeted. It is formed when two or more cases have onset within 14 days and are located within 150m of each other (based on residential and workplace addresses as well as movement history). The clusters are categorised according to their current status. There are 3 alert levels:

Definition	Alert Level
High-risk area with 10 or more cases	**Red**
High-risk area with less than 10 cases	**Yellow**

No new cases, under surveillance for the next 21 days	**Green**

Each cluster map illustrates the extent of NEA's current vector control intervention. Please click on the cluster location to view the respective map.

The information provided in this listing is accurate as at 14 Dec 2018

S/N	Alert Level	Locality	Cases with onset in last 2 weeks	Cases since start of cluster	Breakdown	
					Location	No. of Cases
1		Chun Tin Rd / Jln Jurong Kechil / Lor Pisang Asam, Emas, Hijau, Raja, Udang / Yuk Tong Ave	5	35	Chun Tin Road	4
					Jalan Jurong Kechil	1
					Lorong Pisang Asam	6
					Lorong Pisang Emas	16
					Lorong Pisang Hijau	2
					Lorong Pisang Raja	3
					Lorong Pisang Udang	2
					Yuk Tong Avenue	1
2		Eastwood Dr, Green, Pl, Ter, Way / Jln Greja /	6	32	Eastwood Drive	19
					Eastwood	4

	Pesari Walk / Taman Bedok			Green	
				Eastwood Place	1
				Eastwood Terrace	1
				Eastwood Way	2
				Jalan Greja	3
				Pesari Walk	1
				Taman Bedok	1
3	Bedok Reservoir Rd (Blk 132, 135, 136, 137, 138, 139, 142, 145)	6	19	Bedok Reservoir Road (Blk 132)	1
				Bedok Reservoir Road (Blk 135)	2
				Bedok Reservoir Road (Blk 136)	4
				Bedok Reservoir Road (Blk 137)	1
				Bedok Reservoir Road (Blk 138)	1
				Bedok Reservoir Road (Blk 139)	8

				Bedok Reservoir Road (Blk 142)	1
				Bedok Reservoir Road (Blk 145)	1
4	Kaki Bt Ind Ter	4	9	Kaki Bukit Industrial Terrace	9
5	Jurong West St 91 (Blk 909, 913, 915) / Jurong West St 92 (Blk 929)	5	7	Jurong West Street 91 (Blk 909)	1
				Jurong West Street 91 (Blk 913)	1
				Jurong West Street 91 (Blk 915)	3
				Jurong West Street 92 (Blk 929)	2
6	Gangsa Rd (Blk 153, 154) / Hazel Pk Ter (Hazel Pk Condo)	1	5	Gangsa Road (Blk 153)	1
				Gangsa Road (Blk 154)	2
				Hazel Park Terrace (Hazel Pk Condo)	2
7	Senoko Cres, Dr, Rd	4	5	Senoko Crescent	1

				Senoko Drive	1
				Senoko Road	3
8	Pandan Gdns (Blk 411, 414)	3	4	Pandan Gardens (Blk 411)	3
				Pandan Gardens (Blk 414)	1
9	Woodlands Dr 60 (Blk 786B, 786E, 786F)	3	4	Woodlands Drive 60 (Blk 786B)	1
				Woodlands Drive 60 (Blk 786E)	1
				Woodlands Drive 60 (Blk 786F)	2
10	Yishun Ave 6 (Lilydale) / Yishun Ave 11 (Blk 418) / Yishun St 42	1	4	Yishun Avenue 6 (Lilydale)	1
				Yishun Avenue 11 (Blk 418)	1
				Yishun Street 42	2
11	Aljunied Cres (Blk 106, 110, 112)	1	3	Aljunied Crescent (Blk 106)	1
				Aljunied Crescent (Blk 110)	1
				Aljunied Crescent (Blk 112)	1

12	Hougang Ave 5 (Blk 319, 320, 324)	2	3	Hougang Avenue 5 (Blk 319)	1
				Hougang Avenue 5 (Blk 320)	1
				Hougang Avenue 5 (Blk 324)	1
13	Jln Mastuli / Jln Pelikat	1	3	Jalan Mastuli	1
				Jalan Pelikat	2
14	Jln Tenaga (Blk 651, 652, 654)	3	3	Jalan Tenaga (Blk 651)	1
				Jalan Tenaga (Blk 652)	1
				Jalan Tenaga (Blk 654)	1
15	Tampines St 42 (Blk 446, 449) / Tampines St 43 (Blk 434)	1	3	Tampines Street 42 (Blk 446)	1
				Tampines Street 42 (Blk 449)	1
				Tampines Street 43 (Blk 434)	1
16	Woodlands St 41 (Blk 421)	2	3	Woodlands Street 41 (Blk 421)	3
17	Cashew Rd (Blk 130, 133)	1	2	Cashew Road (Blk 130)	1

				Cashew Road (Blk 133)	1
18	Hougang Ave 1 (Blk 238) / Jln Lepas	2	2	Hougang Avenue 1 (Blk 238)	1
				Jalan Lepas	1
19	Kaki Bt Ave 1	1	2	Kaki Bukit Avenue 1	2
20	Mergui Rd (Mergui Mans)	1	2	Mergui Road (Mergui Mansions)	2

For a list of clusters under surveillance, please click here.

Dengue

You are now reading:

Dengue Clusters

Dengue Clusters

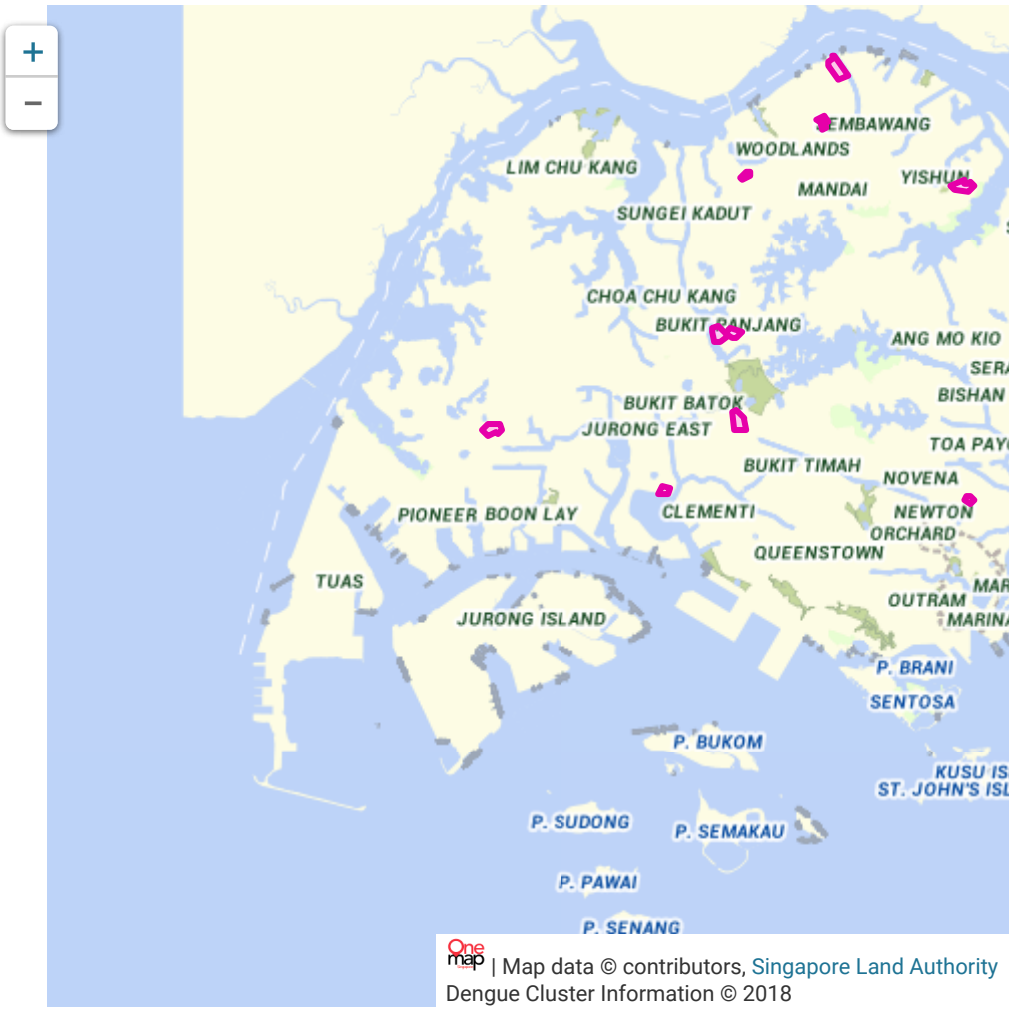

(Map data is updated at 1am. Kindly clear your internet browser cache after each visit, in order to view the latest information.)

Operationally, a dengue cluster indicates a locality with active transmission where intervention is targeted. It is formed when two or more cases have onset within 14 days and are located within 150m of each other (based on residential and workplace addresses as well as movement history). The clusters are categorised according to their current status. There are 3 alert levels:

Definition	Alert Level
High-risk area with 10 or more cases	**Red**
High-risk area with less than 10 cases	**Yellow**

	No new cases, under surveillance for the next 21 days	**Green**

Each cluster map illustrates the extent of NEA's current vector control intervention. Please click on the cluster location to view the respective map.

The information provided in this listing is accurate as at 17 Dec 2018

S/N	Alert Level	Locality	Cases with onset in last 2 weeks	Cases since start of cluster	Breakdown	
					Location	No. of Cases
1		Chun Tin Rd / Jln Jurong Kechil / Lor Pisang Asam, Emas, Hijau, Raja, Udang / Yuk Tong Ave	3	35	Chun Tin Road	4
					Jalan Jurong Kechil	1
					Lorong Pisang Asam	6
					Lorong Pisang Emas	16
					Lorong Pisang Hijau	2
					Lorong Pisang Raja	3
					Lorong Pisang Udang	2
					Yuk Tong Avenue	1
2		Eastwood Dr, Green, Pl, Ter, Way / Jln Greja / Pesari Walk / Taman Bedok	3	32	Eastwood Drive	19
					Eastwood Green	4

				Eastwood Place	1
				Eastwood Terrace	1
				Eastwood Way	2
				Jalan Greja	3
				Pesari Walk	1
				Taman Bedok	1
3	Bedok Reservoir Rd (Blk 131, 132, 135, 136, 137, 138, 139, 142, 145)	6	20	Bedok Reservoir Road (Blk 131)	1
				Bedok Reservoir Road (Blk 132)	1
				Bedok Reservoir Road (Blk 135)	2
				Bedok Reservoir Road (Blk 136)	4
				Bedok Reservoir Road (Blk 137)	1
				Bedok Reservoir Road (Blk 138)	1
				Bedok Reservoir	8

				Road (Blk 139)	
				Bedok Reservoir Road (Blk 142)	1
				Bedok Reservoir Road (Blk 145)	1
4	Jurong West St 91 (Blk 909, 913, 915) / Jurong West St 92 (Blk 929)	6	9	Jurong West Street 91 (Blk 909)	1
				Jurong West Street 91 (Blk 913)	2
				Jurong West Street 91 (Blk 915)	4
				Jurong West Street 92 (Blk 929)	2
5	Kaki Bt Ind Ter	3	9	Kaki Bukit Industrial Terrace	9
6	Gangsa Rd (Blk 153, 154) / Hazel Pk Ter (Hazel Pk Condo)	1	6	Gangsa Road (Blk 153)	2
				Gangsa Road (Blk 154)	2
				Hazel Park Terrace (Hazel Pk Condo)	2
7	Pandan Gdns (Blk 411, 414)	4	5	Pandan Gardens (Blk 411)	4

				Pandan Gardens (Blk 414)	1
8	Senoko Cres, Dr, Rd	2	5	Senoko Crescent	1
				Senoko Drive	1
				Senoko Road	3
9	Jln Damai (Blk 667) / Jln Tenaga (Blk 651, 652, 654)	3	4	Jalan Damai (Blk 667)	1
				Jalan Tenaga (Blk 651)	1
				Jalan Tenaga (Blk 652)	1
				Jalan Tenaga (Blk 654)	1
10	Woodlands Dr 60 (Blk 786B, 786E, 786F)	3	4	Woodlands Drive 60 (Blk 786B)	1
				Woodlands Drive 60 (Blk 786E)	1
				Woodlands Drive 60 (Blk 786F)	2
11	Yishun Ave 6 (Lilydale) / Yishun Ave 11 (Blk 418) / Yishun St 42	1	4	Yishun Avenue 6 (Lilydale)	1
				Yishun Avenue 11 (Blk 418)	1
				Yishun Street 42	2

12	Hougang Ave 5 (Blk 319, 320, 324)	2	3	Hougang Avenue 5 (Blk 319)	1
				Hougang Avenue 5 (Blk 320)	1
				Hougang Avenue 5 (Blk 324)	1
13	Woodlands St 41 (Blk 421)	2	3	Woodlands Street 41 (Blk 421)	3
14	Alexandra Rd (The Anchorage)	2	2	Alexandra Road (The Anchorage)	2
15	Cashew Rd (Blk 130, 133)	1	2	Cashew Road (Blk 130)	1
				Cashew Road (Blk 133)	1
16	Kaki Bt Ave 1	1	2	Kaki Bukit Avenue 1	2
17	Macpherson Rd / Siak Kew Ave	2	2	Macpherson Road	1
				Siak Kew Avenue	1
18	Mergui Rd (Mergui Mans)	1	2	Mergui Road (Mergui Mansions)	2

For a list of clusters under surveillance, please click here.

Dengue

You are now reading:

Dengue Clusters

Dengue Clusters

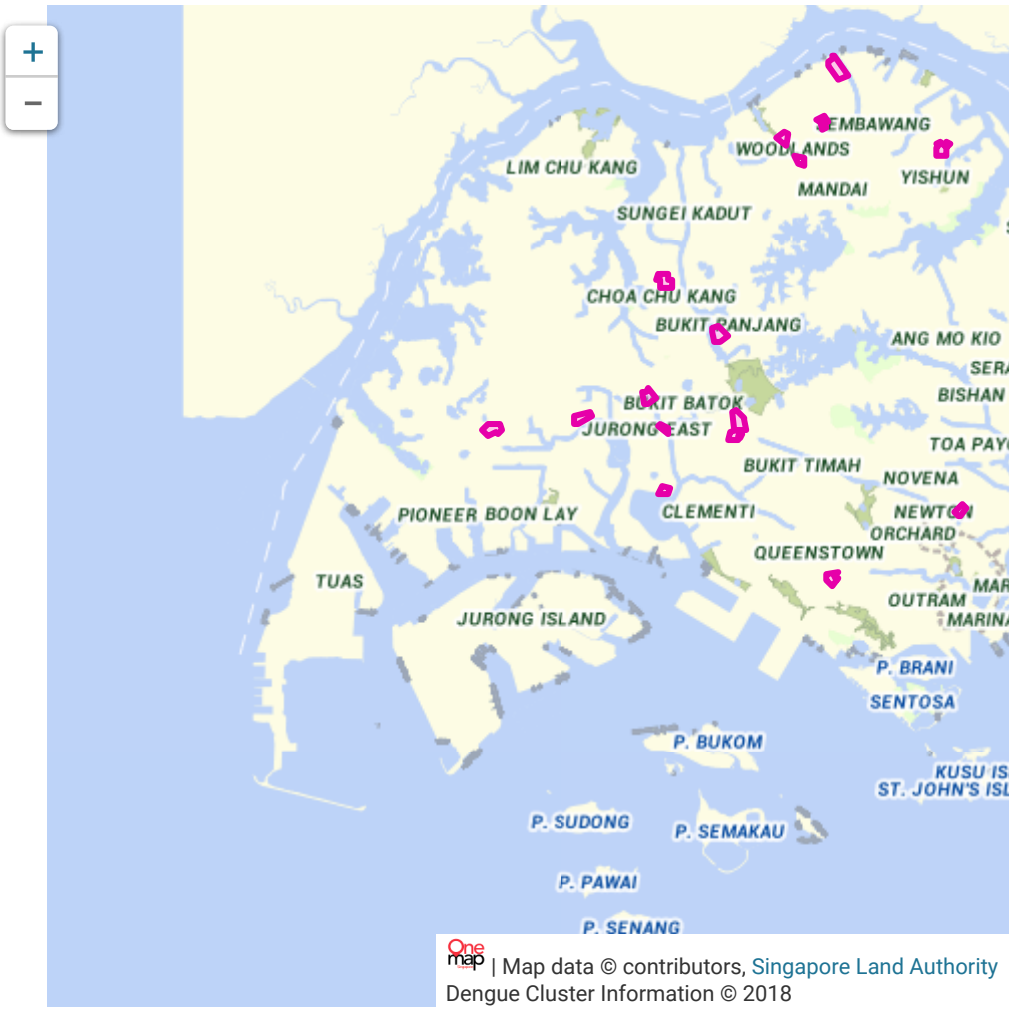

(Map data is updated at 1am. Kindly clear your internet browser cache after each visit, in order to view the latest information.)

Operationally, a dengue cluster indicates a locality with active transmission where intervention is targeted. It is formed when two or more cases have onset within 14 days and are located within 150m of each other (based on residential and workplace addresses as well as movement history). The clusters are categorised according to their current status. There are 3 alert levels:

Definition	Alert Level
High-risk area with 10 or more cases	**Red**
High-risk area with less than 10 cases	**Yellow**

No new cases, under surveillance for the next 21 days	**Green**

Each cluster map illustrates the extent of NEA's current vector control intervention. Please click on the cluster location to view the respective map.

The information provided in this listing is accurate as at 21 Dec 2018

S/N	Alert Level	Locality	Cases with onset in last 2 weeks	Cases since start of cluster	Breakdown	
					Location	No. of Cases
1		Chun Tin Rd / Jln Jurong Kechil / Lor Pisang Asam, Emas, Hijau, Raja, Udang / Yuk Tong Ave	1	35	Chun Tin Road	4
					Jalan Jurong Kechil	1
					Lorong Pisang Asam	6
					Lorong Pisang Emas	16
					Lorong Pisang Hijau	2
					Lorong Pisang Raja	3
					Lorong Pisang Udang	2
					Yuk Tong Avenue	1
2		Eastwood Dr, Green, Pl, Ter, Way / Jln Greja / Pesari Walk / Taman Bedok	2	33	Eastwood Drive	19
					Eastwood Green	4
					Eastwood Place	1
					Eastwood	2

				Terrace	
				Eastwood Way	2
				Jalan Greja	3
				Pesari Walk	1
				Taman Bedok	1
				Bedok Reservoir Road (Blk 628)	1
3	Bedok Reservoir Rd (Blk 128, 131, 132, 135, 136, 137, 138, 139, 142, 144, 145, 147, 622, 628)	12	28	Bedok Reservoir Road (Blk 128)	1
				Bedok Reservoir Road (Blk 131)	2
				Bedok Reservoir Road (Blk 132)	1
				Bedok Reservoir Road (Blk 135)	2
				Bedok Reservoir Road (Blk 136)	4
				Bedok Reservoir Road (Blk 137)	2
				Bedok Reservoir Road (Blk 138)	1

				Bedok Reservoir Road (Blk 139)	8
				Bedok Reservoir Road (Blk 142)	2
				Bedok Reservoir Road (Blk 144)	1
				Bedok Reservoir Road (Blk 145)	1
				Bedok Reservoir Road (Blk 147)	1
				Bedok Reservoir Road (Blk 622)	1
4	Kaki Bt Ind Ter	6	12	Kaki Bukit Industrial Terrace	12
5	Jurong West St 91 (Blk 909, 913, 915) / Jurong West St 92 (Blk 929)	3	10	Jurong West Street 91 (Blk 909)	1
				Jurong West Street 91 (Blk 913)	3
				Jurong West Street 91 (Blk 915)	4
				Jurong West Street 92 (Blk 929)	2

6	Gangsa Rd (Blk 153, 154) / Hazel Pk Ter (Hazel Pk Condo)	2	7	Gangsa Road (Blk 153)	3
				Gangsa Road (Blk 154)	2
				Hazel Park Terrace (Hazel Pk Condo)	2
7	Pandan Gdns (Blk 411, 414)	5	7	Pandan Gardens (Blk 411)	5
				Pandan Gardens (Blk 414)	2
8	Senoko Cres, Dr, Rd	2	7	Senoko Crescent	1
				Senoko Drive	2
				Senoko Road	4
9	Jln Damai (Blk 664, 667) / Jln Tenaga (Blk 651, 652, 654)	4	6	Jalan Damai (Blk 664)	1
				Jalan Damai (Blk 667)	1
				Jalan Tenaga (Blk 651)	1
				Jalan Tenaga (Blk 652)	1
				Jalan Tenaga (Blk 654)	2
10	Hougang Ave 5 (Blk 308, 319, 320, 324)	3	5	Hougang Avenue 5 (Blk 308)	2
				Hougang Avenue 5 (Blk 319)	1
				Hougang	1

				Avenue 5 (Blk 320)	
				Hougang Avenue 5 (Blk 324)	1
11	Carlisle Rd / Hertford Rd (Vanadium)	3	4	Carlisle Road	3
				Hertford Road (Vanadium)	1
12	Jln Kuang / Jln Pergam / Upp Changi Rd East (Sunhaven)	3	4	Jalan Kuang	1
				Jalan Pergam	1
				Upper Changi Road East (Sunhaven)	2
13	Woodlands Dr 60 (Blk 786B, 786E, 786F)	2	4	Woodlands Drive 60 (Blk 786B)	1
				Woodlands Drive 60 (Blk 786E)	1
				Woodlands Drive 60 (Blk 786F)	2
14	Ang Mo Kio Ave 5 / S'goon Nth Ave 4 (Blk 532) / S'goon Nth Ave 5	1	3	Ang Mo Kio Avenue 5	1
				Serangoon North Avenue 4 (Blk 532)	1
				Serangoon North Avenue 5	1
15	Corporation Rd (Parc Vista) / Jurong West St 52 (Blk 517C, 518)	1	3	Corporation Road (Parc Vista)	1
				Jurong West Street 52	1

				(Blk 517C)	
				Jurong West Street 52 (Blk 518)	1
16	S'goon Ave 1 (Blk 403, 408) / S'goon Ctrl (Blk 412)	1	3	Serangoon Avenue 1 (Blk 403)	1
				Serangoon Avenue 1 (Blk 408)	1
				Serangoon Central (Blk 412)	1
17	Ubi Ave 1, Cres, Rd 1	1	3	Ubi Avenue 1	1
				Ubi Crescent	1
				Ubi Road 1	1
18	Yishun Ind St 1 / Yishun St 22 (Blk 269A)	1	3	Yishun Industrial Street 1	1
				Yishun Street 22 (Blk 269A)	2
19	Alexandra Rd (The Anchorage)	2	2	Alexandra Road (The Anchorage)	2
20	Bedok Rd / Bedok Rd (Country Pk Condo)	1	2	Bedok Road	1
				Bedok Road (Country Park Condominium)	1
21	Bt Batok West Ave 9 (Blk 448A, 448C)	2	2	Bt Batok West Avenue 9 (Blk 448A)	1
				Bt Batok West Avenue 9 (Blk 448C)	1

22	Choa Chu Kang Nth 5 (Blk 757) / Choa Chu Kang St 53 (Blk 701)	2	2	Choa Chu Kang North 5 (Blk 757)	1
				Choa Chu Kang Street 53 (Blk 701)	1
23	Hougang St 21 (Blk 211, 231)	2	2	Hougang Street 21 (Blk 211)	1
				Hougang Street 21 (Blk 231)	1
24	Lor Kismis / Lor Kismis (Kismis View)	1	2	Lorong Kismis	1
				Lor Kismis (Kismis View)	1
25	Lor Marzuki	2	2	Lorong Marzuki	2
26	Macpherson Rd / Siak Kew Ave	2	2	Macpherson Road	1
				Siak Kew Avenue	1
27	Toh Guan Rd (Blk 273, 274)	1	2	Toh Guan Road (Blk 273)	1
				Toh Guan Road (Blk 274)	1
28	Woodlands Dr 14 (Blk 521, 523)	2	2	Woodlands Drive 14 (Blk 521)	1
				Woodlands Drive 14 (Blk 523)	1
29	Woodlands St 81 (Blk 804, 806)	2	2	Woodlands Street 81 (Blk 804)	1

Woodlands Street 81 (Blk 806)	1

For a list of clusters under surveillance, please click here.

Dengue

You are now reading:

Dengue Clusters

Dengue Clusters

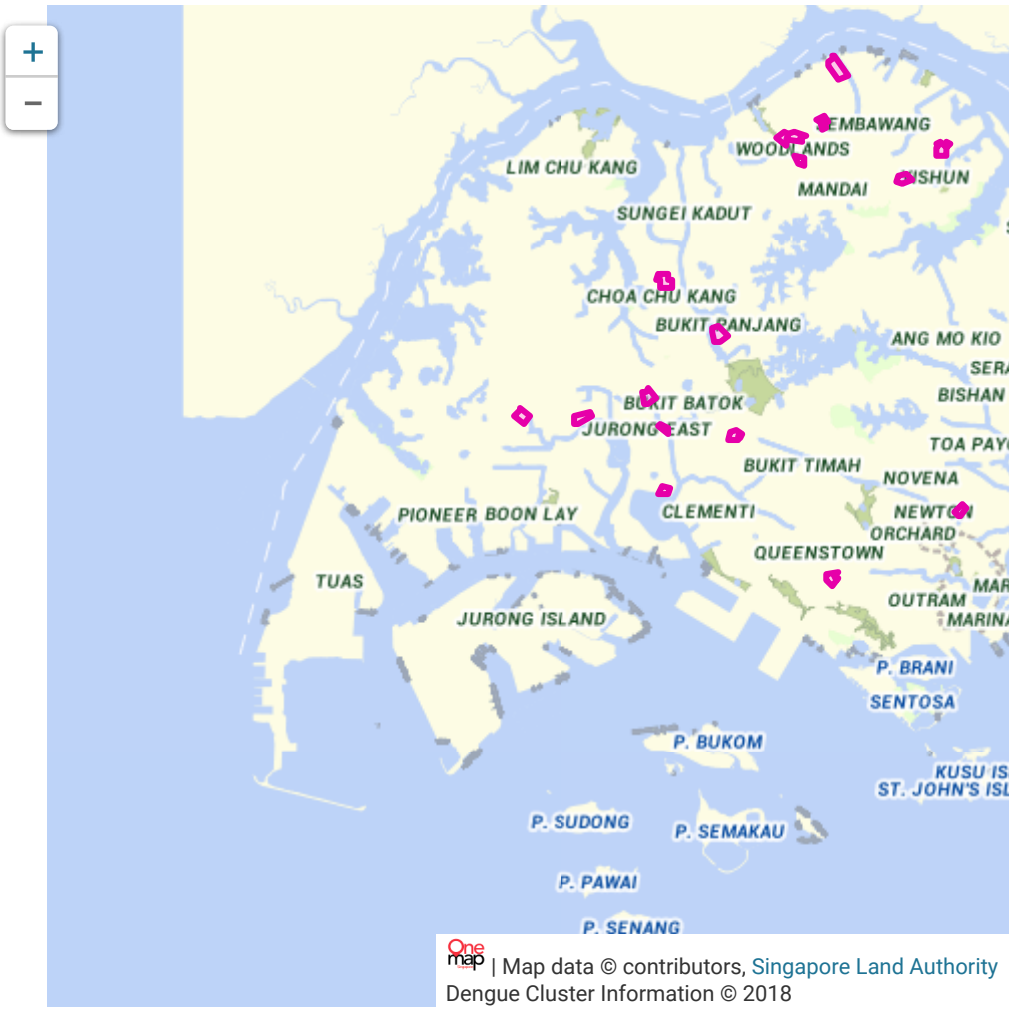

(Map data is updated at 1am. Kindly clear your internet browser cache after each visit, in order to view the latest information.)

Operationally, a dengue cluster indicates a locality with active transmission where intervention is targeted. It is formed when two or more cases have onset within 14 days and are located within 150m of each other (based on residential and workplace addresses as well as movement history). The clusters are categorised according to their current status. There are 3 alert levels:

Definition	Alert Level
High-risk area with 10 or more cases	**Red**
High-risk area with less than 10 cases	**Yellow**

No new cases, under surveillance for the next 21 days	**Green**

Each cluster map illustrates the extent of NEA's current vector control intervention. Please click on the cluster location to view the respective map.

The information provided in this listing is accurate as at 24 Dec 2018

S/N	Alert Level	Locality	Cases with onset in last 2 weeks	Cases since start of cluster	Breakdown	
					Location	No. of Cases
1		Eastwood Dr, Green, Pl, Ter, Way / Jln Greja / Pesari Walk / Taman Bedok	2	33	Eastwood Drive	19
					Eastwood Green	4
					Eastwood Place	1
					Eastwood Terrace	2
					Eastwood Way	2
					Jalan Greja	3
					Pesari Walk	1
					Taman Bedok	1
2		Bedok Reservoir Rd (Blk 128, 130, 131, 132, 135, 136, 137, 138, 139, 142, 144, 145, 147, 622, 628)	12	30	Bedok Reservoir Road (Blk 128)	1
					Bedok Reservoir Road (Blk 130)	1
					Bedok Reservoir Road (Blk 131)	2

Bedok Reservoir Road (Blk 132)	1
Bedok Reservoir Road (Blk 135)	2
Bedok Reservoir Road (Blk 136)	4
Bedok Reservoir Road (Blk 137)	2
Bedok Reservoir Road (Blk 138)	1
Bedok Reservoir Road (Blk 139)	8
Bedok Reservoir Road (Blk 142)	2
Bedok Reservoir Road (Blk 144)	2
Bedok Reservoir Road (Blk 145)	1
Bedok Reservoir Road (Blk 147)	1

				Bedok Reservoir Road (Blk 622)	1
				Bedok Reservoir Road (Blk 628)	1
3	Kaki Bt Ind Ter	3	12	Kaki Bukit Industrial Terrace	12
4	Pandan Gdns (Blk 411, 414)	4	8	Pandan Gardens (Blk 411)	6
				Pandan Gardens (Blk 414)	2
5	Gangsa Rd (Blk 153, 154) / Hazel Pk Ter (Hazel Pk Condo)	2	7	Gangsa Road (Blk 153)	3
				Gangsa Road (Blk 154)	2
				Hazel Park Terrace (Hazel Park Condominium)	2
6	Senoko Cres, Dr, Rd	2	7	Senoko Crescent	1
				Senoko Drive	2
				Senoko Road	4
7	Jln Damai (Blk 664, 667) / Jln Tenaga (Blk 651, 652, 654)	3	6	Jalan Damai (Blk 664)	1
				Jalan Damai (Blk 667)	1
				Jalan Tenaga (Blk 651)	1
				Jalan Tenaga	1

				(Blk 652)	
				Jalan Tenaga (Blk 654)	2
8	Hougang Ave 5 (Blk 308, 319, 320, 324)	2	5	Hougang Avenue 5 (Blk 308)	2
				Hougang Avenue 5 (Blk 319)	1
				Hougang Avenue 5 (Blk 320)	1
				Hougang Avenue 5 (Blk 324)	1
9	Carlisle Rd / Hertford Rd (Vanadium)	2	4	Carlisle Road	3
				Hertford Road (Vanadium)	1
10	Jln Kuang / Jln Pergam / Upp Changi Rd East (Sunhaven)	2	4	Jalan Kuang	1
				Jalan Pergam	1
				Upper Changi Road East (Sunhaven)	2
11	Woodlands Dr 60 (Blk 786B, 786E, 786F)	1	4	Woodlands Drive 60 (Blk 786B)	1
				Woodlands Drive 60 (Blk 786E)	1
				Woodlands Drive 60 (Blk 786F)	2
12	Corporation Rd (Parc Vista) / Jurong West St 52	1	3	Corporation Road (Parc Vista)	1

	(Blk 517C, 518)			Jurong West Street 52 (Blk 517C)	1
				Jurong West Street 52 (Blk 518)	1
13	S'goon Ave 1 (Blk 403, 408) / S'goon Ctrl (Blk 412)	1	3	Serangoon Avenue 1 (Blk 403)	1
				Serangoon Avenue 1 (Blk 408)	1
				Serangoon Central (Blk 412)	1
14	Ubi Ave 1, Cres, Rd 1	1	3	Ubi Avenue 1	1
				Ubi Crescent	1
				Ubi Road 1	1
15	Woodlands St 82 (Blk 848, 849)	2	3	Woodlands Street 82 (Blk 848)	2
				Woodlands Street 82 (Blk 849)	1
16	Yishun Ind St 1 / Yishun St 22 (Blk 269A)	1	3	Yishun Industrial Street 1	1
				Yishun Street 22 (Blk 269A)	2
17	Alexandra Rd (The Anchorage)	2	2	Alexandra Road (The Anchorage)	2
18	Bedok Rd / Bedok Rd	1	2	Bedok Road	1
				Bedok Road	1

	(Country Pk Condo)			(Country Park Condominium)	
19	Bt Batok West Ave 9 (Blk 448A, 448C)	2	2	Bukit Batok West Avenue 9 (Blk 448A)	1
				Bukit Batok West Avenue 9 (Blk 448C)	1
20	Choa Chu Kang Nth 5 (Blk 757) / Choa Chu Kang St 53 (Blk 701)	2	2	Choa Chu Kang North 5 (Blk 757)	1
				Choa Chu Kang Street 53 (Blk 701)	1
21	Hougang St 21 (Blk 211, 231)	2	2	Hougang Street 21 (Blk 211)	1
				Hougang Street 21 (Blk 231)	1
22	Jurong West Ave 5 (Blk 729) / Jurong West St 72 (Blk 731)	2	2	Jurong West Avenue 5 (Blk 729)	1
				Jurong West Street 72 (Blk 731)	1
23	Lor Kismis / Lor Kismis (Kismis View)	1	2	Lorong Kismis	1
				Lorong Kismis (Kismis View)	1
24	Lor Marzuki	2	2	Lorong Marzuki	2
25	Macpherson Rd / Siak Kew Ave	2	2	Macpherson Road	1
				Siak Kew Avenue	1
26	Toh Guan Rd	1	2	Toh Guan	1

	(Blk 273, 274)			Road (Blk 273)	
				Toh Guan Road (Blk 274)	1
27	Woodlands Dr 14 (Blk 521, 523)	2	2	Woodlands Drive 14 (Blk 521)	1
				Woodlands Drive 14 (Blk 523)	1
28	Woodlands St 81 (Blk 804, 806)	2	2	Woodlands Street 81 (Blk 804)	1
				Woodlands Street 81 (Blk 806)	1
29	Yishun St 71 (Blk 714, 719)	2	2	Yishun Street 71 (Blk 714)	1
				Yishun Street 71 (Blk 719)	1

For a list of clusters under surveillance, please click here.

Dengue

You are now reading:

Dengue Clusters

Dengue Clusters

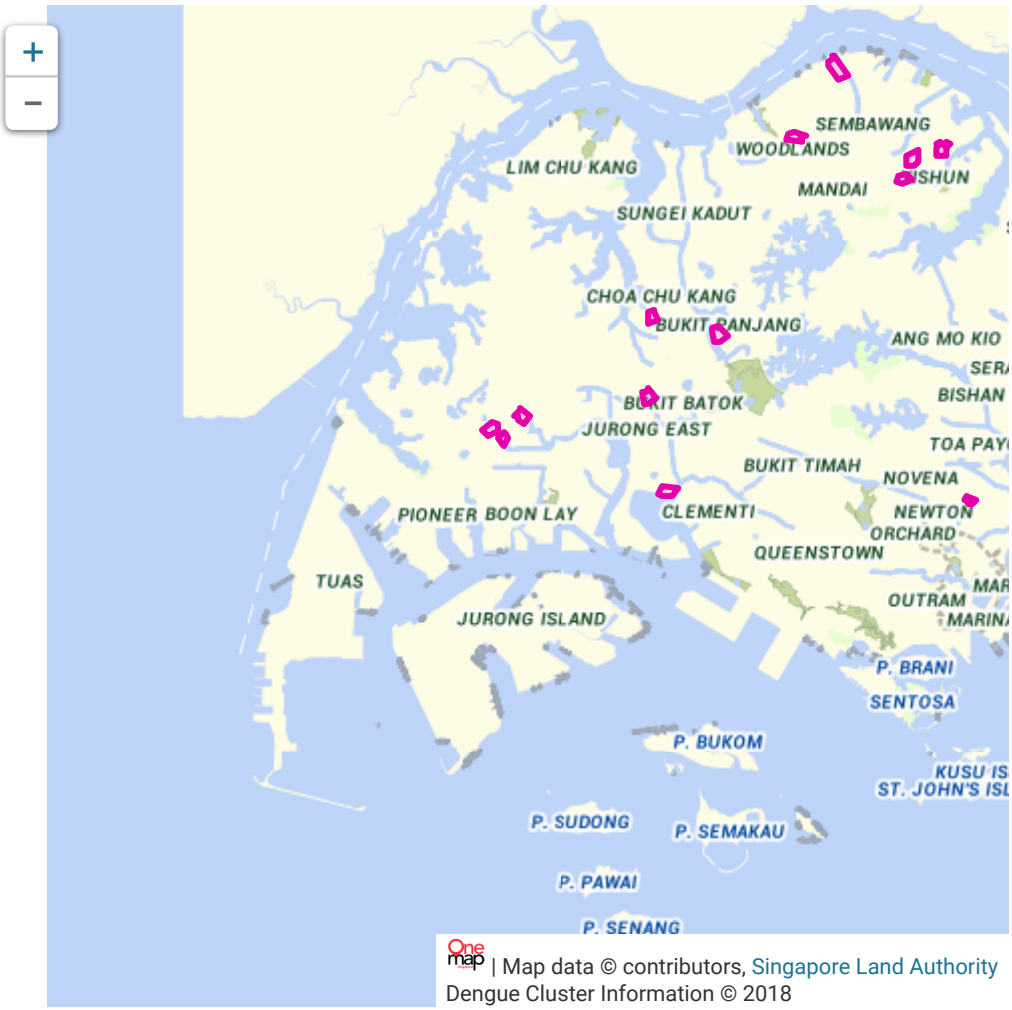

(Map data is updated at 1am. Kindly clear your internet browser cache after each visit, in order to view the latest information.)

Operationally, a dengue cluster indicates a locality with active transmission where intervention is targeted. It is formed when two or more cases have onset within 14 days and are located within 150m of each other (based on residential and workplace addresses as well as movement history). The clusters are categorised according to their current status. There are 3 alert levels:

Definition	Alert Level
High-risk area with 10 or more cases	**Red**
High-risk area with less than 10 cases	**Yellow**

No new cases, under surveillance for the next 21 days	**Green**

Each cluster map illustrates the extent of NEA's current vector control intervention. Please click on the cluster location to view the respective map.

The information provided in this listing is accurate as at 28 Dec 2018

S/N	Alert Level	Locality	Cases with onset in last 2 weeks	Cases since start of cluster	Breakdown	
					Location	No. of Cases
1		Bedok Reservoir Rd (Blk 122, 124, 128, 130, 131, 132, 134, 135, 136, 137, 138, 139, 140, 142, 144, 145, 147, 148, 150, 608, 609, 622, 623, 628)	29	52	Bedok Reservoir Road (Blk 122)	1
					Bedok Reservoir Road (Blk 124)	1
					Bedok Reservoir Road (Blk 128)	1
					Bedok Reservoir Road (Blk 130)	1
					Bedok Reservoir Road (Blk 131)	2
					Bedok Reservoir Road (Blk 132)	1
					Bedok Reservoir	1

Road (Blk 134)	
Bedok Reservoir Road (Blk 135)	2
Bedok Reservoir Road (Blk 136)	9
Bedok Reservoir Road (Blk 137)	2
Bedok Reservoir Road (Blk 138)	2
Bedok Reservoir Road (Blk 139)	10
Bedok Reservoir Road (Blk 140)	1
Bedok Reservoir Road (Blk 142)	4
Bedok Reservoir Road (Blk 144)	3
Bedok Reservoir Road (Blk 145)	1
Bedok	2

				Reservoir Road (Blk 147)	
				Bedok Reservoir Road (Blk 148)	1
				Bedok Reservoir Road (Blk 150)	2
				Bedok Reservoir Road (Blk 608)	1
				Bedok Reservoir Road (Blk 609)	1
				Bedok Reservoir Road (Blk 622)	1
				Bedok Reservoir Road (Blk 623)	1
				Bedok Reservoir Road (Blk 628)	1
2	Eastwood Dr, Green, Pl, Rd, Ter, Way / Jln Greja / Pesari Walk / Taman Bedok	6	38	Eastwood Drive	22
				Eastwood Green	4
				Eastwood Place	1
				Eastwood Road	1

				Eastwood Terrace	2
				Eastwood Way	3
				Jalan Greja	3
				Pesari Walk	1
				Taman Bedok	1
3	Pandan Gdns (Blk 404, 405, 411, 412, 414)	12	18	Pandan Gardens (Blk 404)	1
				Pandan Gardens (Blk 405)	1
				Pandan Gardens (Blk 411)	6
				Pandan Gardens (Blk 412)	1
				Pandan Gardens (Blk 414)	9
4	Kaki Bt Ind Ter / Kaki Bt Pl	5	15	Kaki Bukit Industrial Terrace	14
				Kaki Bukit Place	1
5	Cashew Rd (Cashew Hts) / Gangsa Rd (Blk 153, 154) / Hazel Pk Ter (Hazel Pk Condo)	3	9	Cashew Road (Cashew Heights)	1
				Gangsa Road (Blk 153)	3
				Gangsa Road (Blk 154)	2
				Hazel Park Terrace	3

				(Hazel Park Condominium)	
6	Hougang Ave 5 (Blk 308, 310, 319, 320, 324)	4	8	Hougang Avenue 5 (Blk 308)	2
				Hougang Avenue 5 (Blk 310)	3
				Hougang Avenue 5 (Blk 319)	1
				Hougang Avenue 5 (Blk 320)	1
				Hougang Avenue 5 (Blk 324)	1
7	Jln Damai (Blk 664, 667) / Jln Tenaga (Blk 651, 652, 654, 655, 658)	5	8	Jalan Damai (Blk 664)	1
				Jalan Damai (Blk 667)	1
				Jalan Tenaga (Blk 651)	1
				Jalan Tenaga (Blk 652)	1
				Jalan Tenaga (Blk 654)	2
				Jalan Tenaga (Blk 655)	1
				Jalan Tenaga (Blk 658)	1
8	Senoko Cres, Dr, Rd	2	8	Senoko Crescent	1
				Senoko Drive	2
				Senoko Road	5

9	Bedok Ave, Rd / Bedok Rd (Country Pk Condo)	2	3	Bedok Avenue	1
				Bedok Road	1
				Bedok Road (Country Park Condominium)	1
10	Bedok Gdn / Limau Gr	2	3	Bedok Garden	2
				Limau Grove	1
11	Jurong West Ave 5 (Blk 729) / Jurong West St 72 (Blk 731)	3	3	Jurong West Avenue 5 (Blk 729)	2
				Jurong West Street 72 (Blk 731)	1
12	Mergui Rd (Mergui Mans, Pristine Hts)	1	3	Mergui Road (Mergui Mansions)	2
				Mergui Road (Pristine Heights)	1
13	Ubi Ave 1, Cres, Rd 1	1	3	Ubi Avenue 1	1
				Ubi Crescent	1
				Ubi Road 1	1
14	Woodlands St 82 (Blk 848, 849)	2	3	Woodlands Street 82 (Blk 848)	2
				Woodlands Street 82 (Blk 849)	1
15	Yishun Ind St 1 / Yishun St 22 (Blk 269A)	1	3	Yishun Industrial Street 1	1
				Yishun Street 22 (Blk 269A)	2
16	Yunnan Dr 1,	2	3	Yunnan Drive	2

	Rd			1	
				Yunnan Road	1
17	Bt Batok West Ave 9 (Blk 448A, 448C)	2	2	Bukit Batok West Avenue 9 (Blk 448A)	1
				Bukit Batok West Avenue 9 (Blk 448C)	1
18	Choa Chu Kang Ave 2 (Blk 274) / Choa Chu Kang Ave 3 (Blk 281)	2	2	Choa Chu Kang Avenue 2 (Blk 274)	1
				Choa Chu Kang Avenue 3 (Blk 281)	1
19	Hougang St 21 (Blk 211, 231)	2	2	Hougang Street 21 (Blk 211)	1
				Hougang Street 21 (Blk 231)	1
20	Ipoh Ln (Imperial Hts, Versilia on Haig)	2	2	Ipoh Lane (Imperial Heights)	1
				Ipoh Lane (Versilia on Haig)	1
21	Jurong West St 91 (Blk 909, 914)	2	2	Jurong West Street 91 (Blk 909)	1
				Jurong West Street 91 (Blk 914)	1
22	Lengkong Empat / Lengkong Tujoh	2	2	Lengkong Empat	1
				Lengkong	1

	(Vacanza @ East)			Tujoh (Vacanza @ East)	
23	Lor Marzuki	2	2	Lorong Marzuki	2
24	Yishun St 11 (Blk 123, 132)	2	2	Yishun Street 11 (Blk 123)	1
				Yishun Street 11 (Blk 132)	1
25	Yishun St 71 (Blk 714, 719)	2	2	Yishun Street 71 (Blk 714)	1
				Yishun Street 71 (Blk 719)	1

For a list of clusters under surveillance, please click here.

Dengue

You are now reading:

Dengue Clusters

Dengue Clusters

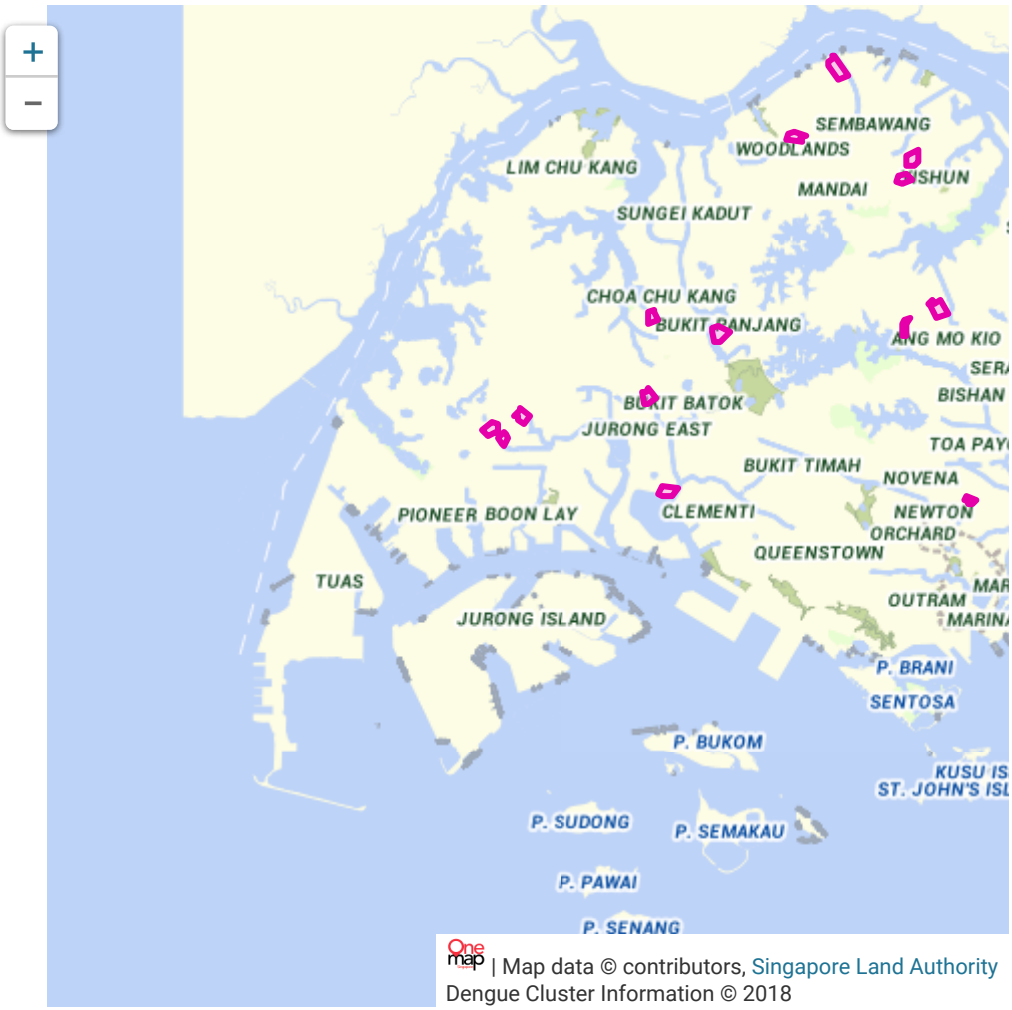

(Map data is updated at 1am. Kindly clear your internet browser cache after each visit, in order to view the latest information.)

Operationally, a dengue cluster indicates a locality with active transmission where intervention is targeted. It is formed when two or more cases have onset within 14 days and are located within 150m of each other (based on residential and workplace addresses as well as movement history). The clusters are categorised according to their current status. There are 3 alert levels:

Definition	Alert Level
High-risk area with 10 or more cases	**Red**
High-risk area with less than 10 cases	**Yellow**

	No new cases, under surveillance for the next 21 days	**Green**

Each cluster map illustrates the extent of NEA's current vector control intervention. Please click on the cluster location to view the respective map.

The information provided in this listing is accurate as at 31 Dec 2018

S/N	Alert Level	Locality	Cases with onset in last 2 weeks	Cases since start of cluster	Breakdown	
					Location	No. of Cases
1		Bedok Reservoir Rd (Blk 122, 124, 128, 130, 131, 132, 134, 135, 136, 137, 138, 139, 140, 142, 144, 145, 147, 148, 150, 608, 609, 613B, 622, 623, 628, 629)	25	55	Bedok Reservoir Road (Blk 122)	1
					Bedok Reservoir Road (Blk 124)	1
					Bedok Reservoir Road (Blk 128)	1
					Bedok Reservoir Road (Blk 130)	1
					Bedok Reservoir Road (Blk 131)	2
					Bedok Reservoir Road (Blk 132)	1
					Bedok Reservoir	1

Road (Blk 134)	
Bedok Reservoir Road (Blk 135)	2
Bedok Reservoir Road (Blk 136)	10
Bedok Reservoir Road (Blk 137)	2
Bedok Reservoir Road (Blk 138)	2
Bedok Reservoir Road (Blk 139)	10
Bedok Reservoir Road (Blk 140)	1
Bedok Reservoir Road (Blk 142)	4
Bedok Reservoir Road (Blk 144)	3
Bedok Reservoir Road (Blk 145)	1
Bedok	2

Reservoir Road (Blk 147)	
Bedok Reservoir Road (Blk 148)	1
Bedok Reservoir Road (Blk 150)	2
Bedok Reservoir Road (Blk 608)	1
Bedok Reservoir Road (Blk 609)	1
Bedok Reservoir Road (Blk 613B)	1
Bedok Reservoir Road (Blk 622)	1
Bedok Reservoir Road (Blk 623)	1
Bedok Reservoir Road (Blk 628)	1
Bedok Reservoir Road (Blk 629)	1

2	Eastwood Dr, Green, Pl, Rd, Ter, Way / Jln Greja / Pesari Walk / Taman Bedok	5	38	Eastwood Drive	22
				Eastwood Green	4
				Eastwood Place	1
				Eastwood Road	1
				Eastwood Terrace	2
				Eastwood Way	3
				Jalan Greja	3
				Pesari Walk	1
				Taman Bedok	1
3	Pandan Gdns (Blk 404, 405, 411, 412, 414)	9	18	Pandan Gardens (Blk 404)	1
				Pandan Gardens (Blk 405)	1
				Pandan Gardens (Blk 411)	6
				Pandan Gardens (Blk 412)	1
				Pandan Gardens (Blk 414)	9
4	Kaki Bt Ind Ter / Kaki Bt Pl	3	15	Kaki Bukit Industrial Terrace	14
				Kaki Bukit Place	1
5	Cashew Rd	3	10	Cashew Road	2

	(Cashew Hts) / Gangsa Rd (Blk 153, 154) / Hazel Pk Ter (Hazel Pk Condo)			(Cashew Heights)	
				Gangsa Road (Blk 153)	3
				Gangsa Road (Blk 154)	2
				Hazel Park Terrace (Hazel Park Condominium)	3
6	Hougang Ave 5 (Blk 308, 310, 319, 320, 324)	4	8	Hougang Avenue 5 (Blk 308)	2
				Hougang Avenue 5 (Blk 310)	3
				Hougang Avenue 5 (Blk 319)	1
				Hougang Avenue 5 (Blk 320)	1
				Hougang Avenue 5 (Blk 324)	1
7	Jln Damai (Blk 664, 667) / Jln Tenaga (Blk 651, 652, 654, 655, 658)	2	8	Jalan Damai (Blk 664)	1
				Jalan Damai (Blk 667)	1
				Jalan Tenaga (Blk 651)	1
				Jalan Tenaga (Blk 652)	1
				Jalan Tenaga (Blk 654)	2
				Jalan Tenaga	1

				(Blk 655)	
				Jalan Tenaga (Blk 658)	1
8	Senoko Cres, Dr, Rd	2	8	Senoko Crescent	1
				Senoko Drive	2
				Senoko Road	5
9	Ang Mo Kio Ave 9 (Blk 621, 627)	3	3	Ang Mo Kio Avenue 9 (Blk 621)	2
				Ang Mo Kio Avenue 9 (Blk 627)	1
10	Bedok Ave, Rd / Bedok Rd (Country Pk Condo)	2	3	Bedok Avenue	1
				Bedok Road	1
				Bedok Road (Country Park Condominium)	1
11	Bedok Gdn / Limau Gr	2	3	Bedok Garden	2
				Limau Grove	1
12	Jln Telang	1	3	Jalan Telang	3
13	Jurong West Ave 5 (Blk 729) / Jurong West St 72 (Blk 731)	3	3	Jurong West Avenue 5 (Blk 729)	2
				Jurong West Street 72 (Blk 731)	1
14	Jurong West St 91 (Blk 909, 913, 914)	3	3	Jurong West Street 91 (Blk 909)	1
				Jurong West Street 91 (Blk 913)	1
				Jurong West	1

				Street 91 (Blk 914)	
15	Mergui Rd (Mergui Mans, Pristine Hts)	1	3	Mergui Road (Mergui Mansions)	2
				Mergui Road (Pristine Heights)	1
16	Woodlands St 82 (Blk 848, 849)	2	3	Woodlands Street 82 (Blk 848)	2
				Woodlands Street 82 (Blk 849)	1
17	Yunnan Dr 1, Rd	2	3	Yunnan Drive 1	2
				Yunnan Road	1
18	Bt Batok West Ave 9 (Blk 448A, 448C)	2	2	Bukit Batok West Avenue 9 (Blk 448A)	1
				Bukit Batok West Avenue 9 (Blk 448C)	1
19	Choa Chu Kang Ave 2 (Blk 274) / Choa Chu Kang Ave 3 (Blk 281)	2	2	Choa Chu Kang Avenue 2 (Blk 274)	1
				Choa Chu Kang Avenue 3 (Blk 281)	1
20	Hougang St 21 (Blk 211, 231)	2	2	Hougang Street 21 (Blk 211)	1
				Hougang Street 21 (Blk 231)	1

21	Ipoh Ln (Imperial Hts, Versilia on Haig)	2	2	Ipoh Lane (Imperial Heights)	1
				Ipoh Lane (Versilia on Haig)	1
22	Lengkong Empat / Lengkong Tujoh (Vacanza @ East)	2	2	Lengkong Empat	1
				Lengkong Tujoh (Vacanza @ East)	1
23	Lor Marzuki	2	2	Lorong Marzuki	2
24	Yishun St 11 (Blk 123, 132)	2	2	Yishun Street 11 (Blk 123)	1
				Yishun Street 11 (Blk 132)	1
25	Yishun St 71 (Blk 714, 719)	2	2	Yishun Street 71 (Blk 714)	1
				Yishun Street 71 (Blk 719)	1

For a list of clusters under surveillance, please click here.

National Environment Agency
Safeguard · Nurture · Cherish

(/home)
print

Dengue Clusters

(Map data is updated at 1am. Kindly clear your internet browser cache after each visit, in order to view the latest information.)

Operationally, a dengue cluster indicates a locality with active transmission where intervention is targeted. It is formed when two or more cases have onset within 14 days and are located within 150m of each other (based on residential and workplace addresses as well as movement history). The clusters are categorised according to their current status. There are 3 alert levels:

Definition	Alert Level
High-risk area with 10 or more cases	**Red**
High-risk area with less than 10 cases	**Yellow**
No new cases, under surveillance for the next 21 days	**Green**

Each cluster map illustrates the extent of NEA's current vector control intervention. Please click on the cluster location to view the respective map.

The information provided in this listing is accurate as at 02 Jan 2018

S/N	Alert Level	Locality	Cases with onset in last 2 weeks	Cases since start of cluster	Breakdown	
					Location	No. of cases
1		Upp S'goon View / Upp S'goon View (Boathouse Residences, Heron Bay) (/images/default-source/publichealth/dengue/20180102/20970068.jpg)	7	13	Upper Serangoon View	7

					Upper Serangoon View (Boathouse Residences)	2
					Upper Serangoon View (Heron Bay)	4
2		Tampines St 42 (Blk 446) / Tampines St 43 (Blk 434, 436, 438) (/images/default-source/publichealth/dengue/20180102/20970065.jpg)	3	8	Tampines Street 42 (Blk 446)	1
					Tampines Street 43 (Blk 434)	4
					Tampines Street 43 (Blk 436)	2
					Tampines Street 43 (Blk 438)	1
3		Choa Chu Kang Ave 2 (Blk 249, 276) / Hong San Ter (/images/default-source/publichealth/dengue/20180102/20970066.jpg)	1	4	Choa Chu Kang Avenue 2 (Blk 249)	1
					Choa Chu Kang Avenue 2 (Blk 276)	2
					Hong San Terrace	1
4		Pasir Ris Dr 4 (Blk 461) / Pasir Ris Dr 4 (The Esparis) / Pasir Ris Dr 6 (Blk 454) (/images/default-source/publichealth/dengue/20180102/20970069.jpg)	1	4	Pasir Ris Drive 4 (Blk 461)	1
					Pasir Ris Drive 4 (The Esparis)	2
					Pasir Ris Drive 6 (Blk 454)	1
5		Anchorvale Ln (Blk 311B) / Anchorvale Rd (Blk 309D) (/images/default-source/publichealth/dengue/20180102/20170306.jpg)	1	2	Anchorvale Lane (Blk 311B)	1
					Anchorvale Road (Blk 309D)	1
6		Pasir Ris St 51 (Blk 564, 565) (/images/default-source/publichealth/dengue/20180102/20170317.jpg)	1	2	Pasir Ris Street 51 (Blk 564)	1
					Pasir Ris Street 51 (Blk 565)	1

For a list of clusters closed and under surveillance, please click here (/public-health/dengue/dengue-clusters-closed-and-under-surveillance).

National Environment Agency
Safeguard · Nurture · Cherish

(/home)
print

Dengue Clusters

(Map data is updated at 1am. Kindly clear your internet browser cache after each visit, in order to view the latest information.)

Operationally, a dengue cluster indicates a locality with active transmission where intervention is targeted. It is formed when two or more cases have onset within 14 days and are located within 150m of each other (based on residential and workplace addresses as well as movement history). The clusters are categorised according to their current status. There are 3 alert levels:

Definition	Alert Level
High-risk area with 10 or more cases	**Red**
High-risk area with less than 10 cases	**Yellow**
No new cases, under surveillance for the next 21 days	**Green**

Each cluster map illustrates the extent of NEA's current vector control intervention. Please click on the cluster location to view the respective map.

The information provided in this listing is accurate as at 05 Jan 2018

S/N	Alert Level	Locality	Cases with onset in last 2 weeks	Cases since start of cluster	Breakdown	
					Location	No. of cases
1		Upp S'goon View / Upp S'goon View (Boathouse Residences, Heron Bay) (/images/default-source/publichealth/dengue/20180105/20970068.jpg)	45	53	Upper Serangoon View	46

					Upper Serangoon View (Boathouse Residences)	3
					Upper Serangoon View (Heron Bay)	4
2		Tampines St 42 (Blk 446) / Tampines St 43 (Blk 434, 436, 438) (/images/default-source/publichealth/dengue/20180105/20970065.jpg)	2	9	Tampines Street 42 (Blk 446)	1
					Tampines Street 43 (Blk 434)	4
					Tampines Street 43 (Blk 436)	3
					Tampines Street 43 (Blk 438)	1
3		Choa Chu Kang Ave 2 (Blk 249, 250, 276) / Hong San Ter (/images/default-source/publichealth/dengue/20180105/20970066.jpg)	2	6	Choa Chu Kang Avenue 2 (Blk 249)	1
					Choa Chu Kang Avenue 2 (Blk 250)	1
					Choa Chu Kang Avenue 2 (Blk 276)	3
					Hong San Terrace	1
4		Pasir Ris Dr 4 (Blk 461) / Pasir Ris Dr 4 (The Esparis) / Pasir Ris Dr 6 (Blk 454) (/images/default-source/publichealth/dengue/20180105/20970069.jpg)	1	4	Pasir Ris Drive 4 (Blk 461)	1
					Pasir Ris Drive 4 (The Esparis)	2
					Pasir Ris Drive 6 (Blk 454)	1
5		Cassia Cres (Blk 28) / Pine Cl (Blk 3) (/images/default-source/publichealth/dengue/20180105/20980002.jpg)	1	3	Cassia Crescent (Blk 28)	1
					Pine Close (Blk 3)	2
6		Holland Cl (Blk 1, 3A) (/images/default-source/publichealth/dengue/20180105/20980001.jpg)	1	3	Holland Close (Blk 1)	1
					Holland Close (Blk 3A)	2

7		Happy Ave East / Jln Anggerek (/images/default-source/publichealth/dengue/20180105/20180001.jpg)	1	2	Happy Avenue East	1
					Jalan Anggerek	1

For a list of clusters closed and under surveillance, please click here (/public-health/dengue/dengue-clusters-closed-and-under-surveillance).

Privacy Statement (/privacy-policy/) Terms of Use (/terms-of-use/) Open Data Licence (/open-data-licence/) Rate this Site (https://www.jusfeedback.asia/Community/se.ashx?s=7FDA9EA723A5704F&Agency=MEWR.NEA&Svc=NEA%20Corporate%20Website&eLnk=http://app2.nea.gov.sg/&Cat=Citizen)
Best viewed using IE 11, Firefox 52, Chrome 56, Safari 8, Opera 43 and above
© 2017, Government of Singapore

Last Updated on 23 November 2017

National Environment Agency of Singapore All Rights Reserved

National Environment Agency
Safeguard · Nurture · Cherish

(/home)
print

Dengue Clusters

(Map data is updated at 1am. Kindly clear your internet browser cache after each visit, in order to view the latest information.)

Operationally, a dengue cluster indicates a locality with active transmission where intervention is targeted. It is formed when two or more cases have onset within 14 days and are located within 150m of each other (based on residential and workplace addresses as well as movement history). The clusters are categorised according to their current status. There are 3 alert levels:

Definition	Alert Level
High-risk area with 10 or more cases	**Red**
High-risk area with less than 10 cases	**Yellow**
No new cases, under surveillance for the next 21 days	**Green**

Each cluster map illustrates the extent of NEA's current vector control intervention. Please click on the cluster location to view the respective map.

The information provided in this listing is accurate as at 11 Jan 2018

S/N	Alert Level	Locality	Cases with onset in last 2 weeks	Cases since start of cluster	Breakdown	
					Location	No. of cases
1		Upp S'goon View / Upp S'goon View (Boathouse Residences, Heron Bay, Rio Vista) (/images/default-source/publichealth/dengue/20180111/20970068.jpg)	43	71	Upper Serangoon View	57

					Upper Serangoon View (Boathouse Residences)	6
					Upper Serangoon View (Heron Bay)	5
					Upper Serangoon View (Rio Vista)	3
2		Tampines St 42 (Blk 444, 446) / Tampines St 43 (Blk 434, 436, 437, 438, 474) / Tampines St 44 (Blk 465) (/images/default-source/publichealth/dengue/20180111/20970065.jpg)	5	13	Tampines Street 42 (Blk 444)	1
					Tampines Street 42 (Blk 446)	1
					Tampines Street 43 (Blk 434)	4
					Tampines Street 43 (Blk 436)	3
					Tampines Street 43 (Blk 437)	1
					Tampines Street 43 (Blk 438)	1
					Tampines Street 43 (Blk 474)	1
					Tampines Street 44 (Blk 465)	1
3		Cassia Cres (Blk 28) / Pine Cl (Blk 3) (/images/default-source/publichealth/dengue/20180111/20980002.jpg)	1	3	Cassia Crescent (Blk 28)	1
					Pine Close (Blk 3)	2
4		Pasir Ris St 51 (Blk 559, 560, 564) (/images/default-source/publichealth/dengue/20180111/20980003.jpg)	1	3	Pasir Ris Street 51 (Blk 559)	1
					Pasir Ris Street 51 (Blk 560)	1
					Pasir Ris Street 51 (Blk 564)	1
5		Boon Keng Rd (Blk 5, 6) (/images/default-source/publichealth/dengue/20180111/20180004.jpg)	2	2	Boon Keng Road (Blk 5)	1
					Boon Keng Road (Blk 5)	1

6		Geylang East Ave 1 (Blk 131) (/images/default-source/publichealth/dengue/20180111/20180006.jpg)	2	2	Geylang East Avenue 1 (Blk 131)	2
7		Jurong West Ave 1 (Blk 484) / Jurong West St 41 (Blk 492) (/images/default-source/publichealth/dengue/20180111/20180007.jpg)	2	2	Jurong West Avenue 1 (Blk 484)	1
					Jurong West Street 41 (Blk 492)	1

For a list of clusters closed and under surveillance, please click here (/public-health/dengue/dengue-clusters-closed-and-under-surveillance).

Privacy Statement (/privacy-policy/) Terms of Use (/terms-of-use/) Open Data Licence (/open-data-licence/) Rate this Site (https://www.jusfeedback.asia/Community/se.ashx?s=7FDA9EA723A5704F&Agency=MEWR.NEA&Svc=NEA%20Corporate%20Website&eLnk=http://app2.nea.gov.sg/&Cat=Citizen)
Best viewed using IE 11, Firefox 52, Chrome 56, Safari 8, Opera 43 and above
© 2017, Government of Singapore

Last Updated on 13 January 2018

National Environment Agency of Singapore All Rights Reserved

National Environment Agency
Safeguard · Nurture · Cherish

(/home)
print

Dengue Clusters

(Map data is updated at 1am. Kindly clear your internet browser cache after each visit, in order to view the latest information.)

Operationally, a dengue cluster indicates a locality with active transmission where intervention is targeted. It is formed when two or more cases have onset within 14 days and are located within 150m of each other (based on residential and workplace addresses as well as movement history). The clusters are categorised according to their current status. There are 3 alert levels:

Definition	Alert Level
High-risk area with 10 or more cases	**Red**
High-risk area with less than 10 cases	**Yellow**
No new cases, under surveillance for the next 21 days	**Green**

Each cluster map illustrates the extent of NEA's current vector control intervention. Please click on the cluster location to view the respective map.

The information provided in this listing is accurate as at 12 Jan 2018

S/N	Alert Level	Locality	Cases with onset in last 2 weeks	Cases since start of cluster	Breakdown	
					Location	No. of cases
1		Hougang Ave 7 (The Florida) / Upp S'goon View / Upp S'goon View (Boathouse Residences, Heron Bay, Rio Vista) (/images/default-source/publichealth/dengue/20180112/20970068.jpg)	33	74	Hougang Avenue 7 (The Florida)	1

					Upper Serangoon View	58
					Upper Serangoon View (Boathouse Residences)	7
					Upper Serangoon View (Heron Bay)	5
					Upper Serangoon View (Rio Vista)	3
2		Tampines St 42 (Blk 444, 446) / Tampines St 43 (Blk 434, 436, 437, 438, 474) / Tampines St 44 (Blk 465) (/images/default-source/publichealth/dengue/20180112/20970065.jpg)	4	14	Tampines Street 42 (Blk 444)	1
					Tampines Street 42 (Blk 446)	1
					Tampines Street 43 (Blk 434)	4
					Tampines Street 43 (Blk 436)	3
					Tampines Street 43 (Blk 437)	2
					Tampines Street 43 (Blk 438)	1
					Tampines Street 43 (Blk 474)	1
					Tampines Street 44 (Blk 465)	1
3		Cassia Cres (Blk 28) / Pine Cl (Blk 3) (/images/default-source/publichealth/dengue/20180112/20980002.jpg)	1	3	Cassia Crescent (Blk 28)	1
					Pine Close (Blk 3)	2
4		Pasir Ris St 51 (Blk 559, 560, 564) (/images/default-source/publichealth/dengue/20180112/20980003.jpg)	1	3	Pasir Ris Street 51 (Blk 559)	1
					Pasir Ris Street 51 (Blk 560)	1
					Pasir Ris Street 51 (Blk 564)	1

5		Geylang East Ave 1 (Blk 131) (/images/default-source/publichealth/dengue/20180112/20180006.jpg)	1	2	Geylang East Avenue 1 (Blk 131)	2
6		Jurong West Ave 1 (Blk 484) / Jurong West St 41 (Blk 492) (/images/default-source/publichealth/dengue/20180112/20180007.jpg)	2	2	Jurong West Avenue 1 (Blk 484)	1
					Jurong West Street 41 (Blk 492)	1
7		Tampines St 12 (Blk 143, 144) (/images/default-source/publichealth/dengue/20180112/20180008.jpg)	2	2	Tampines Street 12 (Blk 143)	1
					Tampines Street 12 (Blk 144)	1
8		Tampines St 45 (Blk 491F, 491G) (/images/default-source/publichealth/dengue/20180112/20180010.jpg)	2	2	Tampines Street 45 (Blk 491F)	1
					Tampines Street 45 (Blk 491G)	1

For a list of clusters closed and under surveillance, please click here (/public-health/dengue/dengue-clusters-closed-and-under-surveillance).

Privacy Statement (/privacy-policy/) Terms of Use (/terms-of-use/) Open Data Licence (/open-data-licence/) Rate this Site (https://www.jusfeedback.asia/Community/se.ashx?s=7FDA9EA723A5704F&Agency=MEWR.NEA&Svc=NEA%20Corporate%20Website&eLnk=http://app2.nea.gov.sg/&Cat=Citizen)
Best viewed using IE 11, Firefox 52, Chrome 56, Safari 8, Opera 43 and above
© 2017, Government of Singapore

Last Updated on 13 January 2018

National Environment Agency of Singapore All Rights Reserved

National Environment Agency
Safeguard · Nurture · Cherish

(/home)
print

Dengue Clusters

(Map data is updated at 1am. Kindly clear your internet browser cache after each visit, in order to view the latest information.)

Operationally, a dengue cluster indicates a locality with active transmission where intervention is targeted. It is formed when two or more cases have onset within 14 days and are located within 150m of each other (based on residential and workplace addresses as well as movement history). The clusters are categorised according to their current status. There are 3 alert levels:

Definition	Alert Level
High-risk area with 10 or more cases	**Red**
High-risk area with less than 10 cases	**Yellow**
No new cases, under surveillance for the next 21 days	**Green**

Each cluster map illustrates the extent of NEA's current vector control intervention. Please click on the cluster location to view the respective map.

The information provided in this listing is accurate as at 15 Jan 2018

S/N	Alert Level	Locality	Cases with onset in last 2 weeks	Cases since start of cluster	Breakdown	
					Location	No. of cases
1		Hougang Ave 7 (The Florida) / Upp S'goon View / Upp S'goon View (Boathouse Residences, Heron Bay, Rio Vista) (/images/default-source/publichealth/dengue/20180115/20970068.jpg)	37	80	Hougang Avenue 7 (The Florida)	2

					Upper Serangoon View	59
					Upper Serangoon View (Boathouse Residences)	7
					Upper Serangoon View (Heron Bay)	5
					Upper Serangoon View (Rio Vista)	7
2		Pasir Ris St 51 (Blk 559, 560, 564) (/images/default-source/publichealth/dengue/20180115/20980003.jpg)	1	3	Pasir Ris Street 51 (Blk 559)	1
					Pasir Ris Street 51 (Blk 560)	1
					Pasir Ris Street 51 (Blk 564)	1
3		Whampoa Dr (Blk 98, 100) (/images/default-source/publichealth/dengue/20180115/20980004.jpg)	2	3	Whampoa Drive (Blk 98)	2
					Whampoa Drive (Blk 100)	1
4		Geylang East Ave 1 (Blk 131) (/images/default-source/publichealth/dengue/20180115/20180006.jpg)	1	2	Geylang East Avenue 1 (Blk 131)	2
5		Jurong West Ave 1 (Blk 484) / Jurong West St 41 (Blk 492) (/images/default-source/publichealth/dengue/20180115/20180007.jpg)	2	2	Jurong West Avenue 1 (Blk 484)	1
					Jurong West Street 41 (Blk 492)	1
6		Tampines St 12 (Blk 143, 144) (/images/default-source/publichealth/dengue/20180115/20180008.jpg)	2	2	Tampines Street 12 (Blk 143)	1
					Tampines Street 12 (Blk 144)	1
7		Tampines St 45 (Blk 491F, 491G) (/images/default-source/publichealth/dengue/20180115/20180010.jpg)	2	2	Tampines Street 45 (Blk 491F)	1
					Tampines Street 45 (Blk 491G)	1

For a list of clusters closed and under surveillance, please click here (/public-health/dengue/dengue-clusters-closed-and-under-surveillance).

National Environment Agency
Safeguard · Nurture · Cherish

(/home)
print

Dengue Clusters

(Map data is updated at 1am. Kindly clear your internet browser cache after each visit, in order to view the latest information.)

Operationally, a dengue cluster indicates a locality with active transmission where intervention is targeted. It is formed when two or more cases have onset within 14 days and are located within 150m of each other (based on residential and workplace addresses as well as movement history). The clusters are categorised according to their current status. There are 3 alert levels:

Definition	Alert Level
High-risk area with 10 or more cases	**Red**
High-risk area with less than 10 cases	**Yellow**
No new cases, under surveillance for the next 21 days	**Green**

Each cluster map illustrates the extent of NEA's current vector control intervention. Please click on the cluster location to view the respective map.

The information provided in this listing is accurate as at 19 Jan 2018

S/N	Alert Level	Locality	Cases with onset in last 2 weeks	Cases since start of cluster	Breakdown	
					Location	No. of cases
1		Hougang Ave 7 (Blk 354) / Hougang Ave 7 (Rio Casa, The Florida) / Upp S'goon View / Upp S'goon View (Boathouse Residences, Heron Bay, Rio Vista) (/images/default-source/publichealth/dengue/20180119/20970068.jpg)	23	92	Hougang Avenue 7 (Blk 354)	1

					Hougang Avenue 7 (Rio Casa)	2
					Hougang Avenue 7 (The Florida)	4
					Upper Serangoon View	60
					Upper Serangoon View (Boathouse Residences)	9
					Upper Serangoon View (Heron Bay)	8
					Upper Serangoon View (Rio Vista)	8
2		Whampoa Dr (Blk 98, 100, 101) (/images/default-source/publichealth/dengue/20180119/20980004.jpg)	3	5	Whampoa Drive (Blk 98)	2
					Whampoa Drive (Blk 100)	1
					Whampoa Drive (Blk 101)	2
3		Pasir Ris St 51 (Blk 559, 560, 564) (/images/default-source/publichealth/dengue/20180119/20980003.jpg)	2	4	Pasir Ris Street 51 (Blk 559)	1
					Pasir Ris Street 51 (Blk 560)	2
					Pasir Ris Street 51 (Blk 564)	1
4		Petir Rd (Blk 215, 216, 218) (/images/default-source/publichealth/dengue/20180119/20980005.jpg)	3	3	Petir Road (Blk 215)	1
					Petir Road (Blk 216)	1
					Petir Road (Blk 218)	1
5		Tampines St 12 (Blk 143, 144) (/images/default-source/publichealth/dengue/20180119/20980006.jpg)	1	3	Tampines Street 12 (Blk 143)	2
					Tampines Street 12 (Blk 144)	1
6		Tampines St 42 (Blk 460) / Tampines St 43 (Blk 474) / Tampines St 44 (Blk 463) (/images/default-source/publichealth/dengue/20180119/20980007.jpg)	3	3	Tampines Street 42 (Blk 460)	1

					Tampines Street 43 (Blk 474)	1
					Tampines Street 44 (Blk 463)	1
7		Bt Batok Ctrl (Blk 639) (/images/default-source/publichealth/dengue/20180119/20180015.jpg)	2	2	Bukit Batok Central (Blk 639)	2

For a list of clusters closed and under surveillance, please click here (/public-health/dengue/dengue-clusters-closed-and-under-surveillance).

Privacy Statement (/privacy-policy/) Terms of Use (/terms-of-use/) Open Data Licence (/open-data-licence/) Rate this Site (https://www.jusfeedback.asia/Community/se.ashx?s=7FDA9EA723A5704F&Agency=MEWR.NEA&Svc=NEA%20Corporate%20Website&eLnk=http://app2.nea.gov.sg/&Cat=Citizen)
Best viewed using IE 11, Firefox 52, Chrome 56, Safari 8, Opera 43 and above
© 2017, Government of Singapore

Last Updated on 20 January 2018

National Environment Agency of Singapore All Rights Reserved

National Environment Agency
Safeguard · Nurture · Cherish

(/home)
print

Dengue Clusters

(Map data is updated at 1am. Kindly clear your internet browser cache after each visit, in order to view the latest information.)

Operationally, a dengue cluster indicates a locality with active transmission where intervention is targeted. It is formed when two or more cases have onset within 14 days and are located within 150m of each other (based on residential and workplace addresses as well as movement history). The clusters are categorised according to their current status. There are 3 alert levels:

Definition	Alert Level
High-risk area with 10 or more cases	**Red**
High-risk area with less than 10 cases	**Yellow**
No new cases, under surveillance for the next 21 days	**Green**

Each cluster map illustrates the extent of NEA's current vector control intervention. Please click on the cluster location to view the respective map.

The information provided in this listing is accurate as at 22 Jan 2018

S/N	Alert Level	Locality	Cases with onset in last 2 weeks	Cases since start of cluster	Breakdown	
					Location	No. of cases
1		Hougang Ave 7 (Blk 354) / Hougang Ave 7 (Rio Casa, The Florida) / Upp S'goon View / Upp S'goon View (Boathouse Residences, Heron Bay, Rio Vista) (/images/default-source/publichealth/dengue/20180122/20970068.jpg)	10	93	Hougang Avenue 7 (Blk 354)	1

					Hougang Avenue 7 (Rio Casa)	2
					Hougang Avenue 7 (The Florida)	4
					Upper Serangoon View	60
					Upper Serangoon View (Boathouse Residences)	9
					Upper Serangoon View (Heron Bay)	8
					Upper Serangoon View (Rio Vista)	9
2		Whampoa Dr (Blk 98, 100, 101) (/images/default-source/publichealth/dengue/20180122/20980004.jpg)	3	5	Whampoa Drive (Blk 98)	2
					Whampoa Drive (Blk 100)	1
					Whampoa Drive (Blk 101)	2
3		Pasir Ris St 51 (Blk 559, 560, 564) (/images/default-source/publichealth/dengue/20180122/20980003.jpg)	2	4	Pasir Ris Street 51 (Blk 559)	1
					Pasir Ris Street 51 (Blk 560)	2
					Pasir Ris Street 51 (Blk 564)	1
4		Petir Rd (Blk 215, 216, 218) (/images/default-source/publichealth/dengue/20180122/20980005.jpg)	2	3	Petir Road (Blk 215)	1
					Petir Road (Blk 216)	1
					Petir Road (Blk 218)	1
5		Tampines St 12 (Blk 143, 144) (/images/default-source/publichealth/dengue/20180122/20980006.jpg)	1	3	Tampines Street 12 (Blk 143)	2
					Tampines Street 12 (Blk 144)	1
6		Tampines St 42 (Blk 460) / Tampines St 43 (Blk 474) / Tampines St 44 (Blk 463) (/images/default-source/publichealth/dengue/20180122/20980007.jpg)	3	3	Tampines Street 42 (Blk 460)	1

					Tampines Street 43 (Blk 474)	1
					Tampines Street 44 (Blk 463)	1
7		Bt Batok Ctrl (Blk 639) (/images/default-source/publichealth/dengue/20180122/20180015.jpg)	2	2	Bukit Batok Central (Blk 639)	2

For a list of clusters closed and under surveillance, please click here (/public-health/dengue/dengue-clusters-closed-and-under-surveillance).

Privacy Statement (/privacy-policy/) Terms of Use (/terms-of-use/) Open Data Licence (/open-data-licence/) Rate this Site (https://www.jusfeedback.asia/Community/se.ashx?s=7FDA9EA723A5704F&Agency=MEWR.NEA&Svc=NEA%20Corporate%20Website&eLnk=http://app2.nea.gov.sg/&Cat=Citizen)
Best viewed using IE 11, Firefox 52, Chrome 56, Safari 8, Opera 43 and above
© 2017, Government of Singapore

Last Updated on 23 January 2018

National Environment Agency of Singapore All Rights Reserved

National Environment Agency
Safeguard · Nurture · Cherish

(/home)
print

Dengue Clusters

(Map data is updated at 1am. Kindly clear your internet browser cache after each visit, in order to view the latest information.)

Operationally, a dengue cluster indicates a locality with active transmission where intervention is targeted. It is formed when two or more cases have onset within 14 days and are located within 150m of each other (based on residential and workplace addresses as well as movement history). The clusters are categorised according to their current status. There are 3 alert levels:

Definition	Alert Level
High-risk area with 10 or more cases	**Red**
High-risk area with less than 10 cases	**Yellow**
No new cases, under surveillance for the next 21 days	**Green**

Each cluster map illustrates the extent of NEA's current vector control intervention. Please click on the cluster location to view the respective map.

The information provided in this listing is accurate as at 26 Jan 2018

S/N	Alert Level	Locality	Cases with onset in last 2 weeks	Cases since start of cluster	Breakdown	
					Location	No. of cases
1		Hougang Ave 7 (Blk 354) / Hougang Ave 7 (Rio Casa, The Florida) / Upp S'goon View / Upp S'goon View (Boathouse Residences, Heron Bay, Rio Vista) (/images/default-source/publichealth/dengue/20180126/20970068.jpg)	15	101	Hougang Avenue 7 (Blk 354)	1

					Hougang Avenue 7 (Rio Casa)	2
					Hougang Avenue 7 (The Florida)	5
					Upper Serangoon View	63
					Upper Serangoon View (Boathouse Residences)	11
					Upper Serangoon View (Heron Bay)	9
					Upper Serangoon View (Rio Vista)	10
2		Tampines St 42 (Blk 454, 460) / Tampines St 43 (Blk 438, 474) / Tampines St 44 (Blk 463) (/images/default-source/publichealth/dengue/20180126/20980007.jpg)	5	6	Tampines Street 42 (Blk 454)	1
					Tampines Street 42 (Blk 460)	1
					Tampines Street 44 (Blk 438)	1
					Tampines Street 43 (Blk 474)	1
					Tampines Street 44 (Blk 463)	2
3		Tampines St 11 (Blk 107, 109) (/images/default-source/publichealth/dengue/20180126/20180020.jpg)	2	2	Tampines Street 11 (Blk 107)	1
					Tampines Street 11 (Blk 109)	1
4		Yishun Ring Rd (Blk 806, 809) (/images/default-source/publichealth/dengue/20180126/20180017.jpg)	2	2	Yishun Ring Road (Blk 806)	1
					Yishun Ring Road (Blk 809)	1
5		Yishun St 61 (Blk 636, 638) (/images/default-source/publichealth/dengue/20180126/20180019.jpg)	1	2	Yishun Street 61 (Blk 636)	1
					Yishun Street 61 (Blk 638)	1

For a list of clusters closed and under surveillance, please click here (/public-health/dengue/dengue-clusters-closed-and-under-surveillance).

Privacy Statement (/privacy-policy/) Terms of Use (/terms-of-use/) Open Data Licence (/open-data-licence/) Rate this Website (/rate-this-website/)
Best viewed using IE 11, Firefox 52, Chrome 56, Safari 8, Opera 43 and above
© 2018, Government of Singapore

Last Updated on 23 November 2017

National Environment Agency of Singapore All Rights Reserved

National Environment Agency
Safeguard · Nurture · Cherish

(/home)
print

Dengue Clusters

(Map data is updated at 1am. Kindly clear your internet browser cache after each visit, in order to view the latest information.)

Operationally, a dengue cluster indicates a locality with active transmission where intervention is targeted. It is formed when two or more cases have onset within 14 days and are located within 150m of each other (based on residential and workplace addresses as well as movement history). The clusters are categorised according to their current status. There are 3 alert levels:

Definition	Alert Level
High-risk area with 10 or more cases	**Red**
High-risk area with less than 10 cases	**Yellow**
No new cases, under surveillance for the next 21 days	**Green**

Each cluster map illustrates the extent of NEA's current vector control intervention. Please click on the cluster location to view the respective map.

The information provided in this listing is accurate as at 29 Jan 2018

S/N	Alert Level	Locality	Cases with onset in last 2 weeks	Cases since start of cluster	Breakdown	
					Location	No. of cases
1		Hougang Ave 7 (Blk 354) / Hougang Ave 7 (Rio Casa, The Florida) / Upp S'goon View / Upp S'goon View (Boathouse Residences, Heron Bay, Rio Vista) (/images/default-source/publichealth/dengue/20180129/20970068.jpg)	8	102	Hougang Avenue 7 (Blk 354)	1

					Hougang Avenue 7 (Rio Casa)	2
					Hougang Avenue 7 (The Florida)	5
					Upper Serangoon View	63
					Upper Serangoon View (Boathouse Residences)	11
					Upper Serangoon View (Heron Bay)	9
					Upper Serangoon View (Rio Vista)	11
2		Tampines St 42 (Blk 454, 460) / Tampines St 43 (Blk 438, 474) / Tampines St 44 (Blk 463) (/images/default-source/publichealth/dengue/20180129/20980007.jpg)	4	7	Tampines Street 42 (Blk 454)	1
					Tampines Street 42 (Blk 460)	1
					Tampines Street 44 (Blk 438)	1
					Tampines Street 43 (Blk 474)	1
					Tampines Street 44 (Blk 463)	3
3		Tampines St 11 (Blk 107, 109) (/images/default-source/publichealth/dengue/20180129/20180020.jpg)	2	2	Tampines Street 11 (Blk 107)	1
					Tampines Street 11 (Blk 109)	1
4		Yishun Ring Rd (Blk 806, 809) (/images/default-source/publichealth/dengue/20180129/20180017.jpg)	1	2	Yishun Ring Road (Blk 806)	1
					Yishun Ring Road (Blk 809)	1
5		Yishun St 61 (Blk 636, 638) (/images/default-source/publichealth/dengue/20180129/20180019.jpg)	1	2	Yishun Street 61 (Blk 636)	1
					Yishun Street 61 (Blk 638)	1

For a list of clusters closed and under surveillance, please click here (/public-health/dengue/dengue-clusters-closed-and-under-surveillance).

Privacy Statement (/privacy-policy/) Terms of Use (/terms-of-use/) Open Data Licence (/open-data-licence/) Rate this Website (/rate-this-website/)
Best viewed using IE 11, Firefox 52, Chrome 56, Safari 8, Opera 43 and above
© 2018, Government of Singapore

Last Updated on 30 January 2018

National Environment Agency of Singapore All Rights Reserved

National Environment Agency
Safeguard · Nurture · Cherish

(/home)
print

Dengue Clusters

(Map data is updated at 1am. Kindly clear your internet browser cache after each visit, in order to view the latest information.)

Operationally, a dengue cluster indicates a locality with active transmission where intervention is targeted. It is formed when two or more cases have onset within 14 days and are located within 150m of each other (based on residential and workplace addresses as well as movement history). The clusters are categorised according to their current status. There are 3 alert levels:

Definition	Alert Level
High-risk area with 10 or more cases	**Red**
High-risk area with less than 10 cases	**Yellow**
No new cases, under surveillance for the next 21 days	**Green**

Each cluster map illustrates the extent of NEA's current vector control intervention. Please click on the cluster location to view the respective map.

The information provided in this listing is accurate as at 02 Feb 2018

S/N	Alert Level	Locality	Cases with onset in last 2 weeks	Cases since start of cluster	Breakdown	
					Location	No. of cases
1		Hougang Ave 7 (Blk 354) / Hougang Ave 7 (Rio Casa, The Florida) / Upp S'goon View / Upp S'goon View (Boathouse Residences, Heron Bay, Rio Vista) (/images/default-source/publichealth/dengue/20180202/20970068.jpg)	5	105	Hougang Avenue 7 (Blk 354)	1

					Hougang Avenue 7 (Rio Casa)	2
					Hougang Avenue 7 (The Florida)	5
					Upper Serangoon View	63
					Upper Serangoon View (Boathouse Residences)	11
					Upper Serangoon View (Heron Bay)	11
					Upper Serangoon View (Rio Vista)	12
2		Tampines St 41 (Blk 430) / Tampines St 42 (Blk 454, 460) / Tampines St 43 (Blk 434, 438, 474) / Tampines St 44 (Blk 463) (/images/default-source/publichealth/dengue/20180202/20980007.jpg)	3	9	Tampines Street 41 (Blk 430)	1
					Tampines Street 42 (Blk 454)	1
					Tampines Street 42 (Blk 460)	1
					Tampines Street 43 (Blk 434)	1
					Tampines Street 43 (Blk 438)	1
					Tampines Street 43 (Blk 474)	1
					Tampines Street 44 (Blk 463)	3
3		Bedok Reservoir Rd (Blk 104, 116, 117, 118, 120) (/images/default-source/publichealth/dengue/20180202/20980009.jpg)	4	6	Bedok Reservoir Road (Blk 104)	1
					Bedok Reservoir Road (Blk 116)	1
					Bedok Reservoir Road (Blk 117)	2

					Bedok Reservoir Road (Blk 118)	1
					Bedok Reservoir Road (Blk 120)	1
4		Tampines St 45 (Blk 491C, 491D, 491F, 491G) (/images/default-source/publichealth/dengue/20180202/20980010.jpg)	4	4	Tampines Street 45 (Blk 491C)	1
					Tampines Street 45 (Blk 491D)	1
					Tampines Street 45 (Blk 491F)	1
					Tampines Street 45 (Blk 491G)	1
5		Jurong West Ave 1 (Blk 484) / Jurong West St 41 (Blk 477, 492) (/images/default-source/publichealth/dengue/20180202/20980008.jpg)	1	3	Jurong West Avenue 1 (Blk 484)	1
					Jurong West Street 41 (Blk 477)	1
					Jurong West Street 41 (Blk 492)	1
6		Tampines St 12 (Blk 143) (/images/default-source/publichealth/dengue/20180202/20980011.jpg)	3	3	Tampines Street 12 (Blk 143)	3

For a list of clusters closed and under surveillance, please click here (/public-health/dengue/dengue-clusters-closed-and-under-surveillance).

Privacy Statement (/privacy-policy/) Terms of Use (/terms-of-use/) Open Data Licence (/open-data-licence/) Rate this Website (/rate-this-website/)
Best viewed using IE 11, Firefox 52, Chrome 56, Safari 8, Opera 43 and above
© 2018, Government of Singapore

Last Updated on 03 February 2018

National Environment Agency of Singapore All Rights Reserved

National Environment Agency
Safeguard · Nurture · Cherish

(/home)
print

Dengue Clusters

(Map data is updated at 1am. Kindly clear your internet browser cache after each visit, in order to view the latest information.)

Operationally, a dengue cluster indicates a locality with active transmission where intervention is targeted. It is formed when two or more cases have onset within 14 days and are located within 150m of each other (based on residential and workplace addresses as well as movement history). The clusters are categorised according to their current status. There are 3 alert levels:

Definition	Alert Level
High-risk area with 10 or more cases	**Red**
High-risk area with less than 10 cases	**Yellow**
No new cases, under surveillance for the next 21 days	**Green**

Each cluster map illustrates the extent of NEA's current vector control intervention. Please click on the cluster location to view the respective map.

The information provided in this listing is accurate as at 05 Feb 2018

S/N	Alert Level	Locality	Cases with onset in last 2 weeks	Cases since start of cluster	Breakdown	
					Location	No. of cases
1		Hougang Ave 7 (Blk 354) / Hougang Ave 7 (Rio Casa, The Florida) / Upp S'goon View / Upp S'goon View (Boathouse Residences, Heron Bay, Rio Vista) (/images/default-source/publichealth/dengue/20180205/20970068.jpg)	3	105	Hougang Avenue 7 (Blk 354)	1

					Hougang Avenue 7 (Rio Casa)	2
					Hougang Avenue 7 (The Florida)	5
					Upper Serangoon View	63
					Upper Serangoon View (Boathouse Residences)	11
					Upper Serangoon View (Heron Bay)	11
					Upper Serangoon View (Rio Vista)	12
2		Tampines St 41 (Blk 430) / Tampines St 42 (Blk 454, 460) / Tampines St 43 (Blk 434, 438, 474) / Tampines St 44 (Blk 463) (/images/default-source/publichealth/dengue/20180205/20980007.jpg)	2	9	Tampines Street 41 (Blk 430)	1
					Tampines Street 42 (Blk 454)	1
					Tampines Street 42 (Blk 460)	1
					Tampines Street 43 (Blk 434)	1
					Tampines Street 43 (Blk 438)	1
					Tampines Street 43 (Blk 474)	1
					Tampines Street 44 (Blk 463)	3
3		Bedok Reservoir Rd (Blk 104, 116, 117, 118, 120, 125, 132) (/images/default-source/publichealth/dengue/20180205/20980009.jpg)	6	8	Bedok Reservoir Road (Blk 104)	1
					Bedok Reservoir Road (Blk 116)	1
					Bedok Reservoir Road (Blk 117)	2

					Bedok Reservoir Road (Blk 118)	1
					Bedok Reservoir Road (Blk 120)	1
					Bedok Reservoir Road (Blk 125)	1
					Bedok Reservoir Road (Blk 132)	1
4		Tampines St 45 (Blk 491C, 491D, 491F, 491G) (/images/default-source/publichealth/dengue/20180205/20980010.jpg)	2	4	Tampines Street 45 (Blk 491C)	1
					Tampines Street 45 (Blk 491D)	1
					Tampines Street 45 (Blk 491F)	1
					Tampines Street 45 (Blk 491G)	1
5		Jurong West Ave 1 (Blk 484) / Jurong West St 41 (Blk 477, 492) (/images/default-source/publichealth/dengue/20180205/20980008.jpg)	1	3	Jurong West Avenue 1 (Blk 484)	1
					Jurong West Street 41 (Blk 477)	1
					Jurong West Street 41 (Blk 492)	1
6		Tampines St 12 (Blk 143) (/images/default-source/publichealth/dengue/20180205/20980011.jpg)	3	3	Tampines Street 12 (Blk 143)	3

For a list of clusters closed and under surveillance, please click here (/public-health/dengue/dengue-clusters-closed-and-under-surveillance).

Privacy Statement (/privacy-policy/) Terms of Use (/terms-of-use/) Open Data Licence (/open-data-licence/) Rate this Website (/rate-this-website/)
Best viewed using IE 11, Firefox 52, Chrome 56, Safari 8, Opera 43 and above
© 2018, Government of Singapore

Last Updated on 06 February 2018

National Environment Agency of Singapore All Rights Reserved

National Environment Agency
Safeguard · Nurture · Cherish

(/home)
print

Dengue Clusters

(Map data is updated at 1am. Kindly clear your internet browser cache after each visit, in order to view the latest information.)

Operationally, a dengue cluster indicates a locality with active transmission where intervention is targeted. It is formed when two or more cases have onset within 14 days and are located within 150m of each other (based on residential and workplace addresses as well as movement history). The clusters are categorised according to their current status. There are 3 alert levels:

Definition	Alert Level
High-risk area with 10 or more cases	**Red**
High-risk area with less than 10 cases	**Yellow**
No new cases, under surveillance for the next 21 days	**Green**

Each cluster map illustrates the extent of NEA's current vector control intervention. Please click on the cluster location to view the respective map.

The information provided in this listing is accurate as at 09 Feb 2018

S/N	Alert Level	Locality	Cases with onset in last 2 weeks	Cases since start of cluster	Breakdown	
					Location	No. of cases
1		Hougang Ave 7 (Blk 354, 357) / Hougang Ave 7 (Rio Casa, The Florida) / Upp S'goon View / Upp S'goon View (Boathouse Residences, Heron Bay, Rio Vista) (/images/default-source/publichealth/dengue/20180209/20970068.jpg)	5	109	Hougang Avenue 7 (Blk 354)	1

					Hougang Avenue 7 (Blk 357)	1
					Hougang Avenue 7 (Rio Casa)	4
					Hougang Avenue 7 (The Florida)	5
					Upper Serangoon View	64
					Upper Serangoon View (Boathouse Residences)	11
					Upper Serangoon View (Heron Bay)	11
					Upper Serangoon View (Rio Vista)	12
2		Bedok Reservoir Rd (Blk 104, 116, 117, 118, 120, 121, 125, 132) (/images/default-source/publichealth/dengue/20180209/20980009.jpg)	9	11	Bedok Reservoir Road (Blk 104)	1
					Bedok Reservoir Road (Blk 116)	1
					Bedok Reservoir Road (Blk 117)	2
					Bedok Reservoir Road (Blk 118)	2
					Bedok Reservoir Road (Blk 120)	2
					Bedok Reservoir Road (Blk 121)	1
					Bedok Reservoir Road (Blk 125)	1
					Bedok Reservoir Road (Blk 132)	1

3		Tampines Ave 9 (Blk 488A) / Tampines St 41 (Blk 429, 430) / Tampines St 42 (Blk 454, 460) / Tampines St 43 (Blk 434, 438, 474) / Tampines St 44 (Blk 463) (/images/default-source/publichealth/dengue/20180209/20980007.jpg)	3	11	Tampines Avenue 9 (Blk 488A)	1
					Tampines Street 41 (Blk 429)	1
					Tampines Street 41 (Blk 430)	1
					Tampines Street 42 (Blk 454)	1
					Tampines Street 42 (Blk 460)	1
					Tampines Street 43 (Blk 434)	1
					Tampines Street 43 (Blk 438)	1
					Tampines Street 43 (Blk 474)	1
					Tampines Street 44 (Blk 463)	3
4		Tampines St 12 (Blk 143) (/images/default-source/publichealth/dengue/20180209/20980011.jpg)	4	5	Tampines Street 12 (Blk 143)	5
5		Cashew Rd (Cashew Pk Condo) (/images/default-source/publichealth/dengue/20180209/20980012.jpg)	4	4	Cashew Road (Cashew Park Condominium)	4
6		Tampines St 45 (Blk 491C, 491D, 491F, 491G) (/images/default-source/publichealth/dengue/20180209/20980010.jpg)	2	4	Tampines Street 45 (Blk 491C)	1
					Tampines Street 45 (Blk 491D)	1
					Tampines Street 45 (Blk 491F)	1
					Tampines Street 45 (Blk 491G)	1

For a list of clusters closed and under surveillance, please click here (/public-health/dengue/dengue-clusters-closed-and-under-surveillance).

Privacy Statement (/privacy-policy/) Terms of Use (/terms-of-use/) Open Data Licence (/open-data-licence/) Rate this Website (/rate-this-website/)
Best viewed using IE 11, Firefox 52, Chrome 56, Safari 8, Opera 43 and above
© 2018, Government of Singapore

Last Updated on 10 February 2018

National Environment Agency of Singapore All Rights Reserved

National Environment Agency
Safeguard · Nurture · Cherish

(/home)
print

Dengue Clusters

(Map data is updated at 1am. Kindly clear your internet browser cache after each visit, in order to view the latest information.)

Operationally, a dengue cluster indicates a locality with active transmission where intervention is targeted. It is formed when two or more cases have onset within 14 days and are located within 150m of each other (based on residential and workplace addresses as well as movement history). The clusters are categorised according to their current status. There are 3 alert levels:

Definition	Alert Level
High-risk area with 10 or more cases	**Red**
High-risk area with less than 10 cases	**Yellow**
No new cases, under surveillance for the next 21 days	**Green**

Each cluster map illustrates the extent of NEA's current vector control intervention. Please click on the cluster location to view the respective map.

The information provided in this listing is accurate as at 12 Feb 2018

S/N	Alert Level	Locality	Cases with onset in last 2 weeks	Cases since start of cluster	Breakdown	
					Location	No. of cases
1		Hougang Ave 7 (Blk 354, 357) / Hougang Ave 7 (Rio Casa, The Florida) / Upp S'goon View / Upp S'goon View (Boathouse Residences, Heron Bay, Rio Vista) (/images/default-source/publichealth/dengue/20180212/20970068.jpg)	3	109	Hougang Avenue 7 (Blk 354)	1

					Hougang Avenue 7 (Blk 357)	1
					Hougang Avenue 7 (Rio Casa)	4
					Hougang Avenue 7 (The Florida)	5
					Upper Serangoon View	64
					Upper Serangoon View (Boathouse Residences)	11
					Upper Serangoon View (Heron Bay)	11
					Upper Serangoon View (Rio Vista)	12
2		Bedok Reservoir Rd (Blk 104, 116, 117, 118, 120, 121, 125, 132) (/images/default-source/publichealth/dengue/20180212/20980009.jpg)	3	11	Bedok Reservoir Road (Blk 104)	1
					Bedok Reservoir Road (Blk 116)	1
					Bedok Reservoir Road (Blk 117)	2
					Bedok Reservoir Road (Blk 118)	3
					Bedok Reservoir Road (Blk 120)	2
					Bedok Reservoir Road (Blk 121)	1
					Bedok Reservoir Road (Blk 125)	1
					Bedok Reservoir Road (Blk 132)	1

3		Tampines Ave 9 (Blk 488A) / Tampines St 41 (Blk 429, 430) / Tampines St 42 (Blk 454, 460) / Tampines St 43 (Blk 434, 438, 474) / Tampines St 44 (Blk 463) (/images/default-source/publichealth/dengue/20180212/20980007.jpg)	1	11	Tampines Avenue 9 (Blk 488A)	1
					Tampines Street 41 (Blk 429)	1
					Tampines Street 41 (Blk 430)	1
					Tampines Street 42 (Blk 454)	1
					Tampines Street 42 (Blk 460)	1
					Tampines Street 43 (Blk 434)	1
					Tampines Street 43 (Blk 438)	1
					Tampines Street 43 (Blk 474)	1
					Tampines Street 44 (Blk 463)	3
4		Tampines St 12 (Blk 143, 144) (/images/default-source/publichealth/dengue/20180212/20980011.jpg)	4	6	Tampines Street 12 (Blk 143)	5
					Tampines Street 12 (Blk 144)	1
5		Cashew Rd (Cashew Pk Condo) (/images/default-source/publichealth/dengue/20180212/20980012.jpg)	4	4	Cashew Road (Cashew Park Condominium)	4
6		Tampines St 45 (Blk 491C, 491D, 491F, 491G) (/images/default-source/publichealth/dengue/20180212/20980010.jpg)	1	4	Tampines Street 45 (Blk 491C)	1
					Tampines Street 45 (Blk 491D)	1
					Tampines Street 45 (Blk 491F)	1
					Tampines Street 45 (Blk 491G)	1
7		Geylang East Ave 1 (Blk 131, 132) / Geylang East Ave 1 (Central Grove) (/images/default-source/publichealth/dengue/20180212/20980013.jpg)	2	3	Geylang East Avenue 1 (Blk 131)	1
					Geylang East Avenue 1 (Blk 132)	1

					Geylang East Avenue 1 (Central Grove)	1

For a list of clusters closed and under surveillance, please click here (/public-health/dengue/dengue-clusters-closed-and-under-surveillance).

Privacy Statement (/privacy-policy/) Terms of Use (/terms-of-use/) Open Data Licence (/open-data-licence/) Rate this Website (/rate-this-website/)
Best viewed using IE 11, Firefox 52, Chrome 56, Safari 8, Opera 43 and above
© 2018, Government of Singapore

Last Updated on 13 February 2018

National Environment Agency of Singapore All Rights Reserved

National Environment Agency
Safeguard · Nurture · Cherish

(/home)
print

Dengue Clusters

(Map data is updated at 1am. Kindly clear your internet browser cache after each visit, in order to view the latest information.)

Operationally, a dengue cluster indicates a locality with active transmission where intervention is targeted. It is formed when two or more cases have onset within 14 days and are located within 150m of each other (based on residential and workplace addresses as well as movement history). The clusters are categorised according to their current status. There are 3 alert levels:

Definition	Alert Level
High-risk area with 10 or more cases	**Red**
High-risk area with less than 10 cases	**Yellow**
No new cases, under surveillance for the next 21 days	**Green**

Each cluster map illustrates the extent of NEA's current vector control intervention. Please click on the cluster location to view the respective map.

The information provided in this listing is accurate as at 15 Feb 2018

S/N	Alert Level	Locality	Cases with onset in last 2 weeks	Cases since start of cluster	Breakdown	
					Location	No. of cases
1		Bedok Reservoir Rd (Blk 104, 116, 117, 118, 120, 121, 125, 132) (/images/default-source/publichealth/dengue/20180215/20980009.jpg)	5	13	Bedok Reservoir Road (Blk 104)	1

					Bedok Reservoir Road (Blk 116)	1
					Bedok Reservoir Road (Blk 117)	2
					Bedok Reservoir Road (Blk 118)	4
					Bedok Reservoir Road (Blk 120)	2
					Bedok Reservoir Road (Blk 121)	1
					Bedok Reservoir Road (Blk 125)	1
					Bedok Reservoir Road (Blk 132)	1
2		Cashew Cres / Cashew Rd (Cashew Pk Condo) (/images/default-source/publichealth/dengue/20180215/20980012.jpg)	10	10	Cashew Cresent	3
					Cashew Road (Cashew Park Condominium)	7
3		Tampines St 12 (Blk 143, 144) (/images/default-source/publichealth/dengue/20180215/20980011.jpg)	3	6	Tampines Street 12 (Blk 143)	5
					Tampines Street 12 (Blk 144)	1
4		Geylang East Ave 1 (Blk 131, 132) / Geylang East Ave 1 (Central Grove) (/images/default-source/publichealth/dengue/20180215/20980013.jpg)	2	4	Geylang East Avenue 1 (Blk 131)	1
					Geylang East Avenue 1 (Blk 132)	1
					Geylang East Avenue 1 (Central Grove)	2

For a list of clusters closed and under surveillance, please click here (/public-health/dengue/dengue-clusters-closed-and-under-surveillance).

Privacy Statement (/privacy-policy/) Terms of Use (/terms-of-use/) Open Data Licence (/open-data-licence/) Rate this Website (/rate-this-website/)
Best viewed using IE 11, Firefox 52, Chrome 56, Safari 8, Opera 43 and above
© 2018, Government of Singapore

Last Updated on 16 February 2018

National Environment Agency of Singapore All Rights Reserved

National Environment Agency
Safeguard · Nurture · Cherish

(/home)
print

Dengue Clusters

(Map data is updated at 1am. Kindly clear your internet browser cache after each visit, in order to view the latest information.)

Operationally, a dengue cluster indicates a locality with active transmission where intervention is targeted. It is formed when two or more cases have onset within 14 days and are located within 150m of each other (based on residential and workplace addresses as well as movement history). The clusters are categorised according to their current status. There are 3 alert levels:

Definition	Alert Level
High-risk area with 10 or more cases	**Red**
High-risk area with less than 10 cases	**Yellow**
No new cases, under surveillance for the next 21 days	**Green**

Each cluster map illustrates the extent of NEA's current vector control intervention. Please click on the cluster location to view the respective map.

The information provided in this listing is accurate as at 19 Feb 2018

S/N	Alert Level	Locality	Cases with onset in last 2 weeks	Cases since start of cluster	Breakdown	
					Location	No. of cases
1		Bedok Reservoir Rd (Blk 104, 116, 117, 118, 120, 121, 125, 132) (/images/default-source/publichealth/dengue/20180219/20980009.jpg)	1	13	Bedok Reservoir Road (Blk 104)	1

					Bedok Reservoir Road (Blk 116)	1
					Bedok Reservoir Road (Blk 117)	2
					Bedok Reservoir Road (Blk 118)	4
					Bedok Reservoir Road (Blk 120)	2
					Bedok Reservoir Road (Blk 121)	1
					Bedok Reservoir Road (Blk 125)	1
					Bedok Reservoir Road (Blk 132)	1
2		Cashew Cres / Cashew Rd (Cashew Pk Condo) (/images/default-source/publichealth/dengue/20180219/20980012.jpg)	6	11	Cashew Cresent	3
					Cashew Road (Cashew Park Condominium)	8
3		Tampines St 12 (Blk 143, 144) (/images/default-source/publichealth/dengue/20180219/20980011.jpg)	1	6	Tampines Street 12 (Blk 143)	5
					Tampines Street 12 (Blk 144)	1
4		Geylang East Ave 1 (Blk 131, 132) / Geylang East Ave 1 (Central Grove) (/images/default-source/publichealth/dengue/20180219/20980013.jpg)	1	4	Geylang East Avenue 1 (Blk 131)	1
					Geylang East Avenue 1 (Blk 132)	1
					Geylang East Avenue 1 (Central Grove)	2

For a list of clusters closed and under surveillance, please click here (/public-health/dengue/dengue-clusters-closed-and-under-surveillance).

Privacy Statement (/privacy-policy/) Terms of Use (/terms-of-use/) Open Data Licence (/open-data-licence/) Rate this Website (/rate-this-website/)
Best viewed using IE 11, Firefox 52, Chrome 56, Safari 8, Opera 43 and above
© 2018, Government of Singapore

Last Updated on 20 February 2018

National Environment Agency of Singapore All Rights Reserved

National Environment Agency
Safeguard · Nurture · Cherish

(/home)
print

Dengue Clusters

(Map data is updated at 1am. Kindly clear your internet browser cache after each visit, in order to view the latest information.)

Operationally, a dengue cluster indicates a locality with active transmission where intervention is targeted. It is formed when two or more cases have onset within 14 days and are located within 150m of each other (based on residential and workplace addresses as well as movement history). The clusters are categorised according to their current status. There are 3 alert levels:

Definition	Alert Level
High-risk area with 10 or more cases	**Red**
High-risk area with less than 10 cases	**Yellow**
No new cases, under surveillance for the next 21 days	**Green**

Each cluster map illustrates the extent of NEA's current vector control intervention. Please click on the cluster location to view the respective map.

The information provided in this listing is accurate as at 23 Feb 2018

S/N	Alert Level	Locality	Cases with onset in last 2 weeks	Cases since start of cluster	Breakdown	
					Location	No. of cases
1		Cashew Cres / Cashew Rd (Cashew Pk Condo) (/images/default-source/publichealth/dengue/20180223/20980012.jpg)	3	11	Cashew Crescent	3

					Cashew Road (Cashew Park Condominium)	8

For a list of clusters closed and under surveillance, please click here (/public-health/dengue/dengue-clusters-closed-and-under-surveillance).

Privacy Statement (/privacy-policy/) Terms of Use (/terms-of-use/) Open Data Licence (/open-data-licence/) Rate this Website (/rate-this-website/)
Best viewed using IE 11, Firefox 52, Chrome 56, Safari 8, Opera 43 and above
© 2018, Government of Singapore

Last Updated on 24 February 2018

National Environment Agency of Singapore All Rights Reserved

National Environment Agency
Safeguard · Nurture · Cherish

(/home)
print

Dengue Clusters

(Map data is updated at 1am. Kindly clear your internet browser cache after each visit, in order to view the latest information.)

Operationally, a dengue cluster indicates a locality with active transmission where intervention is targeted. It is formed when two or more cases have onset within 14 days and are located within 150m of each other (based on residential and workplace addresses as well as movement history). The clusters are categorised according to their current status. There are 3 alert levels:

Definition	Alert Level
High-risk area with 10 or more cases	**Red**
High-risk area with less than 10 cases	**Yellow**
No new cases, under surveillance for the next 21 days	**Green**

Each cluster map illustrates the extent of NEA's current vector control intervention. Please click on the cluster location to view the respective map.

The information provided in this listing is accurate as at 26 Feb 2018

S/N	Alert Level	Locality	Cases with onset in last 2 weeks	Cases since start of cluster	Breakdown	
					Location	No. of cases
1		Cashew Cres / Cashew Rd (Cashew Pk Condo) (/images/default-source/publichealth/dengue/20180226/20980012.jpg)	4	12	Cashew Crescent	4

					Cashew Road (Cashew Park Condominium)	8

For a list of clusters closed and under surveillance, please click here (/public-health/dengue/dengue-clusters-closed-and-under-surveillance).

Privacy Statement (/privacy-policy/) Terms of Use (/terms-of-use/) Open Data Licence (/open-data-licence/) Rate this Website (/rate-this-website/)
Best viewed using IE 11, Firefox 52, Chrome 56, Safari 8, Opera 43 and above
© 2018, Government of Singapore

Last Updated on 27 February 2018

National Environment Agency of Singapore All Rights Reserved

National Environment Agency
Safeguard · Nurture · Cherish

(/home)
print

Dengue Clusters

(Map data is updated at 1am. Kindly clear your internet browser cache after each visit, in order to view the latest information.)

Operationally, a dengue cluster indicates a locality with active transmission where intervention is targeted. It is formed when two or more cases have onset within 14 days and are located within 150m of each other (based on residential and workplace addresses as well as movement history). The clusters are categorised according to their current status. There are 3 alert levels:

Definition	Alert Level
High-risk area with 10 or more cases	**Red**
High-risk area with less than 10 cases	**Yellow**
No new cases, under surveillance for the next 21 days	**Green**

Each cluster map illustrates the extent of NEA's current vector control intervention. Please click on the cluster location to view the respective map.

The information provided in this listing is accurate as at 02 Mar 2018

S/N	Alert Level	Locality	Cases with onset in last 2 weeks	Cases since start of cluster	Breakdown	
					Location	No. of cases
1		Cashew Cres / Cashew Rd (Cashew Pk Condo) (/images/default-source/publichealth/dengue/20180302/20980012.jpg)	2	13	Cashew Crescent	4

					Cashew Road (Cashew Park Condominium)	9
2		Ceylon Rd / Pennefather Rd (/images/default-source/publichealth/dengue/20180302/20180037.jpg)	1	2	Ceylon Road	1
					Pennefather Road	1

For a list of clusters closed and under surveillance, please click here (/public-health/dengue/dengue-clusters-closed-and-under-surveillance).

Privacy Statement (/privacy-policy/) Terms of Use (/terms-of-use/) Open Data Licence (/open-data-licence/) Rate this Website (/rate-this-website/)
Best viewed using IE 11, Firefox 52, Chrome 56, Safari 8, Opera 43 and above
© 2018, Government of Singapore

Last Updated on 03 March 2018

National Environment Agency of Singapore All Rights Reserved

National Environment Agency
Safeguard · Nurture · Cherish

(/home)
print

Dengue Clusters

(Map data is updated at 1am. Kindly clear your internet browser cache after each visit, in order to view the latest information.)

Operationally, a dengue cluster indicates a locality with active transmission where intervention is targeted. It is formed when two or more cases have onset within 14 days and are located within 150m of each other (based on residential and workplace addresses as well as movement history). The clusters are categorised according to their current status. There are 3 alert levels:

Definition	Alert Level
High-risk area with 10 or more cases	**Red**
High-risk area with less than 10 cases	**Yellow**
No new cases, under surveillance for the next 21 days	**Green**

Each cluster map illustrates the extent of NEA's current vector control intervention. Please click on the cluster location to view the respective map.

The information provided in this listing is accurate as at 05 Mar 2018

S/N	Alert Level	Locality	Cases with onset in last 2 weeks	Cases since start of cluster	Breakdown	
					Location	No. of cases
1		Cashew Cres / Cashew Rd (Cashew Pk Condo) (/images/default-source/publichealth/dengue/20180305/20980012.jpg)	2	13	Cashew Crescent	4

					Cashew Road (Cashew Park Condominium)	9
2		Bukit Batok West Ave 6 (Blk 136) (/images/default-source/publichealth/dengue/20180305/20980014.jpg)	2	3	Bukit Batok West Avenue 6 (Blk 136)	3
3		Geylang East Ave 1 (Blk 124) / Geylang East Ave 2 (/images/default-source/publichealth/dengue/20180305/20180043.jpg)	2	2	Geylang East Avenue 1 (Blk 124)	1
					Geylang East Avenue 2	1

For a list of clusters closed and under surveillance, please click here (/public-health/dengue/dengue-clusters-closed-and-under-surveillance).

Privacy Statement (/privacy-policy/) Terms of Use (/terms-of-use/) Open Data Licence (/open-data-licence/) Rate this Website (/rate-this-website/)
Best viewed using IE 11, Firefox 52, Chrome 56, Safari 8, Opera 43 and above
© 2018, Government of Singapore

Last Updated on 06 March 2018

National Environment Agency of Singapore All Rights Reserved

National Environment Agency
Safeguard · Nurture · Cherish

(/home)
print

Dengue Clusters

(Map data is updated at 1am. Kindly clear your internet browser cache after each visit, in order to view the latest information.)

Operationally, a dengue cluster indicates a locality with active transmission where intervention is targeted. It is formed when two or more cases have onset within 14 days and are located within 150m of each other (based on residential and workplace addresses as well as movement history). The clusters are categorised according to their current status. There are 3 alert levels:

Definition	Alert Level
High-risk area with 10 or more cases	**Red**
High-risk area with less than 10 cases	**Yellow**
No new cases, under surveillance for the next 21 days	**Green**

Each cluster map illustrates the extent of NEA's current vector control intervention. Please click on the cluster location to view the respective map.

The information provided in this listing is accurate as at 09 Mar 2018

S/N	Alert Level	Locality	Cases with onset in last 2 weeks	Cases since start of cluster	Breakdown	
					Location	No. of cases
1		Cashew Cres / Cashew Rd (Cashew Pk Condo) (/images/default-source/publichealth/dengue/20180309/20980012.jpg)	3	15	Cashew Crescent	5

					Cashew Road (Cashew Park Condominium)	10
2		Tampines St 11 (Blk 107) (/images/default-source/publichealth/dengue/20180309/20980015.jpg)	3	4	Tampines Street 11 (Blk 107)	4
3		Bt Batok West Ave 6 (Blk 136) (/images/default-source/publichealth/dengue/20180309/20980014.jpg)	2	3	Bukit Batok West Avenue 6 (Blk 136)	3
4		Clementi West St 2 (Blk 709, 713, 714) (/images/default-source/publichealth/dengue/20180309/20980017.jpg)	2	3	Clementi West Street 2 (Blk 709)	1
					Clementi West Street 2 (Blk 713)	1
					Clementi West Street 2 (Blk 714)	1
5		Hougang Ave 7 (The Florida) (/images/default-source/publichealth/dengue/20180309/20980018.jpg)	2	3	Hougang Avenue 7 (The Florida)	3
6		Pearl Bank (Pearl Bank Apts) (/images/default-source/publichealth/dengue/20180309/20980016.jpg)	3	3	Pearl Bank (Pearl Bank Apartments)	3
7		Chai Chee Rd (Blk 10, 808C) (/images/default-source/publichealth/dengue/20180309/20180044.jpg)	2	2	Chai Chee Road (Blk 10)	1
					Chai Chee Road (Blk 808C)	1
8		Chestnut Gdns / Jln Suasa (/images/default-source/publichealth/dengue/20180309/20180047.jpg)	2	2	Chestnut Gardens	1
					Jalan Suasa	1
9		Tampines St 12 (Blk 163, 164) (/images/default-source/publichealth/dengue/20180309/20180050.jpg)	2	2	Tampines Street 12 (Blk 163)	1
					Tampines Street 12 (Blk 164)	1

For a list of clusters closed and under surveillance, please click here (/public-health/dengue/dengue-clusters-closed-and-under-surveillance).

Privacy Statement (/privacy-policy/) Terms of Use (/terms-of-use/) Open Data Licence (/open-data-licence/) Rate this Website (/rate-this-website/)
Best viewed using IE 11, Firefox 52, Chrome 56, Safari 8, Opera 43 and above
© 2018, Government of Singapore

Last Updated on 10 March 2018

National Environment Agency of Singapore All Rights Reserved

National Environment Agency
Safeguard · Nurture · Cherish

(/home)
print

Dengue Clusters

(Map data is updated at 1am. Kindly clear your internet browser cache after each visit, in order to view the latest information.)

Operationally, a dengue cluster indicates a locality with active transmission where intervention is targeted. It is formed when two or more cases have onset within 14 days and are located within 150m of each other (based on residential and workplace addresses as well as movement history). The clusters are categorised according to their current status. There are 3 alert levels:

Definition	Alert Level
High-risk area with 10 or more cases	**Red**
High-risk area with less than 10 cases	**Yellow**
No new cases, under surveillance for the next 21 days	**Green**

Each cluster map illustrates the extent of NEA's current vector control intervention. Please click on the cluster location to view the respective map.

The information provided in this listing is accurate as at 12 Mar 2018

S/N	Alert Level	Locality	Cases with onset in last 2 weeks	Cases since start of cluster	Breakdown	
					Location	No. of cases
1		Cashew Cres / Cashew Rd (Cashew Pk Condo) (/images/default-source/publichealth/dengue/20180312/20980012.jpg)	2	16	Cashew Crescent	6

					Cashew Road (Cashew Park Condominium)	10
2		Tampines St 11 (Blk 107) (/images/default-source/publichealth/dengue/20180312/20980015.jpg)	1	4	Tampines Street 11 (Blk 107)	4
3		Bt Batok West Ave 6 (Blk 136) (/images/default-source/publichealth/dengue/20180312/20980014.jpg)	1	3	Bukit Batok West Avenue 6 (Blk 136)	3
4		Hougang Ave 7 (The Florida) (/images/default-source/publichealth/dengue/20180312/20980018.jpg)	1	3	Hougang Avenue 7 (The Florida)	3
5		Pearl Bank (Pearl Bank Apts) (/images/default-source/publichealth/dengue/20180312/20980016.jpg)	1	3	Pearl Bank (Pearl Bank Apartments)	3
6		Chai Chee Rd (Blk 10, 808C) (/images/default-source/publichealth/dengue/20180312/20180044.jpg)	2	2	Chai Chee Road (Blk 10)	1
					Chai Chee Road (Blk 808C)	1
7		Chestnut Gdns / Jln Suasa (/images/default-source/publichealth/dengue/20180312/20180047.jpg)	1	2	Chestnut Gardens	1
					Jalan Suasa	1
8		Tampines St 12 (Blk 163, 164) (/images/default-source/publichealth/dengue/20180312/20180050.jpg)	2	2	Tampines Street 12 (Blk 163)	1
					Tampines Street 12 (Blk 164)	1

For a list of clusters closed and under surveillance, please click here (/public-health/dengue/dengue-clusters-closed-and-under-surveillance).

Privacy Statement (/privacy-policy/) Terms of Use (/terms-of-use/) Open Data Licence (/open-data-licence/) Rate this Website (/rate-this-website/)
Best viewed using IE 11, Firefox 52, Chrome 56, Safari 8, Opera 43 and above
© 2018, Government of Singapore

Last Updated on 13 March 2018

National Environment Agency of Singapore All Rights Reserved

National Environment Agency
Safeguard · Nurture · Cherish

(/home)
print

Dengue Clusters

(Map data is updated at 1am. Kindly clear your internet browser cache after each visit, in order to view the latest information.)

Operationally, a dengue cluster indicates a locality with active transmission where intervention is targeted. It is formed when two or more cases have onset within 14 days and are located within 150m of each other (based on residential and workplace addresses as well as movement history). The clusters are categorised according to their current status. There are 3 alert levels:

Definition	Alert Level
High-risk area with 10 or more cases	**Red**
High-risk area with less than 10 cases	**Yellow**
No new cases, under surveillance for the next 21 days	**Green**

Each cluster map illustrates the extent of NEA's current vector control intervention. Please click on the cluster location to view the respective map.

The information provided in this listing is accurate as at 16 Mar 2018

S/N	Alert Level	Locality	Cases with onset in last 2 weeks	Cases since start of cluster	Breakdown	
					Location	No. of cases
1		Bedok Reservoir Rd (Blk 127, 132, 133, 134, 135) (/images/default-source/publichealth/dengue/20180316/20980019.jpg)	9	10	Bedok Reservoir Road (Blk 127)	1

					Bedok Reservoir Road (Blk 132)	3
					Bedok Reservoir Road (Blk 133)	3
					Bedok Reservoir Road (Blk 134)	1
					Bedok Reservoir Road (Blk 135)	2
2		Joo Chiat Rd / Koon Seng Rd / Tembeling Rd (/images/default-source/publichealth/dengue/20180316/20980020.jpg)	2	4	Joo Chiat Road	1
					Koon Seng Road	2
					Tembeling Road	1
3		Tampines St 11 (Blk 107) (/images/default-source/publichealth/dengue/20180316/20980015.jpg)	1	4	Tampines Street 11 (Blk 107)	4
4		Tampines St 12 (Blk 163, 164) (/images/default-source/publichealth/dengue/20180316/20980022.jpg)	2	3	Tampines Street 12 (Blk 163)	2
					Tampines Street 12 (Blk 164)	1

For a list of clusters closed and under surveillance, please click here (/public-health/dengue/dengue-clusters-closed-and-under-surveillance).

Privacy Statement (/privacy-policy/) Terms of Use (/terms-of-use/) Open Data Licence (/open-data-licence/) Rate this Website (/rate-this-website/)
Best viewed using IE 11, Firefox 52, Chrome 56, Safari 8, Opera 43 and above
© 2018, Government of Singapore

Last Updated on 19 March 2018

National Environment Agency of Singapore All Rights Reserved

National Environment Agency
Safeguard · Nurture · Cherish

(/home)
print

Dengue Clusters

(Map data is updated at 1am. Kindly clear your internet browser cache after each visit, in order to view the latest information.)

Operationally, a dengue cluster indicates a locality with active transmission where intervention is targeted. It is formed when two or more cases have onset within 14 days and are located within 150m of each other (based on residential and workplace addresses as well as movement history). The clusters are categorised according to their current status. There are 3 alert levels:

Definition	Alert Level
High-risk area with 10 or more cases	**Red**
High-risk area with less than 10 cases	**Yellow**
No new cases, under surveillance for the next 21 days	**Green**

Each cluster map illustrates the extent of NEA's current vector control intervention. Please click on the cluster location to view the respective map.

The information provided in this listing is accurate as at 20 Mar 2018

S/N	Alert Level	Locality	Cases with onset in last 2 weeks	Cases since start of cluster	Breakdown	
					Location	No. of cases
1		Bedok Reservoir Rd (Blk 127, 132, 133, 134, 135) (/images/default-source/publichealth/dengue/20180320/20980019.jpg)	10	11	Bedok Reservoir Road (Blk 127)	1

					Bedok Reservoir Road (Blk 132)	4
					Bedok Reservoir Road (Blk 133)	3
					Bedok Reservoir Road (Blk 134)	1
					Bedok Reservoir Road (Blk 135)	2
2		Joo Chiat Rd / Koon Seng Rd / Tembeling Rd (/images/default-source/publichealth/dengue/20180320/20980020.jpg)	2	4	Joo Chiat Road	1
					Koon Seng Road	2
					Tembeling Road	1
3		Tampines St 11 (Blk 107) (/images/default-source/publichealth/dengue/20180320/20980015.jpg)	1	4	Tampines Street 11 (Blk 107)	4
4		Hillview Ave (Hillview Residence) (/images/default-source/publichealth/dengue/20180320/20980023.jpg)	1	3	Hillview Avenue (Hillview Residence)	3
5		Tampines St 12 (Blk 163, 164) (/images/default-source/publichealth/dengue/20180320/20980022.jpg)	2	3	Tampines Street 12 (Blk 163)	2
					Tampines Street 12 (Blk 164)	1

For a list of clusters closed and under surveillance, please click here (/public-health/dengue/dengue-clusters-closed-and-under-surveillance).

Privacy Statement (/privacy-policy/) Terms of Use (/terms-of-use/) Open Data Licence (/open-data-licence/) Rate this Website (/rate-this-website/)
Best viewed using IE 11, Firefox 52, Chrome 56, Safari 8, Opera 43 and above
© 2018, Government of Singapore

Last Updated on 21 March 2018

National Environment Agency of Singapore All Rights Reserved

National Environment Agency
Safeguard · Nurture · Cherish

(/home)
print

Dengue Clusters

(Map data is updated at 1am. Kindly clear your internet browser cache after each visit, in order to view the latest information.)

Operationally, a dengue cluster indicates a locality with active transmission where intervention is targeted. It is formed when two or more cases have onset within 14 days and are located within 150m of each other (based on residential and workplace addresses as well as movement history). The clusters are categorised according to their current status. There are 3 alert levels:

Definition	Alert Level
High-risk area with 10 or more cases	**Red**
High-risk area with less than 10 cases	**Yellow**
No new cases, under surveillance for the next 21 days	**Green**

Each cluster map illustrates the extent of NEA's current vector control intervention. Please click on the cluster location to view the respective map.

The information provided in this listing is accurate as at 23 Mar 2018

S/N	Alert Level	Locality	Cases with onset in last 2 weeks	Cases since start of cluster	Breakdown	
					Location	No. of cases
1		Bedok Reservoir Rd (Blk 127, 132, 133, 134, 135) (/images/default-source/publichealth/dengue/20180323/20980019.jpg)	8	12	Bedok Reservoir Road (Blk 127)	1

					Bedok Reservoir Road (Blk 132)	4
					Bedok Reservoir Road (Blk 133)	3
					Bedok Reservoir Road (Blk 134)	2
					Bedok Reservoir Road (Blk 135)	2
2		Tampines St 12 (Blk 163, 164) (/images/default-source/publichealth/dengue/20180323/20980022.jpg)	2	5	Tampines Street 12 (Blk 163)	2
					Tampines Street 12 (Blk 164)	3
3		Kaki Bt Ave 1 (/images/default-source/publichealth/dengue/20180323/20180056.jpg)	2	2	Kaki Bukit Avenue 1	2

For a list of clusters closed and under surveillance, please click here (/public-health/dengue/dengue-clusters-closed-and-under-surveillance).

Privacy Statement (/privacy-policy/) Terms of Use (/terms-of-use/) Open Data Licence (/open-data-licence/) Rate this Website (/rate-this-website/)
Best viewed using IE 11, Firefox 52, Chrome 56, Safari 8, Opera 43 and above
© 2018, Government of Singapore

Last Updated on 24 March 2018

National Environment Agency of Singapore All Rights Reserved

National Environment Agency
Safeguard · Nurture · Cherish

(/home)
print

Dengue Clusters

(Map data is updated at 1am. Kindly clear your internet browser cache after each visit, in order to view the latest information.)

Operationally, a dengue cluster indicates a locality with active transmission where intervention is targeted. It is formed when two or more cases have onset within 14 days and are located within 150m of each other (based on residential and workplace addresses as well as movement history). The clusters are categorised according to their current status. There are 3 alert levels:

Definition	Alert Level
High-risk area with 10 or more cases	**Red**
High-risk area with less than 10 cases	**Yellow**
No new cases, under surveillance for the next 21 days	**Green**

Each cluster map illustrates the extent of NEA's current vector control intervention. Please click on the cluster location to view the respective map.

The information provided in this listing is accurate as at 26 Mar 2018

S/N	Alert Level	Locality	Cases with onset in last 2 weeks	Cases since start of cluster	Breakdown	
					Location	No. of cases
1		Bedok Reservoir Rd (Blk 127, 132, 133, 134, 135, 608) (/images/default-source/publichealth/dengue/20180326/20980019.jpg)	2	13	Bedok Reservoir Road (Blk 127)	1

					Bedok Reservoir Road (Blk 132)	4
					Bedok Reservoir Road (Blk 133)	3
					Bedok Reservoir Road (Blk 134)	2
					Bedok Reservoir Road (Blk 135)	2
					Bedok Reservoir Road (Blk 608)	1
2		Tampines St 12 (Blk 163, 164) (/images/default-source/publichealth/dengue/20180326/20980022.jpg)	1	5	Tampines Street 12 (Blk 163)	2
					Tampines Street 12 (Blk 164)	3
3		Jurong West St 91 (Blk 947, 950) (/images/default-source/publichealth/dengue/20180326/20180057.jpg)	1	2	Jurong West Street 91 (Blk 947)	1
					Jurong West Street 91 (Blk 950)	1
4		Kaki Bt Ave 1 (/images/default-source/publichealth/dengue/20180326/20180056.jpg)	2	2	Kaki Bukit Avenue 1	2

For a list of clusters closed and under surveillance, please click here (/public-health/dengue/dengue-clusters-closed-and-under-surveillance).

Privacy Statement (/privacy-policy/) Terms of Use (/terms-of-use/) Open Data Licence (/open-data-licence/) Rate this Website (/rate-this-website/)
Best viewed using IE 11, Firefox 52, Chrome 56, Safari 8, Opera 43 and above
© 2018, Government of Singapore

Last Updated on 27 March 2018

National Environment Agency of Singapore All Rights Reserved

National Environment Agency
Safeguard · Nurture · Cherish

(/home)
print

Dengue Clusters

(Map data is updated at 1am. Kindly clear your internet browser cache after each visit, in order to view the latest information.)

Operationally, a dengue cluster indicates a locality with active transmission where intervention is targeted. It is formed when two or more cases have onset within 14 days and are located within 150m of each other (based on residential and workplace addresses as well as movement history). The clusters are categorised according to their current status. There are 3 alert levels:

Definition	Alert Level
High-risk area with 10 or more cases	**Red**
High-risk area with less than 10 cases	**Yellow**
No new cases, under surveillance for the next 21 days	**Green**

Each cluster map illustrates the extent of NEA's current vector control intervention. Please click on the cluster location to view the respective map.

The information provided in this listing is accurate as at 29 Mar 2018

S/N	Alert Level	Locality	Cases with onset in last 2 weeks	Cases since start of cluster	Breakdown	
					Location	No. of cases
1		Bedok Reservoir Rd (Blk 123, 127, 132, 133, 134, 135, 608) (/images/default-source/publichealth/dengue/20180329/20980019.jpg)	3	14	Bedok Reservoir Road (Blk 123)	1

					Bedok Reservoir Road (Blk 127)	1
					Bedok Reservoir Road (Blk 132)	4
					Bedok Reservoir Road (Blk 133)	3
					Bedok Reservoir Road (Blk 134)	2
					Bedok Reservoir Road (Blk 135)	2
					Bedok Reservoir Road (Blk 608)	1
2		Bedok Nth St 3 (Blk 536) (/images/default-source/publichealth/dengue/20180329/20980024.jpg)	3	4	Bedok North Street 3 (Blk 536)	4
3		Jurong West St 91 (Blk 947, 950) (/images/default-source/publichealth/dengue/20180329/20180057.jpg)	1	2	Jurong West Street 91 (Blk 947)	1
					Jurong West Street 91 (Blk 950)	1
4		Kaki Bt Ave 1 (/images/default-source/publichealth/dengue/20180329/20180056.jpg)	1	2	Kaki Bukit Avenue 1	2
5		Whampoa Dr (Blk 97, 101) (/images/default-source/publichealth/dengue/20180329/20180059.jpg)	2	2	Whampoa Drive (Blk 97)	1
					Whampoa Drive (Blk 101)	1

For a list of clusters closed and under surveillance, please click here (/public-health/dengue/dengue-clusters-closed-and-under-surveillance).

Privacy Statement (/privacy-policy/) Terms of Use (/terms-of-use/) Open Data Licence (/open-data-licence/) Rate this Website (/rate-this-website/)
Best viewed using IE 11, Firefox 52, Chrome 56, Safari 8, Opera 43 and above
© 2018, Government of Singapore

Last Updated on 30 March 2018

National Environment Agency of Singapore All Rights Reserved

National Environment Agency
Safeguard · Nurture · Cherish

(/home)
print

Dengue Clusters

(Map data is updated at 1am. Kindly clear your internet browser cache after each visit, in order to view the latest information.)

Operationally, a dengue cluster indicates a locality with active transmission where intervention is targeted. It is formed when two or more cases have onset within 14 days and are located within 150m of each other (based on residential and workplace addresses as well as movement history). The clusters are categorised according to their current status. There are 3 alert levels:

Definition	Alert Level
High-risk area with 10 or more cases	**Red**
High-risk area with less than 10 cases	**Yellow**
No new cases, under surveillance for the next 21 days	**Green**

Each cluster map illustrates the extent of NEA's current vector control intervention. Please click on the cluster location to view the respective map.

The information provided in this listing is accurate as at 02 Apr 2018

S/N	Alert Level	Locality	Cases with onset in last 2 weeks	Cases since start of cluster	Breakdown	
					Location	No. of cases
1		Bedok Reservoir Rd (Blk 123, 127, 132, 133, 134, 135, 608) (/images/default-source/publichealth/dengue/20180402/20980019.jpg)	3	15	Bedok Reservoir Road (Blk 123)	1

					Bedok Reservoir Road (Blk 127)	1
					Bedok Reservoir Road (Blk 132)	4
					Bedok Reservoir Road (Blk 133)	3
					Bedok Reservoir Road (Blk 134)	3
					Bedok Reservoir Road (Blk 135)	2
					Bedok Reservoir Road (Blk 608)	1
2		Bedok Nth St 3 (Blk 536) (/images/default-source/publichealth/dengue/20180402/20980024.jpg)	3	5	Bedok North Street 3 (Blk 536)	5
3		Jurong West St 91 (Blk 947, 950) (/images/default-source/publichealth/dengue/20180402/20180057.jpg)	1	2	Jurong West Street 91 (Blk 947)	1
					Jurong West Street 91 (Blk 950)	1
4		Kaki Bt Ave 1 (/images/default-source/publichealth/dengue/20180402/20180056.jpg)	1	2	Kaki Bukit Avenue 1	2
5		Whampoa Dr (Blk 97, 101) (/images/default-source/publichealth/dengue/20180402/20180059.jpg)	2	2	Whampoa Drive (Blk 97)	1
					Whampoa Drive (Blk 101)	1

For a list of clusters closed and under surveillance, please click here (/public-health/dengue/dengue-clusters-closed-and-under-surveillance).

Privacy Statement (/privacy-policy/) Terms of Use (/terms-of-use/) Open Data Licence (/open-data-licence/) Rate this Website (/rate-this-website/)
Best viewed using IE 11, Firefox 52, Chrome 56, Safari 8, Opera 43 and above
© 2018, Government of Singapore

Last Updated on 03 April 2018

National Environment Agency of Singapore All Rights Reserved

National Environment Agency
Safeguard · Nurture · Cherish

(/home)
print

Dengue Clusters

(Map data is updated at 1am. Kindly clear your internet browser cache after each visit, in order to view the latest information.)

Operationally, a dengue cluster indicates a locality with active transmission where intervention is targeted. It is formed when two or more cases have onset within 14 days and are located within 150m of each other (based on residential and workplace addresses as well as movement history). The clusters are categorised according to their current status. There are 3 alert levels:

Definition	Alert Level
High-risk area with 10 or more cases	**Red**
High-risk area with less than 10 cases	**Yellow**
No new cases, under surveillance for the next 21 days	**Green**

Each cluster map illustrates the extent of NEA's current vector control intervention. Please click on the cluster location to view the respective map.

The information provided in this listing is accurate as at 06 Apr 2018

S/N	Alert Level	Locality	Cases with onset in last 2 weeks	Cases since start of cluster	Breakdown	
					Location	No. of cases
1		Bedok Reservoir Rd (Blk 123, 127, 132, 133, 134, 135, 608, 609A) (/images/default-source/publichealth/dengue/20180406/20980019.jpg)	5	19	Bedok Reservoir Road (Blk 123)	2

					Bedok Reservoir Road (Blk 127)	1
					Bedok Reservoir Road (Blk 132)	5
					Bedok Reservoir Road (Blk 133)	3
					Bedok Reservoir Road (Blk 134)	4
					Bedok Reservoir Road (Blk 135)	2
					Bedok Reservoir Road (Blk 608)	1
					Bedok Reservoir Road (Blk 609A)	1
2		Bedok Nth St 3 (Blk 536, 556) (/images/default-source/publichealth/dengue/20180406/20980024.jpg)	8	11	Bedok North Street 3 (Blk 536)	9
					Bedok North Street 3 (Blk 556)	2
3		Jurong West St 91 (Blk 945, 946, 947, 950) (/images/default-source/publichealth/dengue/20180406/20980025.jpg)	4	6	Jurong West Street 91 (Blk 945)	1
					Jurong West Street 91 (Blk 946)	2
					Jurong West Street 91 (Blk 947)	2
					Jurong West Street 91 (Blk 950)	1
4		Cashew Cres (/images/default-source/publichealth/dengue/20180406/20980026.jpg)	3	3	Cashew Crescent	3
5		Jln Sempadan (Villa Marina) (/images/default-source/publichealth/dengue/20180406/20180064.jpg)	2	2	Jalan Sempadan (Villa Marina)	2

6		Lor 7 Toa Payoh (Blk 8, 9) (/images/default-source/publichealth/dengue/20180406/20180060.jpg)	2	2	Lorong 7 Toa Payoh (Blk 8)	1
					Lorong 7 Toa Payoh (Blk 9)	1
7		Yishun St 21 (Blk 201, 212) (/images/default-source/publichealth/dengue/20180406/20180061.jpg)	2	2	Yishun Street 21 (Blk 201)	1
					Yishun Street 21 (Blk 212)	1

For a list of clusters closed and under surveillance, please click here (/public-health/dengue/dengue-clusters-closed-and-under-surveillance).

Privacy Statement (/privacy-policy/) Terms of Use (/terms-of-use/) Open Data Licence (/open-data-licence/) Rate this Website (/rate-this-website/)
Best viewed using IE 11, Firefox 52, Chrome 56, Safari 8, Opera 43 and above
© 2018, Government of Singapore

Last Updated on 07 April 2018

National Environment Agency of Singapore All Rights Reserved

National Environment Agency
Safeguard · Nurture · Cherish

(/home)
print

Dengue Clusters

(Map data is updated at 1am. Kindly clear your internet browser cache after each visit, in order to view the latest information.)

Operationally, a dengue cluster indicates a locality with active transmission where intervention is targeted. It is formed when two or more cases have onset within 14 days and are located within 150m of each other (based on residential and workplace addresses as well as movement history). The clusters are categorised according to their current status. There are 3 alert levels:

Definition	Alert Level
High-risk area with 10 or more cases	**Red**
High-risk area with less than 10 cases	**Yellow**
No new cases, under surveillance for the next 21 days	**Green**

Each cluster map illustrates the extent of NEA's current vector control intervention. Please click on the cluster location to view the respective map.

The information provided in this listing is accurate as at 09 Apr 2018

S/N	Alert Level	Locality	Cases with onset in last 2 weeks	Cases since start of cluster	Breakdown	
					Location	No. of cases
1		Bedok Reservoir Rd (Blk 123, 127, 132, 133, 134, 135, 608, 609A) (/images/default-source/publichealth/dengue/20180409/20980019.jpg)	3	19	Bedok Reservoir Road (Blk 123)	2

					Bedok Reservoir Road (Blk 127)	1
					Bedok Reservoir Road (Blk 132)	5
					Bedok Reservoir Road (Blk 133)	3
					Bedok Reservoir Road (Blk 134)	4
					Bedok Reservoir Road (Blk 135)	2
					Bedok Reservoir Road (Blk 608)	1
					Bedok Reservoir Road (Blk 609A)	1
2		Bedok Nth St 3 (Blk 536, 556) (/images/default-source/publichealth/dengue/20180409/20980024.jpg)	6	12	Bedok North Street 3 (Blk 536)	9
					Bedok North Street 3 (Blk 556)	3
3		Jurong West St 91 (Blk 945, 946, 947, 950) (/images/default-source/publichealth/dengue/20180409/20980025.jpg)	4	6	Jurong West Street 91 (Blk 945)	1
					Jurong West Street 91 (Blk 946)	2
					Jurong West Street 91 (Blk 947)	2
					Jurong West Street 91 (Blk 950)	1
4		Cashew Cres (/images/default-source/publichealth/dengue/20180409/20980026.jpg)	4	4	Cashew Crescent	4
5		Yishun St 21 (Blk 201, 212) (/images/default-source/publichealth/dengue/20180409/20980027.jpg)	2	3	Yishun Street 21 (Blk 201)	2

					Yishun Street 21 (Blk 212)	1
6		Jln Sempadan (Villa Marina) (/images/default-source/publichealth/dengue/20180409/20180064.jpg)	2	2	Jalan Sempadan (Villa Marina)	2
7		Lor 7 Toa Payoh (Blk 8, 9) (/images/default-source/publichealth/dengue/20180409/20180060.jpg)	2	2	Lorong 7 Toa Payoh (Blk 8)	1
					Lorong 7 Toa Payoh (Blk 9)	1

For a list of clusters closed and under surveillance, please click here (/public-health/dengue/dengue-clusters-closed-and-under-surveillance).

Privacy Statement (/privacy-policy/) Terms of Use (/terms-of-use/) Open Data Licence (/open-data-licence/) Rate this Website (/rate-this-website/)
Best viewed using IE 11, Firefox 52, Chrome 56, Safari 8, Opera 43 and above
© 2018, Government of Singapore

Last Updated on 10 April 2018

National Environment Agency of Singapore All Rights Reserved

National Environment Agency
Safeguard · Nurture · Cherish

(/home)
print

Dengue Clusters

(Map data is updated at 1am. Kindly clear your internet browser cache after each visit, in order to view the latest information.)

Operationally, a dengue cluster indicates a locality with active transmission where intervention is targeted. It is formed when two or more cases have onset within 14 days and are located within 150m of each other (based on residential and workplace addresses as well as movement history). The clusters are categorised according to their current status. There are 3 alert levels:

Definition	Alert Level
High-risk area with 10 or more cases	**Red**
High-risk area with less than 10 cases	**Yellow**
No new cases, under surveillance for the next 21 days	**Green**

Each cluster map illustrates the extent of NEA's current vector control intervention. Please click on the cluster location to view the respective map.

The information provided in this listing is accurate as at 13 Apr 2018

S/N	Alert Level	Locality	Cases with onset in last 2 weeks	Cases since start of cluster	Breakdown	
					Location	No. of cases
1		Bedok Nth St 3 (Blk 536, 541, 556) (/images/default-source/publichealth/dengue/20180413/20980024.jpg)	6	15	Bedok North Street 3 (Blk 536)	11

					Bedok North Street 3 (Blk 541)	1
					Bedok North Street 3 (Blk 556)	3
2		Jurong West St 91 (Blk 945, 946, 947, 950) (/images/default-source/publichealth/dengue/20180413/20980025.jpg)	6	8	Jurong West Street 91 (Blk 945)	1
					Jurong West Street 91 (Blk 946)	2
					Jurong West Street 91 (Blk 947)	3
					Jurong West Street 91 (Blk 950)	2
3		Cashew Cres (/images/default-source/publichealth/dengue/20180413/20980026.jpg)	2	4	Cashew Crescent	4
4		Jln Sempadan (Villa Marina) (/images/default-source/publichealth/dengue/20180413/20980028.jpg)	3	3	Jalan Sempadan (Villa Marina)	3
5		Yishun St 21 (Blk 201, 212) (/images/default-source/publichealth/dengue/20180413/20980027.jpg)	3	3	Yishun Street 21 (Blk 201)	2
					Yishun Street 21 (Blk 212)	1
6		Carpmael Rd / Joo Chiat Rd (/images/default-source/publichealth/dengue/20180413/20180065.jpg)	2	2	Carpmael Road	1
					Joo Chiat Road	1
7		Joo Chiat Rd / Onan Rd (/images/default-source/publichealth/dengue/20180413/20180069.jpg)	1	2	Joo Chiat Road	1
					Onan Road	1
8		Redhill Cl (Blk 86) / Redhill Ln (Blk 82) (/images/default-source/publichealth/dengue/20180413/20180067.jpg)	2	2	Redhill Close (Blk 86)	1
					Redhill Lane (Blk 82)	1

For a list of clusters closed and under surveillance, please click here (/public-health/dengue/dengue-clusters-closed-and-under-surveillance).

Privacy Statement (/privacy-policy/) Terms of Use (/terms-of-use/) Open Data Licence (/open-data-licence/) Rate this Website (/rate-this-website/)
Best viewed using IE 11, Firefox 52, Chrome 56, Safari 8, Opera 43 and above

Last Updated on 14 April 2018

National Environment Agency of Singapore All Rights Reserved

National Environment Agency
Safeguard · Nurture · Cherish

(/home)
print

Dengue Clusters

(Map data is updated at 1am. Kindly clear your internet browser cache after each visit, in order to view the latest information.)

Operationally, a dengue cluster indicates a locality with active transmission where intervention is targeted. It is formed when two or more cases have onset within 14 days and are located within 150m of each other (based on residential and workplace addresses as well as movement history). The clusters are categorised according to their current status. There are 3 alert levels:

Definition	Alert Level
High-risk area with 10 or more cases	**Red**
High-risk area with less than 10 cases	**Yellow**
No new cases, under surveillance for the next 21 days	**Green**

Each cluster map illustrates the extent of NEA's current vector control intervention. Please click on the cluster location to view the respective map.

The information provided in this listing is accurate as at 16 Apr 2018

S/N	Alert Level	Locality	Cases with onset in last 2 weeks	Cases since start of cluster	Breakdown	
					Location	No. of cases
1		Bedok Nth St 3 (Blk 536, 541, 556) (/images/default-source/publichealth/dengue/20180416/20980024.jpg)	4	15	Bedok North Street 3 (Blk 536)	11

					Bedok North Street 3 (Blk 541)	1
					Bedok North Street 3 (Blk 556)	3
2		Jurong West St 91 (Blk 945, 946, 947, 950) (/images/default-source/publichealth/dengue/20180416/20980025.jpg)	4	10	Jurong West Street 91 (Blk 945)	1
					Jurong West Street 91 (Blk 946)	2
					Jurong West Street 91 (Blk 947)	4
					Jurong West Street 91 (Blk 950)	3
3		Cashew Cres (/images/default-source/publichealth/dengue/20180416/20980026.jpg)	2	5	Cashew Crescent	5
4		Whampoa Dr (Blk 97, 100, 101, 104) (/images/default-source/publichealth/dengue/20180416/20980030.jpg)	2	4	Whampoa Drive (Blk 97)	1
					Whampoa Drive (Blk 100)	1
					Whampoa Drive (Blk 101)	1
					Whampoa Drive (Blk 104)	1
5		Carpmael Rd / Joo Chiat Rd (/images/default-source/publichealth/dengue/20180416/20980029.jpg)	3	3	Carpmael Road	1
					Joo Chiat Road	2
6		Jln Sempadan (Villa Marina) (/images/default-source/publichealth/dengue/20180416/20980028.jpg)	1	3	Jalan Sempadan (Villa Marina)	3
7		Yishun St 21 (Blk 201, 212) (/images/default-source/publichealth/dengue/20180416/20980027.jpg)	1	3	Yishun Street 21 (Blk 201)	2
					Yishun Street 21 (Blk 212)	1
8		Joo Chiat Rd / Onan Rd (/images/default-source/publichealth/dengue/20180416/20180069.jpg)	1	2	Joo Chiat Road	1
					Onan Road	1

9		Redhill Cl (Blk 86) / Redhill Ln (Blk 82) (/images/default-source/publichealth/dengue/20180416/20180067.jpg)	2	2	Redhill Close (Blk 86)	1
					Redhill Lane (Blk 82)	1

For a list of clusters closed and under surveillance, please click here (/public-health/dengue/dengue-clusters-closed-and-under-surveillance).

Privacy Statement (/privacy-policy/) Terms of Use (/terms-of-use/) Open Data Licence (/open-data-licence/) Rate this Website (/rate-this-website/)
Best viewed using IE 11, Firefox 52, Chrome 56, Safari 8, Opera 43 and above
© 2018, Government of Singapore

Last Updated on 17 April 2018

National Environment Agency of Singapore All Rights Reserved

National Environment Agency
Safeguard · Nurture · Cherish

(/home)
print

Dengue Clusters

(Map data is updated at 1am. Kindly clear your internet browser cache after each visit, in order to view the latest information.)

Operationally, a dengue cluster indicates a locality with active transmission where intervention is targeted. It is formed when two or more cases have onset within 14 days and are located within 150m of each other (based on residential and workplace addresses as well as movement history). The clusters are categorised according to their current status. There are 3 alert levels:

Definition	Alert Level
High-risk area with 10 or more cases	**Red**
High-risk area with less than 10 cases	**Yellow**
No new cases, under surveillance for the next 21 days	**Green**

Each cluster map illustrates the extent of NEA's current vector control intervention. Please click on the cluster location to view the respective map.

The information provided in this listing is accurate as at 20 Apr 2018

S/N	Alert Level	Locality	Cases with onset in last 2 weeks	Cases since start of cluster	Breakdown	
					Location	No. of cases
1		Bedok Nth St 3 (Blk 535, 536, 537, 541, 556) (/images/default-source/publichealth/dengue/20180420/20980024.jpg)	5	19	Bedok North Street 3 (Blk 535)	1

					Bedok North Street 3 (Blk 536)	12
					Bedok North Street 3 (Blk 537)	1
					Bedok North Street 3 (Blk 541)	1
					Bedok North Street 3 (Blk 556)	4
2		Jurong West St 91 (Blk 940, 945, 946, 947, 950) (/images/default-source/publichealth/dengue/20180420/20980025.jpg)	10	18	Jurong West Street 91 (Blk 940)	1
					Jurong West Street 91 (Blk 945)	1
					Jurong West Street 91 (Blk 946)	3
					Jurong West Street 91 (Blk 947)	7
					Jurong West Street 91 (Blk 950)	6
3		Cashew Cres (/images/default-source/publichealth/dengue/20180420/20980026.jpg)	2	6	Cashew Crescent	6
4		Whampoa Dr (Blk 97, 98, 100, 101, 104) (/images/default-source/publichealth/dengue/20180420/20980030.jpg)	2	5	Whampoa Drive (Blk 97)	1
					Whampoa Drive (Blk 98)	1
					Whampoa Drive (Blk 100)	1
					Whampoa Drive (Blk 101)	1
					Whampoa Drive (Blk 104)	1
5		Carpmael Rd / Joo Chiat Rd (/images/default-source/publichealth/dengue/20180420/20980029.jpg)	1	4	Carpmael Road	2
					Joo Chiat Road	2

6		Jln Sempadan (Villa Marina) (/images/default-source/publichealth/dengue/20180420/20980028.jpg)	2	4	Jalan Sempadan (Villa Marina)	4
7		Henderson Rd (Blk 92) / Redhill Cl (Blk 86) / Redhill Ln (Blk 82) (/images/default-source/publichealth/dengue/20180420/20980031.jpg)	2	3	Henderson Road (Blk 92)	1
					Redhill Close (Blk 86)	1
					Redhill Lane (Blk 82)	1
8		Kim Keat Cl / Kim Keat Ln (/images/default-source/publichealth/dengue/20180420/20980032.jpg)	2	3	Kim Keat Close	2
					Kim Keat Lane	1
9		Yunnan Cres (/images/default-source/publichealth/dengue/20180420/20180072.jpg)	2	2	Yunnan Crescent	2

For a list of clusters closed and under surveillance, please click here (/public-health/dengue/dengue-clusters-closed-and-under-surveillance).

Privacy Statement (/privacy-policy/) Terms of Use (/terms-of-use/) Open Data Licence (/open-data-licence/) Rate this Website (/rate-this-website/)
Best viewed using IE 11, Firefox 52, Chrome 56, Safari 8, Opera 43 and above
© 2018, Government of Singapore

Last Updated on 21 April 2018

National Environment Agency of Singapore All Rights Reserved

National Environment Agency
Safeguard · Nurture · Cherish

(/home)
print

Dengue Clusters

(Map data is updated at 1am. Kindly clear your internet browser cache after each visit, in order to view the latest information.)

Operationally, a dengue cluster indicates a locality with active transmission where intervention is targeted. It is formed when two or more cases have onset within 14 days and are located within 150m of each other (based on residential and workplace addresses as well as movement history). The clusters are categorised according to their current status. There are 3 alert levels:

Definition	Alert Level
High-risk area with 10 or more cases	**Red**
High-risk area with less than 10 cases	**Yellow**
No new cases, under surveillance for the next 21 days	**Green**

Each cluster map illustrates the extent of NEA's current vector control intervention. Please click on the cluster location to view the respective map.

The information provided in this listing is accurate as at 23 Apr 2018

S/N	Alert Level	Locality	Cases with onset in last 2 weeks	Cases since start of cluster	Breakdown	
					Location	No. of cases
1		Bedok Nth St 3 (Blk 535, 536, 537, 541, 556) (/images/default-source/publichealth/dengue/20180423/20980024.jpg)	5	20	Bedok North Street 3 (Blk 535)	1

					Bedok North Street 3 (Blk 536)	12
					Bedok North Street 3 (Blk 537)	2
					Bedok North Street 3 (Blk 541)	1
					Bedok North Street 3 (Blk 556)	4
2		Jurong West St 91 (Blk 940, 945, 946, 947, 949, 950) (/images/default-source/publichealth/dengue/20180423/20980025.jpg)	10	20	Jurong West Street 91 (Blk 940)	1
					Jurong West Street 91 (Blk 945)	1
					Jurong West Street 91 (Blk 946)	3
					Jurong West Street 91 (Blk 947)	7
					Jurong West Street 91 (Blk 949)	1
					Jurong West Street 91 (Blk 950)	7
3		Cashew Cres (/images/default-source/publichealth/dengue/20180423/20980026.jpg)	1	6	Cashew Crescent	6
4		Whampoa Dr (Blk 97, 98, 100, 101, 104) (/images/default-source/publichealth/dengue/20180423/20980030.jpg)	1	5	Whampoa Drive (Blk 97)	1
					Whampoa Drive (Blk 98)	1
					Whampoa Drive (Blk 100)	1
					Whampoa Drive (Blk 101)	1
					Whampoa Drive (Blk 104)	1

5		Carpmael Rd / Joo Chiat Rd (/images/default-source/publichealth/dengue/20180423/20980029.jpg)	1	4	Carpmael Road	2
					Joo Chiat Road	2
6		Jln Sempadan (Villa Marina) (/images/default-source/publichealth/dengue/20180423/20980028.jpg)	2	4	Jalan Sempadan (Villa Marina)	4
7		Henderson Rd (Blk 92) / Redhill Cl (Blk 86) / Redhill Ln (Blk 82) (/images/default-source/publichealth/dengue/20180423/20980031.jpg)	1	3	Henderson Road (Blk 92)	1
					Redhill Close (Blk 86)	1
					Redhill Lane (Blk 82)	1
8		Kim Keat Cl / Kim Keat Ln (/images/default-source/publichealth/dengue/20180423/20980032.jpg)	2	3	Kim Keat Close	2
					Kim Keat Lane	1
9		Lor 24A Geylang / Lor 26 Geylang (Casa Aerata, Rezi 26) (/images/default-source/publichealth/dengue/20180423/20980033.jpg)	3	3	Lorong 24A Geylang	1
					Lorong 26 Geylang (Casa Aerata)	1
					Lorong 26 Geylang (Rezi 26)	1
10		Yunnan Cres (/images/default-source/publichealth/dengue/20180423/20180072.jpg)	1	2	Yunnan Crescent	2

For a list of clusters closed and under surveillance, please click here (/public-health/dengue/dengue-clusters-closed-and-under-surveillance).

Privacy Statement (/privacy-policy/) Terms of Use (/terms-of-use/) Open Data Licence (/open-data-licence/) Rate this Website (/rate-this-website/)
Best viewed using IE 11, Firefox 52, Chrome 56, Safari 8, Opera 43 and above
© 2018, Government of Singapore

Last Updated on 24 April 2018

National Environment Agency of Singapore All Rights Reserved

National Environment Agency
Safeguard · Nurture · Cherish

(/home)
print

Dengue Clusters

(Map data is updated at 1am. Kindly clear your internet browser cache after each visit, in order to view the latest information.)

Operationally, a dengue cluster indicates a locality with active transmission where intervention is targeted. It is formed when two or more cases have onset within 14 days and are located within 150m of each other (based on residential and workplace addresses as well as movement history). The clusters are categorised according to their current status. There are 3 alert levels:

Definition	Alert Level
High-risk area with 10 or more cases	**Red**
High-risk area with less than 10 cases	**Yellow**
No new cases, under surveillance for the next 21 days	**Green**

Each cluster map illustrates the extent of NEA's current vector control intervention. Please click on the cluster location to view the respective map.

The information provided in this listing is accurate as at 27 Apr 2018

S/N	Alert Level	Locality	Cases with onset in last 2 weeks	Cases since start of cluster	Breakdown	
					Location	No. of cases
1		Jurong West St 91 (Blk 933, 940, 943, 945, 946, 947, 948, 949, 950) / Jurong West St 92 (Blk 920, 928) (/images/default-source/publichealth/dengue/20180427/20980025.jpg)	22	38	Jurong West Street 91 (Blk 933)	1

					Jurong West Street 91 (Blk 940)	1
					Jurong West Street 91 (Blk 943)	1
					Jurong West Street 91 (Blk 945)	2
					Jurong West Street 91 (Blk 946)	4
					Jurong West Street 91 (Blk 947)	8
					Jurong West Street 91 (Blk 948)	1
					Jurong West Street 91 (Blk 949)	2
					Jurong West Street 91 (Blk 950)	16
					Jurong West Street 92 (Blk 920)	1
					Jurong West Street 92 (Blk 928)	1
2		Bedok Nth St 3 (Blk 533, 535, 536, 537, 541, 556, 557) (/images/default-source/publichealth/dengue/20180427/20980024.jpg)	3	25	Bedok North Street 3 (Blk 533)	2
					Bedok North Street 3 (Blk 535)	1
					Bedok North Street 3 (Blk 536)	13
					Bedok North Street 3 (Blk 537)	3
					Bedok North Street 3 (Blk 541)	1

					Bedok North Street 3 (Blk 556)	4
					Bedok North Street 3 (Blk 557)	1
3		Cashew Cres, Lk / Chestnut Dr (/images/default-source/publichealth/dengue/20180427/20980026.jpg)	8	13	Cashew Crescent	11
					Cashew Link	1
					Chestnut Drive	1
4		Balestier Rd / Kim Keat Cl, Ln / Kim Keat Rd (Victory Hts) (/images/default-source/publichealth/dengue/20180427/20980032.jpg)	1	5	Balestier Road	1
					Kim Keat Close	2
					Kim Keat Lane	1
					Kim Keat Road (Victory Heights)	1
5		Yunnan Cres (/images/default-source/publichealth/dengue/20180427/20980035.jpg)	2	3	Yunnan Crescent	3
6		Elliot Rd (/images/default-source/publichealth/dengue/20180427/20180076.jpg)	2	2	Elliot Road	2
7		Tampines St 12 (Blk 158, 161) (/images/default-source/publichealth/dengue/20180427/20180074.jpg)	1	2	Tampines Street 12 (Blk 158)	1
					Tampines Street 12 (Blk 161)	1

For a list of clusters closed and under surveillance, please click here (/public-health/dengue/dengue-clusters-closed-and-under-surveillance).

Privacy Statement (/privacy-policy/) Terms of Use (/terms-of-use/) Open Data Licence (/open-data-licence/) Rate this Website (/rate-this-website/)
Best viewed using IE 11, Firefox 52, Chrome 56, Safari 8, Opera 43 and above
© 2018, Government of Singapore

Last Updated on 28 April 2018

National Environment Agency of Singapore All Rights Reserved

National Environment Agency
Safeguard · Nurture · Cherish

(/home)
print

Dengue Clusters

(Map data is updated at 1am. Kindly clear your internet browser cache after each visit, in order to view the latest information.)

Operationally, a dengue cluster indicates a locality with active transmission where intervention is targeted. It is formed when two or more cases have onset within 14 days and are located within 150m of each other (based on residential and workplace addresses as well as movement history). The clusters are categorised according to their current status. There are 3 alert levels:

Definition	Alert Level
High-risk area with 10 or more cases	**Red**
High-risk area with less than 10 cases	**Yellow**
No new cases, under surveillance for the next 21 days	**Green**

Each cluster map illustrates the extent of NEA's current vector control intervention. Please click on the cluster location to view the respective map.

The information provided in this listing is accurate as at 30 Apr 2018

S/N	Alert Level	Locality	Cases with onset in last 2 weeks	Cases since start of cluster	Breakdown	
					Location	No. of cases
1		Jurong West St 91 (Blk 933, 940, 943, 945, 946, 947, 948, 949, 950) / Jurong West St 92 (Blk 920, 928) (/images/default-source/publichealth/dengue/20180427/20980025.jpg)	15	38	Jurong West Street 91 (Blk 933)	1

					Jurong West Street 91 (Blk 940)	1
					Jurong West Street 91 (Blk 943)	1
					Jurong West Street 91 (Blk 945)	2
					Jurong West Street 91 (Blk 946)	4
					Jurong West Street 91 (Blk 947)	9
					Jurong West Street 91 (Blk 948)	1
					Jurong West Street 91 (Blk 949)	3
					Jurong West Street 91 (Blk 950)	17
					Jurong West Street 92 (Blk 920)	1
					Jurong West Street 92 (Blk 928)	1
2		Bedok Nth St 3 (Blk 533, 535, 536, 537, 541, 556, 557) (/images/default-source/publichealth/dengue/20180427/20980024.jpg)	6	25	Bedok North Street 3 (Blk 533)	3
					Bedok North Street 3 (Blk 535)	1
					Bedok North Street 3 (Blk 536)	14
					Bedok North Street 3 (Blk 537)	3
					Bedok North Street 3 (Blk 541)	1

					Bedok North Street 3 (Blk 556)	4
					Bedok North Street 3 (Blk 557)	1
3		Cashew Cres, Lk / Chestnut Dr (/images/default-source/publichealth/dengue/20180427/20980026.jpg)	6	13	Cashew Crescent	11
					Cashew Link	1
					Chestnut Drive	1
4		Balestier Rd / Kim Keat Cl, Ln / Kim Keat Rd (Victory Hts) (/images/default-source/publichealth/dengue/20180427/20980032.jpg)	1	5	Balestier Road	1
					Kim Keat Close	2
					Kim Keat Lane	1
					Kim Keat Road (Victory Heights)	1
5		Yunnan Cres (/images/default-source/publichealth/dengue/20180427/20980035.jpg)	2	3	Yunnan Crescent	3
6		Chestnut Dr (near Chestnut Cres) (/images/default-source/publichealth/dengue/20180427/20180077.jpg)	2	2	Chestnut Drive (near Chestnut Cresent)	2
7		Elliot Rd (/images/default-source/publichealth/dengue/20180427/20180076.jpg)	2	2	Elliot Road	2
8		Tampines St 12 (Blk 158, 161) (/images/default-source/publichealth/dengue/20180427/20180074.jpg)	1	2	Tampines Street 12 (Blk 158)	1
					Tampines Street 12 (Blk 161)	1

For a list of clusters closed and under surveillance, please click here (/public-health/dengue/dengue-clusters-closed-and-under-surveillance).

Privacy Statement (/privacy-policy/) Terms of Use (/terms-of-use/) Open Data Licence (/open-data-licence/) Rate this Website (/rate-this-website/)
Best viewed using IE 11, Firefox 52, Chrome 56, Safari 8, Opera 43 and above
© 2018, Government of Singapore

Last Updated on 01 May 2018

National Environment Agency of Singapore All Rights Reserved

National Environment Agency
Safeguard · Nurture · Cherish

(/home)
print

Dengue Clusters

(Map data is updated at 1am. Kindly clear your internet browser cache after each visit, in order to view the latest information.)

Operationally, a dengue cluster indicates a locality with active transmission where intervention is targeted. It is formed when two or more cases have onset within 14 days and are located within 150m of each other (based on residential and workplace addresses as well as movement history). The clusters are categorised according to their current status. There are 3 alert levels:

Definition	Alert Level
High-risk area with 10 or more cases	**Red**
High-risk area with less than 10 cases	**Yellow**
No new cases, under surveillance for the next 21 days	**Green**

Each cluster map illustrates the extent of NEA's current vector control intervention. Please click on the cluster location to view the respective map.

The information provided in this listing is accurate as at 04 May 2018

S/N	Alert Level	Locality	Cases with onset in last 2 weeks	Cases since start of cluster	Breakdown	
					Location	No. of cases
1		Jurong West St 91 (Blk 933, 940, 943, 945, 946, 947, 948, 949, 950, 952) / Jurong West St 92 (Blk 920, 928) (/images/default-source/publichealth/dengue/20180504/20980025.jpg)	32	60	Jurong West Street 91 (Blk 933)	2

					Jurong West Street 91 (Blk 940)	1
					Jurong West Street 91 (Blk 943)	3
					Jurong West Street 91 (Blk 945)	3
					Jurong West Street 91 (Blk 946)	5
					Jurong West Street 91 (Blk 947)	15
					Jurong West Street 91 (Blk 948)	2
					Jurong West Street 91 (Blk 949)	5
					Jurong West Street 91 (Blk 950)	20
					Jurong West Street 91 (Blk 952)	2
					Jurong West Street 92 (Blk 920)	1
					Jurong West Street 92 (Blk 928)	1
2		Bedok Nth St 3 (Blk 533, 535, 536, 537, 541, 556, 557) (/images/default-source/publichealth/dengue/20180504/20980024.jpg)	11	37	Bedok North Street 3 (Blk 533)	3

					Bedok North Street 3 (Blk 535)	4
					Bedok North Street 3 (Blk 536)	18
					Bedok North Street 3 (Blk 537)	5
					Bedok North Street 3 (Blk 541)	1
					Bedok North Street 3 (Blk 556)	5
					Bedok North Street 3 (Blk 557)	1
3		Cashew Cres, Lk / Chestnut Dr (/images/default-source/publichealth/dengue/20180504/20980026.jpg)	5	16	Cashew Crescent	14
					Cashew Link	1
					Chestnut Drive	1
4		Balestier Rd / Kim Keat Cl, Ln / Kim Keat Rd (Victory Hts) (/images/default-source/publichealth/dengue/20180504/20980032.jpg)	2	6	Balestier Road	1
					Kim Keat Close	2
					Kim Keat Lane	1
					Kim Keat Road (Victory Heights)	2
5		Elliot Rd (/images/default-source/publichealth/dengue/20180504/20980036.jpg)	3	3	Elliot Road	3
6		Chestnut Dr (near Chestnut Cres) (/images/default-source/publichealth/dengue/20180504/20180077.jpg)	2	2	Chestnut Drive (near Chestnut Cresent)	2
7		Gangsa Rd (Blk 166) / Petir Rd (Blk 167) (/images/default-source/publichealth/dengue/20180504/20180078.jpg)	1	2	Gangsa Road (Blk 166)	1
					Petir Road (Blk 167)	1

For a list of clusters closed and under surveillance, please click here (/public-health/dengue/dengue-clusters-closed-and-under-surveillance).

Privacy Statement (/privacy-policy/) Terms of Use (/terms-of-use/) Open Data Licence (/open-data-licence/) Rate this Website (/rate-this-website/)
Best viewed using IE 11, Firefox 52, Chrome 56, Safari 8, Opera 43 and above
© 2018, Government of Singapore

Last Updated on 05 May 2018

National Environment Agency of Singapore All Rights Reserved

National Environment Agency
Safeguard · Nurture · Cherish

(/home)
print

Dengue Clusters

(Map data is updated at 1am. Kindly clear your internet browser cache after each visit, in order to view the latest information.)

Operationally, a dengue cluster indicates a locality with active transmission where intervention is targeted. It is formed when two or more cases have onset within 14 days and are located within 150m of each other (based on residential and workplace addresses as well as movement history). The clusters are categorised according to their current status. There are 3 alert levels:

Definition	Alert Level
High-risk area with 10 or more cases	**Red**
High-risk area with less than 10 cases	**Yellow**
No new cases, under surveillance for the next 21 days	**Green**

Each cluster map illustrates the extent of NEA's current vector control intervention. Please click on the cluster location to view the respective map.

The information provided in this listing is accurate as at 07 May 2018

S/N	Alert Level	Locality	Cases with onset in last 2 weeks	Cases since start of cluster	Breakdown	
					Location	No. of cases
1		Jurong West St 91 (Blk 933, 940, 943, 944, 945, 946, 947, 948, 949, 950, 952) / Jurong West St 92 (Blk 920, 928) (/images/default-source/publichealth/dengue/20180507/20980025.jpg)	27	65	Jurong West Street 91 (Blk 933)	2

					Jurong West Street 91 (Blk 940)	1
					Jurong West Street 91 (Blk 943)	4
					Jurong West Street 91 (Blk 944)	1
					Jurong West Street 91 (Blk 945)	3
					Jurong West Street 91 (Blk 946)	5
					Jurong West Street 91 (Blk 947)	15
					Jurong West Street 91 (Blk 948)	2
					Jurong West Street 91 (Blk 949)	5
					Jurong West Street 91 (Blk 950)	21
					Jurong West Street 91 (Blk 952)	4
					Jurong West Street 92 (Blk 920)	1
					Jurong West Street 92 (Blk 928)	1

2		Bedok Nth St 3 (Blk 533, 535, 536, 537, 541, 556, 557) (/images/default-source/publichealth/dengue/20180507/20980024.jpg)	9	37	Bedok North Street 3 (Blk 533)	3
					Bedok North Street 3 (Blk 535)	4
					Bedok North Street 3 (Blk 536)	18
					Bedok North Street 3 (Blk 537)	5
					Bedok North Street 3 (Blk 541)	1
					Bedok North Street 3 (Blk 556)	5
					Bedok North Street 3 (Blk 557)	1
3		Cashew Cres, Lk / Chestnut Dr (/images/default-source/publichealth/dengue/20180507/20980026.jpg)	3	17	Cashew Crescent	15
					Cashew Link	1
					Chestnut Drive	1
4		Balestier Rd / Kim Keat Cl, Ln / Kim Keat Rd (Victory Hts) (/images/default-source/publichealth/dengue/20180507/20980032.jpg)	1	6	Balestier Road	1
					Kim Keat Close	2
					Kim Keat Lane	1
					Kim Keat Road (Victory Heights)	2
5		Elliot Rd (/images/default-source/publichealth/dengue/20180507/20980036.jpg)	1	3	Elliot Road	3
6		Gangsa Rd (Blk 166) / Petir Rd (Blk 167) (/images/default-source/publichealth/dengue/20180507/20180078.jpg)	1	2	Gangsa Road (Blk 166)	1
					Petir Road (Blk 167)	1

For a list of clusters closed and under surveillance, please click here (/public-health/dengue/dengue-clusters-closed-and-under-surveillance).

Privacy Statement (/privacy-policy/) Terms of Use (/terms-of-use/) Open Data Licence (/open-data-licence/) Rate this Website (/rate-this-website/)
Best viewed using IE 11, Firefox 52, Chrome 56, Safari 8, Opera 43 and above
© 2018, Government of Singapore

Last Updated on 08 May 2018

National Environment Agency of Singapore All Rights Reserved

National Environment Agency
Safeguard · Nurture · Cherish

(/home)
print

Dengue Clusters

(Map data is updated at 1am. Kindly clear your internet browser cache after each visit, in order to view the latest information.)

Operationally, a dengue cluster indicates a locality with active transmission where intervention is targeted. It is formed when two or more cases have onset within 14 days and are located within 150m of each other (based on residential and workplace addresses as well as movement history). The clusters are categorised according to their current status. There are 3 alert levels:

Definition	Alert Level
High-risk area with 10 or more cases	**Red**
High-risk area with less than 10 cases	**Yellow**
No new cases, under surveillance for the next 21 days	**Green**

Each cluster map illustrates the extent of NEA's current vector control intervention. Please click on the cluster location to view the respective map.

The information provided in this listing is accurate as at 11 May 2018

S/N	Alert Level	Locality	Cases with onset in last 2 weeks	Cases since start of cluster	Breakdown	
					Location	No. of cases
1		Jurong West St 91 (Blk 933, 940, 943, 944, 945, 946, 947, 948, 949, 950, 952) / Jurong West St 92 (Blk 920, 925, 928) (/images/default-source/publichealth/dengue/20180511/20980025.jpg)	21	73	Jurong West Street 91 (Blk 933)	4

Jurong West Street 91 (Blk 940)	1
Jurong West Street 91 (Blk 943)	5
Jurong West Street 91 (Blk 944)	1
Jurong West Street 91 (Blk 945)	3
Jurong West Street 91 (Blk 946)	7
Jurong West Street 91 (Blk 947)	16
Jurong West Street 91 (Blk 948)	2
Jurong West Street 91 (Blk 949)	6
Jurong West Street 91 (Blk 950)	21
Jurong West Street 91 (Blk 952)	4
Jurong West Street 92 (Blk 920)	1
Jurong West Street 92 (Blk 925)	1

					Jurong West Street 92 (Blk 928)	1
2		Bedok Nth St 3 (Blk 533, 535, 536, 537, 540, 541, 556, 557) (/images/default-source/publichealth/dengue/20180511/20980024.jpg)	13	43	Bedok North Street 3 (Blk 533)	3
					Bedok North Street 3 (Blk 535)	4
					Bedok North Street 3 (Blk 536)	19
					Bedok North Street 3 (Blk 537)	5
					Bedok North Street 3 (Blk 540)	1
					Bedok North Street 3 (Blk 541)	3
					Bedok North Street 3 (Blk 556)	7
					Bedok North Street 3 (Blk 557)	1
3		Cashew Cres, Lk / Chestnut Dr (/images/default-source/publichealth/dengue/20180511/20980026.jpg)	2	17	Cashew Crescent	15
					Cashew Link	1
					Chestnut Drive	1
4		Bt Batok West Ave 2 / Bt Batok West Ave 2 (Blk 420) (/images/default-source/publichealth/dengue/20180511/20980037.jpg)	3	3	Bukit Batok West Avenue 2	2
					Bukit Batok West Avenue 2 (Blk 420)	1
5		Jurong West St 64 (Blk 678C) / Jurong West St 65 (Blk 670A) (/images/default-source/publichealth/dengue/20180511/20980038.jpg)	3	3	Jurong West Street 64 (Blk 678C)	2

					Jurong West Street 65 (Blk 670A)	1

For a list of clusters closed and under surveillance, please click here (/public-health/dengue/dengue-clusters-closed-and-under-surveillance).

Privacy Statement (/privacy-policy/) Terms of Use (/terms-of-use/) Open Data Licence (/open-data-licence/) Rate this Website (/rate-this-website/)
Best viewed using IE 11, Firefox 52, Chrome 56, Safari 8, Opera 43 and above
© 2018, Government of Singapore

Last Updated on 12 May 2018

National Environment Agency of Singapore All Rights Reserved

National Environment Agency
Safeguard · Nurture · Cherish

(/home)
print

Dengue Clusters

(Map data is updated at 1am. Kindly clear your internet browser cache after each visit, in order to view the latest information.)

Operationally, a dengue cluster indicates a locality with active transmission where intervention is targeted. It is formed when two or more cases have onset within 14 days and are located within 150m of each other (based on residential and workplace addresses as well as movement history). The clusters are categorised according to their current status. There are 3 alert levels:

Definition	Alert Level
High-risk area with 10 or more cases	**Red**
High-risk area with less than 10 cases	**Yellow**
No new cases, under surveillance for the next 21 days	**Green**

Each cluster map illustrates the extent of NEA's current vector control intervention. Please click on the cluster location to view the respective map.

The information provided in this listing is accurate as at 14 May 2018

S/N	Alert Level	Locality	Cases with onset in last 2 weeks	Cases since start of cluster	Breakdown	
					Location	No. of cases

1		Jurong West St 91 (Blk 933, 938, 940, 943, 944, 945, 946, 947, 948, 949, 950, 952) / Jurong West St 92 (Blk 920, 925, 928) (/images/default-source/publichealth/dengue/20180514/20980025.jpg)	17	74	Jurong West Street 91 (Blk 933)	4
					Jurong West Street 91 (Blk 938)	1
					Jurong West Street 91 (Blk 940)	1
					Jurong West Street 91 (Blk 943)	5
					Jurong West Street 91 (Blk 944)	1
					Jurong West Street 91 (Blk 945)	3
					Jurong West Street 91 (Blk 946)	7
					Jurong West Street 91 (Blk 947)	16
					Jurong West Street 91 (Blk 948)	2
					Jurong West Street 91 (Blk 949)	6

					Jurong West Street 91 (Blk 950)	21
					Jurong West Street 91 (Blk 952)	4
					Jurong West Street 92 (Blk 920)	1
					Jurong West Street 92 (Blk 925)	1
					Jurong West Street 92 (Blk 928)	1
2		Bedok Nth St 3 (Blk 533, 535, 536, 537, 540, 541, 545, 556, 557) (/images/default-source/publichealth/dengue/20180514/20980024.jpg)	7	46	Bedok North Street 3 (Blk 533)	3
					Bedok North Street 3 (Blk 535)	4
					Bedok North Street 3 (Blk 536)	19
					Bedok North Street 3 (Blk 537)	7
					Bedok North Street 3 (Blk 540)	1
					Bedok North Street 3 (Blk 541)	3

					Bedok North Street 3 (Blk 545)	1
					Bedok North Street 3 (Blk 556)	7
					Bedok North Street 3 (Blk 557)	1
3		Bt Batok West Ave 2 / Bt Batok West Ave 2 (Blk 420) (/images/default-source/publichealth/dengue/20180514/20980037.jpg)	2	3	Bukit Batok West Avenue 2	2
					Bukit Batok West Avenue 2 (Blk 420)	1
4		Jurong West St 64 (Blk 678C) / Jurong West St 65 (Blk 670A) (/images/default-source/publichealth/dengue/20180514/20980038.jpg)	3	3	Jurong West Street 64 (Blk 678C)	2
					Jurong West Street 65 (Blk 670A)	1

For a list of clusters closed and under surveillance, please click here (/public-health/dengue/dengue-clusters-closed-and-under-surveillance).

Privacy Statement (/privacy-policy/) Terms of Use (/terms-of-use/) Open Data Licence (/open-data-licence/) Rate this Website (/rate-this-website/)
Best viewed using IE 11, Firefox 52, Chrome 56, Safari 8, Opera 43 and above
© 2018, Government of Singapore

Last Updated on 15 May 2018

National Environment Agency of Singapore All Rights Reserved

National Environment Agency
Safeguard · Nurture · Cherish

(/home)
print

Dengue Clusters

(Map data is updated at 1am. Kindly clear your internet browser cache after each visit, in order to view the latest information.)

Operationally, a dengue cluster indicates a locality with active transmission where intervention is targeted. It is formed when two or more cases have onset within 14 days and are located within 150m of each other (based on residential and workplace addresses as well as movement history). The clusters are categorised according to their current status. There are 3 alert levels:

Definition	Alert Level
High-risk area with 10 or more cases	**Red**
High-risk area with less than 10 cases	**Yellow**
No new cases, under surveillance for the next 21 days	**Green**

Each cluster map illustrates the extent of NEA's current vector control intervention. Please click on the cluster location to view the respective map.

The information provided in this listing is accurate as at 18 May 2018

S/N	Alert Level	Locality	Cases with onset in last 2 weeks	Cases since start of cluster	Breakdown	
					Location	No. of cases
1		Jurong West St 91 (Blk 933, 934, 938, 939, 940, 942, 943, 944, 945, 946, 947, 948, 949, 950, 952) / Jurong West St 92 (Blk 920, 925, 928) / Jurong West St 93 (Blk 966) (/images/default-source/publichealth/dengue/20180518/20980025.jpg)	9	81	Jurong West Street 91 (Blk 933)	5

Jurong West Street 91 (Blk 934)	1
Jurong West Street 91 (Blk 938)	1
Jurong West Street 91 (Blk 939)	1
Jurong West Street 91 (Blk 940)	1
Jurong West Street 91 (Blk 942)	1
Jurong West Street 91 (Blk 943)	5
Jurong West Street 91 (Blk 944)	1
Jurong West Street 91 (Blk 945)	3
Jurong West Street 91 (Blk 946)	7
Jurong West Street 91 (Blk 947)	16
Jurong West Street 91 (Blk 948)	2
Jurong West Street 91 (Blk 949)	6

					Jurong West Street 91 (Blk 950)	22
					Jurong West Street 91 (Blk 952)	5
					Jurong West Street 92 (Blk 920)	1
					Jurong West Street 92 (Blk 925)	1
					Jurong West Street 92 (Blk 928)	1
					Jurong West Street 93 (Blk 966)	1
2		Bedok Nth St 3 (Blk 533, 534, 535, 536, 537, 540, 541, 556, 557) (/images/default-source/publichealth/dengue/20180518/20980024.jpg)	7	50	Bedok North Street 3 (Blk 533)	3
					Bedok North Street 3 (Blk 534)	3
					Bedok North Street 3 (Blk 535)	5
					Bedok North Street 3 (Blk 536)	19
					Bedok North Street 3 (Blk 537)	8
					Bedok North Street 3 (Blk 540)	1
					Bedok North Street 3 (Blk 541)	3

					Bedok North Street 3 (Blk 556)	7
					Bedok North Street 3 (Blk 557)	1
3		Chestnut Dr (/images/default-source/publichealth/dengue/20180518/20980040.jpg)	2	4	Chestnut Drive	4
4		Bt Batok West Ave 2 / Bt Batok West Ave 2 (Blk 420) (/images/default-source/publichealth/dengue/20180518/20980037.jpg)	2	3	Bukit Batok West Avenue 2	2
					Bukit Batok West Avenue 2 (Blk 420)	1
5		Jln Mutiara / Jln Mutiara (Mutiara View) (/images/default-source/publichealth/dengue/20180518/20980041.jpg)	3	3	Jalan Mutiara	1
					Jalan Mutiara (Mutiara View)	2
6		Jurong West St 91 (Blk 905, 910) (/images/default-source/publichealth/dengue/20180518/20180088.jpg)	1	2	Jurong West Street 91 (Blk 905)	1
					Jurong West Street 91 (Blk 910)	1
7		Marine Parade Rd (Laguna Pk) (/images/default-source/publichealth/dengue/20180518/20180087.jpg)	1	2	Marine Parade Road (Laguna Park)	2

For a list of clusters closed and under surveillance, please click here (/public-health/dengue/dengue-clusters-closed-and-under-surveillance).

Privacy Statement (/privacy-policy/) Terms of Use (/terms-of-use/) Open Data Licence (/open-data-licence/) Rate this Website (/rate-this-website/)
Best viewed using IE 11, Firefox 52, Chrome 56, Safari 8, Opera 43 and above
© 2018, Government of Singapore

Last Updated on 18 May 2018

National Environment Agency of Singapore All Rights Reserved

National Environment Agency
Safeguard · Nurture · Cherish

(/home)
print

Dengue Clusters

(Map data is updated at 1am. Kindly clear your internet browser cache after each visit, in order to view the latest information.)

Operationally, a dengue cluster indicates a locality with active transmission where intervention is targeted. It is formed when two or more cases have onset within 14 days and are located within 150m of each other (based on residential and workplace addresses as well as movement history). The clusters are categorised according to their current status. There are 3 alert levels:

Definition	Alert Level
High-risk area with 10 or more cases	**Red**
High-risk area with less than 10 cases	**Yellow**
No new cases, under surveillance for the next 21 days	**Green**

Each cluster map illustrates the extent of NEA's current vector control intervention. Please click on the cluster location to view the respective map.

The information provided in this listing is accurate as at 21 May 2018

S/N	Alert Level	Locality	Cases with onset in last 2 weeks	Cases since start of cluster	Breakdown	
					Location	No. of cases
1		Jurong West St 91 (Blk 933, 934, 938, 939, 940, 942, 943, 944, 945, 946, 947, 948, 949, 950, 952) / Jurong West St 92 (Blk 920, 925, 928) / Jurong West St 93 (Blk 966) (/images/default-source/publichealth/dengue/20180521/20980025.jpg)	7	82	Jurong West Street 91 (Blk 933)	5

Jurong West Street 91 (Blk 934)	1
Jurong West Street 91 (Blk 938)	1
Jurong West Street 91 (Blk 939)	2
Jurong West Street 91 (Blk 940)	1
Jurong West Street 91 (Blk 942)	1
Jurong West Street 91 (Blk 943)	5
Jurong West Street 91 (Blk 944)	1
Jurong West Street 91 (Blk 945)	3
Jurong West Street 91 (Blk 946)	7
Jurong West Street 91 (Blk 947)	16
Jurong West Street 91 (Blk 948)	2
Jurong West Street 91 (Blk 949)	6

					Jurong West Street 91 (Blk 950)	22
					Jurong West Street 91 (Blk 952)	5
					Jurong West Street 92 (Blk 920)	1
					Jurong West Street 92 (Blk 925)	1
					Jurong West Street 92 (Blk 928)	1
					Jurong West Street 93 (Blk 966)	1
2		Bedok Nth St 3 (Blk 533, 534, 535, 536, 537, 540, 541, 556, 557) (/images/default-source/publichealth/dengue/20180521/20980024.jpg)	4	50	Bedok North Street 3 (Blk 533)	3
					Bedok North Street 3 (Blk 534)	3
					Bedok North Street 3 (Blk 535)	5
					Bedok North Street 3 (Blk 536)	19
					Bedok North Street 3 (Blk 537)	8
					Bedok North Street 3 (Blk 540)	1
					Bedok North Street 3 (Blk 541)	3

					Bedok North Street 3 (Blk 556)	7
					Bedok North Street 3 (Blk 557)	1
3		Chestnut Dr (/images/default-source/publichealth/dengue/20180521/20980040.jpg)	3	5	Chestnut Drive	5
4		Jln Mutiara / Jln Mutiara (Mutiara View) (/images/default-source/publichealth/dengue/20180521/20980041.jpg)	2	3	Jalan Mutiara	1
					Jalan Mutiara (Mutiara View)	2
5		Jurong West St 91 (Blk 905, 910) (/images/default-source/publichealth/dengue/20180521/20180088.jpg)	1	2	Jurong West Street 91 (Blk 905)	1
					Jurong West Street 91 (Blk 910)	1
6		Marine Parade Rd (Laguna Pk) (/images/default-source/publichealth/dengue/20180521/20180087.jpg)	1	2	Marine Parade Road (Laguna Park)	2

For a list of clusters closed and under surveillance, please click here (/public-health/dengue/dengue-clusters-closed-and-under-surveillance).

Privacy Statement (/privacy-policy/) Terms of Use (/terms-of-use/) Open Data Licence (/open-data-licence/) Rate this Website (/rate-this-website/)
Best viewed using IE 11, Firefox 52, Chrome 56, Safari 8, Opera 43 and above
© 2018, Government of Singapore

Last Updated on 22 May 2018

National Environment Agency of Singapore All Rights Reserved

National Environment Agency
Safeguard · Nurture · Cherish

(/home)
print

Dengue Clusters

(Map data is updated at 1am. Kindly clear your internet browser cache after each visit, in order to view the latest information.)

Operationally, a dengue cluster indicates a locality with active transmission where intervention is targeted. It is formed when two or more cases have onset within 14 days and are located within 150m of each other (based on residential and workplace addresses as well as movement history). The clusters are categorised according to their current status. There are 3 alert levels:

Definition	Alert Level
High-risk area with 10 or more cases	**Red**
High-risk area with less than 10 cases	**Yellow**
No new cases, under surveillance for the next 21 days	**Green**

Each cluster map illustrates the extent of NEA's current vector control intervention. Please click on the cluster location to view the respective map.

The information provided in this listing is accurate as at 25 May 2018

S/N	Alert Level	Locality	Cases with onset in last 2 weeks	Cases since start of cluster	Breakdown	
					Location	No. of cases
1		Jurong West St 91 (Blk 933, 934, 938, 939, 940, 941, 942, 943, 944, 945, 946, 947, 948, 949, 950, 952) / Jurong West St 92 (Blk 920, 925, 928) / Jurong West St 93 (Blk 966) / Yunnan Cres (/images/default-source/publichealth/dengue/20180525/20980025.jpg)	11	90	Jurong West Street 91 (Blk 933)	5

Jurong West Street 91 (Blk 934)	1
Jurong West Street 91 (Blk 938)	2
Jurong West Street 91 (Blk 939)	2
Jurong West Street 91 (Blk 940)	1
Jurong West Street 91 (Blk 941)	1
Jurong West Street 91 (Blk 942)	2
Jurong West Street 91 (Blk 943)	5
Jurong West Street 91 (Blk 944)	1
Jurong West Street 91 (Blk 945)	3
Jurong West Street 91 (Blk 946)	7
Jurong West Street 91 (Blk 947)	16
Jurong West Street 91 (Blk 948)	2
Jurong West Street 91 (Blk 949)	6
Jurong West Street 91 (Blk 950)	23
Jurong West Street 91 (Blk 952)	7

					Jurong West Street 92 (Blk 920)	1
					Jurong West Street 92 (Blk 925)	1
					Jurong West Street 92 (Blk 928)	1
					Jurong West Street 93 (Blk 966)	1
					Yunnan Crescent	2
2		Bedok Nth Ave 1 (Blk 549) / Bedok Nth St 3 (Blk 533, 534, 535, 536, 537, 539, 540, 541, 547, 556, 557) (/images/default-source/publichealth/dengue/20180525/20980024.jpg)	8	60	Bedok North Avenue 1 (Blk 549)	2
					Bedok North Street 3 (Blk 533)	4
					Bedok North Street 3 (Blk 534)	3
					Bedok North Street 3 (Blk 535)	5
					Bedok North Street 3 (Blk 536)	21
					Bedok North Street 3 (Blk 537)	9
					Bedok North Street 3 (Blk 539)	2
					Bedok North Street 3 (Blk 540)	1
					Bedok North Street 3 (Blk 541)	4
					Bedok North Street 3 (Blk 547)	1

					Bedok North Street 3 (Blk 556)	7
					Bedok North Street 3 (Blk 557)	1
3		Chestnut Dr (/images/default-source/publichealth/dengue/20180525/20980040.jpg)	3	5	Chestnut Drive	5
4		Tampines St 12 (Blk 141, 159, 164) (/images/default-source/publichealth/dengue/20180525/20980044.jpg)	4	4	Tampines Street 12 (Blk 141)	1
					Tampines Street 12 (Blk 159)	2
					Tampines Street 12 (Blk 164)	1
5		Circuit Rd (Blk 62, 66) (/images/default-source/publichealth/dengue/20180525/20980043.jpg)	3	3	Circuit Road (Blk 62)	1
					Circuit Road (Blk 66)	2
6		Everitt Rd / Tembeling Rd (/images/default-source/publichealth/dengue/20180525/20980042.jpg)	3	3	Everitt Road	2
					Tembeling Road	1
7		Jln Mutiara (M5, Mutiara View) (/images/default-source/publichealth/dengue/20180525/20980041.jpg)	2	3	Jalan Mutiara (M5)	1
					Jalan Mutiara (Mutiara View)	2
8		Jurong West St 81 (Blk 839) (/images/default-source/publichealth/dengue/20180525/20180099.jpg)	2	2	Jurong West Street 81 Blk 839)	2
9		Pasir Ris St 12 (Blk 103, 107) (/images/default-source/publichealth/dengue/20180525/20180098.jpg)	1	2	Pasir Ris Street 12 (Blk 103)	1
					Pasir Ris Street 12 (Blk 107)	1
10		Yuan Ching Rd (Blk 138C) / Yung Loh Rd (Blk 158) (/images/default-source/publichealth/dengue/20180525/20180095.jpg)	2	2	Yuan Ching Road (Blk 138C)	1
					Yung Loh Road (Blk 158)	1

For a list of clusters closed and under surveillance, please click here (/public-health/dengue/dengue-clusters-closed-and-under-surveillance).

National Environment Agency
Safeguard · Nurture · Cherish

(/home)
print

Dengue Clusters

(Map data is updated at 1am. Kindly clear your internet browser cache after each visit, in order to view the latest information.)

Operationally, a dengue cluster indicates a locality with active transmission where intervention is targeted. It is formed when two or more cases have onset within 14 days and are located within 150m of each other (based on residential and workplace addresses as well as movement history). The clusters are categorised according to their current status. There are 3 alert levels:

Definition	Alert Level
High-risk area with 10 or more cases	**Red**
High-risk area with less than 10 cases	**Yellow**
No new cases, under surveillance for the next 21 days	**Green**

Each cluster map illustrates the extent of NEA's current vector control intervention. Please click on the cluster location to view the respective map.

The information provided in this listing is accurate as at 28 May 2018

S/N	Alert Level	Locality	Cases with onset in last 2 weeks	Cases since start of cluster	Breakdown	
					Location	No. of cases
1		Jurong West St 91 (Blk 933, 934, 938, 939, 940, 941, 942, 943, 944, 945, 946, 947, 948, 949, 950, 952) / Jurong West St 92 (Blk 920, 922, 925, 928) / Jurong West St 93 (Blk 966) / Yunnan Cres (/images/default-source/publichealth/dengue/20180528/20980025.jpg)	7	92	Jurong West Street 91 (Blk 933)	5

Jurong West Street 91 (Blk 934)	1
Jurong West Street 91 (Blk 938)	2
Jurong West Street 91 (Blk 939)	2
Jurong West Street 91 (Blk 940)	1
Jurong West Street 91 (Blk 941)	1
Jurong West Street 91 (Blk 942)	2
Jurong West Street 91 (Blk 943)	5
Jurong West Street 91 (Blk 944)	1
Jurong West Street 91 (Blk 945)	3
Jurong West Street 91 (Blk 946)	7
Jurong West Street 91 (Blk 947)	16
Jurong West Street 91 (Blk 948)	2
Jurong West Street 91 (Blk 949)	6
Jurong West Street 91 (Blk 950)	23
Jurong West Street 91 (Blk 952)	7

					Jurong West Street 92 (Blk 920)	1
					Jurong West Street 92 (Blk 922)	1
					Jurong West Street 92 (Blk 925)	1
					Jurong West Street 92 (Blk 928)	1
					Jurong West Street 93 (Blk 966)	1
					Yunnan Crescent	3
2		Bedok Nth Ave 1 (Blk 549) / Bedok Nth St 3 (Blk 533, 534, 535, 536, 537, 539, 540, 541, 547, 556, 557) (/images/default-source/publichealth/dengue/20180528/20980024.jpg)	10	61	Bedok North Avenue 1 (Blk 549)	2
					Bedok North Street 3 (Blk 533)	4
					Bedok North Street 3 (Blk 534)	3
					Bedok North Street 3 (Blk 535)	5
					Bedok North Street 3 (Blk 536)	21
					Bedok North Street 3 (Blk 537)	10
					Bedok North Street 3 (Blk 539)	2
					Bedok North Street 3 (Blk 540)	1
					Bedok North Street 3 (Blk 541)	4

					Bedok North Street 3 (Blk 547)	1
					Bedok North Street 3 (Blk 556)	7
					Bedok North Street 3 (Blk 557)	1
3		Tampines St 12 (Blk 141, 159, 164) (/images/default-source/publichealth/dengue/20180528/20980044.jpg)	4	6	Tampines Street 12 (Blk 141)	3
					Tampines Street 12 (Blk 159)	2
					Tampines Street 12 (Blk 164)	1
4		Chestnut Dr (/images/default-source/publichealth/dengue/20180528/20980040.jpg)	2	5	Chestnut Drive	5
5		Circuit Rd (Blk 62, 66) (/images/default-source/publichealth/dengue/20180528/20980043.jpg)	2	3	Circuit Road (Blk 62)	1
					Circuit Road (Blk 66)	2
6		Everitt Rd / Tembeling Rd (/images/default-source/publichealth/dengue/20180528/20980042.jpg)	1	3	Everitt Road	2
					Tembeling Road	1
7		Chun Tin Rd / Lor Pisang Emas (/images/default-source/publichealth/dengue/20180528/20180102.jpg)	2	2	Chun Tin Road	1
					Lorong Pisang Emas	1
8		Joo Chiat Rd / Onan Rd (/images/default-source/publichealth/dengue/20180528/20180101.jpg)	1	2	Joo Chiat Road	1
					Onan Road	1
9		Jurong West St 81 (Blk 839) (/images/default-source/publichealth/dengue/20180528/20180099.jpg)	1	2	Jurong West Street 81 Blk 839)	2
10		Pasir Ris St 12 (Blk 103, 107) (/images/default-source/publichealth/dengue/20180528/20180098.jpg)	1	2	Pasir Ris Street 12 (Blk 103)	1
					Pasir Ris Street 12 (Blk 107)	1

11		Yuan Ching Rd (Blk 138C) / Yung Loh Rd (Blk 158) (/images/default-source/publichealth/dengue/20180528/20180095.jpg)	1	2	Yuan Ching Road (Blk 138C)	1
					Yung Loh Road (Blk 158)	1

For a list of clusters closed and under surveillance, please click here (/public-health/dengue/dengue-clusters-closed-and-under-surveillance).

Privacy Statement (/privacy-policy/) Terms of Use (/terms-of-use/) Open Data Licence (/open-data-licence/) Rate this Website (/rate-this-website/)
Best viewed using IE 11, Firefox 52, Chrome 56, Safari 8, Opera 43 and above
© 2018, Government of Singapore

Last Updated on 29 May 2018

National Environment Agency of Singapore All Rights Reserved

National Environment Agency
Safeguard · Nurture · Cherish

(/home)
print

Dengue Clusters

(Map data is updated at 1am. Kindly clear your internet browser cache after each visit, in order to view the latest information.)

Operationally, a dengue cluster indicates a locality with active transmission where intervention is targeted. It is formed when two or more cases have onset within 14 days and are located within 150m of each other (based on residential and workplace addresses as well as movement history). The clusters are categorised according to their current status. There are 3 alert levels:

Definition	Alert Level
High-risk area with 10 or more cases	**Red**
High-risk area with less than 10 cases	**Yellow**
No new cases, under surveillance for the next 21 days	**Green**

Each cluster map illustrates the extent of NEA's current vector control intervention. Please click on the cluster location to view the respective map.

The information provided in this listing is accurate as at 01 Jun 2018

S/N	Alert Level	Locality	Cases with onset in last 2 weeks	Cases since start of cluster	Breakdown	
					Location	No. of cases
1		Jurong West St 91 (Blk 933, 934, 938, 939, 940, 941, 942, 943, 944, 945, 946, 947, 948, 949, 950, 952) / Jurong West St 92 (Blk 920, 922, 925, 928) / Jurong West St 93 (Blk 966) / Yunnan Cres (/images/default-source/publichealth/dengue/20180601/20980025.jpg)	5	92	Jurong West Street 91 (Blk 933)	5

Jurong West Street 91 (Blk 934)	1
Jurong West Street 91 (Blk 938)	2
Jurong West Street 91 (Blk 939)	2
Jurong West Street 91 (Blk 940)	1
Jurong West Street 91 (Blk 941)	1
Jurong West Street 91 (Blk 942)	2
Jurong West Street 91 (Blk 943)	5
Jurong West Street 91 (Blk 944)	1
Jurong West Street 91 (Blk 945)	3
Jurong West Street 91 (Blk 946)	7
Jurong West Street 91 (Blk 947)	16
Jurong West Street 91 (Blk 948)	2
Jurong West Street 91 (Blk 949)	6
Jurong West Street 91 (Blk 950)	23
Jurong West Street 91 (Blk 952)	7

					Jurong West Street 92 (Blk 920)	1
					Jurong West Street 92 (Blk 922)	1
					Jurong West Street 92 (Blk 925)	1
					Jurong West Street 92 (Blk 928)	1
					Jurong West Street 93 (Blk 966)	1
					Yunnan Crescent	3
2		Bedok Nth Ave 1 (Blk 549) / Bedok Nth St 3 (Blk 533, 534, 535, 536, 537, 539, 540, 541, 544, 547, 556, 557) (/images/default-source/publichealth/dengue/20180601/20980024.jpg)	5	62	Bedok North Avenue 1 (Blk 549)	2
					Bedok North Street 3 (Blk 533)	4
					Bedok North Street 3 (Blk 534)	3
					Bedok North Street 3 (Blk 535)	5
					Bedok North Street 3 (Blk 536)	21
					Bedok North Street 3 (Blk 537)	10
					Bedok North Street 3 (Blk 539)	2
					Bedok North Street 3 (Blk 540)	1
					Bedok North Street 3 (Blk 541)	4

					Bedok North Street 3 (Blk 544)	1
					Bedok North Street 3 (Blk 547)	1
					Bedok North Street 3 (Blk 556)	7
					Bedok North Street 3 (Blk 557)	1
3		Tampines St 12 (Blk 141, 159, 164) (/images/default-source/publichealth/dengue/20180601/20980044.jpg)	4	6	Tampines Street 12 (Blk 141)	3
					Tampines Street 12 (Blk 159)	2
					Tampines Street 12 (Blk 164)	1
4		Cantonment Rd (Blk 1D, 1G) / Tanjong Pagar Plaza (Blk 1) (/images/default-source/publichealth/dengue/20180601/20980046.jpg)	4	4	Cantonment Road (Blk 1D)	1
					Cantonment Road (Blk 1G)	2
					Tanjong Pagar Plaza (Blk 1)	1
5		Henderson Rd (Blk 91, 92) (/images/default-source/publichealth/dengue/20180601/20980047.jpg)	4	4	Henderson Road (Blk 91)	3
					Henderson Road (Blk 92)	1
6		Balestier Rd / Jln Ampas / Kim Keat Rd (Regal Ct) (/images/default-source/publichealth/dengue/20180601/20980048.jpg)	2	3	Balestier Road	1
					Jalan Ampas	1
					Kim Keat Road (Regal Court)	1
7		Jurong West St 81 (Blk 839) (/images/default-source/publichealth/dengue/20180601/20980045.jpg)	2	3	Jurong West Street 81 (Blk 839)	3
8		Bt Batok West Ave 8 (Blk 175, 178) (/images/default-source/publichealth/dengue/20180601/20180107.jpg)	2	2	Bukit Batok West Avenue 8 (Blk 175)	1

					Bukit Batok West Avenue 8 (Blk 178)	1
9		Chun Tin Rd / Lor Pisang Emas (/images/default-source/publichealth/dengue/20180601/20180102.jpg)	2	2	Chun Tin Road	1
					Lorong Pisang Emas	1
10		Pasir Ris St 12 (Blk 103, 107) (/images/default-source/publichealth/dengue/20180601/20180098.jpg)	1	2	Pasir Ris Street 12 (Blk 103)	1
					Pasir Ris Street 12 (Blk 107)	1
11		Yishun Ring Rd (Blk 253, 257) (/images/default-source/publichealth/dengue/20180601/20180106.jpg)	1	2	Yishun Ring Road (Blk 253)	1
					Yishun Ring Road (Blk 257)	1

For a list of clusters closed and under surveillance, please click here (/public-health/dengue/dengue-clusters-closed-and-under-surveillance).

Privacy Statement (/privacy-policy/) Terms of Use (/terms-of-use/) Open Data Licence (/open-data-licence/) Rate this Website (/rate-this-website/)
Best viewed using IE 11, Firefox 52, Chrome 56, Safari 8, Opera 43 and above
© 2018, Government of Singapore

Last Updated on 02 June 2018

National Environment Agency of Singapore All Rights Reserved

National Environment Agency
Safeguard · Nurture · Cherish

(/home)
print

Dengue Clusters

(Map data is updated at 1am. Kindly clear your internet browser cache after each visit, in order to view the latest information.)

Operationally, a dengue cluster indicates a locality with active transmission where intervention is targeted. It is formed when two or more cases have onset within 14 days and are located within 150m of each other (based on residential and workplace addresses as well as movement history). The clusters are categorised according to their current status. There are 3 alert levels:

Definition	Alert Level
High-risk area with 10 or more cases	**Red**
High-risk area with less than 10 cases	**Yellow**
No new cases, under surveillance for the next 21 days	**Green**

Each cluster map illustrates the extent of NEA's current vector control intervention. Please click on the cluster location to view the respective map.

The information provided in this listing is accurate as at 04 Jun 2018

S/N	Alert Level	Locality	Cases with onset in last 2 weeks	Cases since start of cluster	Breakdown	
					Location	No. of cases
1		Jurong West St 91 (Blk 933, 934, 938, 939, 940, 941, 942, 943, 944, 945, 946, 947, 948, 949, 950, 952) / Jurong West St 92 (Blk 920, 922, 925, 928) / Jurong West St 93 (Blk 966) / Yunnan Cres (/images/default-source/publichealth/dengue/20180604/20980025.jpg)	1	92	Jurong West Street 91 (Blk 933)	5

Jurong West Street 91 (Blk 934)	1
Jurong West Street 91 (Blk 938)	2
Jurong West Street 91 (Blk 939)	2
Jurong West Street 91 (Blk 940)	1
Jurong West Street 91 (Blk 941)	1
Jurong West Street 91 (Blk 942)	2
Jurong West Street 91 (Blk 943)	5
Jurong West Street 91 (Blk 944)	1
Jurong West Street 91 (Blk 945)	3
Jurong West Street 91 (Blk 946)	7
Jurong West Street 91 (Blk 947)	16
Jurong West Street 91 (Blk 948)	2
Jurong West Street 91 (Blk 949)	6
Jurong West Street 91 (Blk 950)	23
Jurong West Street 91 (Blk 952)	7

					Jurong West Street 92 (Blk 920)	1
					Jurong West Street 92 (Blk 922)	1
					Jurong West Street 92 (Blk 925)	1
					Jurong West Street 92 (Blk 928)	1
					Jurong West Street 93 (Blk 966)	1
					Yunnan Crescent	3
2		Bedok Nth Ave 1 (Blk 549) / Bedok Nth St 3 (Blk 533, 534, 535, 536, 537, 539, 540, 541, 544, 547, 556, 557) (/images/default-source/publichealth/dengue/20180604/20980024.jpg)	3	63	Bedok North Avenue 1 (Blk 549)	2
					Bedok North Street 3 (Blk 533)	4
					Bedok North Street 3 (Blk 534)	3
					Bedok North Street 3 (Blk 535)	5
					Bedok North Street 3 (Blk 536)	21
					Bedok North Street 3 (Blk 537)	10
					Bedok North Street 3 (Blk 539)	3
					Bedok North Street 3 (Blk 540)	1
					Bedok North Street 3 (Blk 541)	4

					Bedok North Street 3 (Blk 544)	1
					Bedok North Street 3 (Blk 547)	1
					Bedok North Street 3 (Blk 556)	7
					Bedok North Street 3 (Blk 557)	1
3		Tampines St 12 (Blk 141, 159, 164) (/images/default-source/publichealth/dengue/20180604/20980044.jpg)	1	6	Tampines Street 12 (Blk 141)	3
					Tampines Street 12 (Blk 159)	2
					Tampines Street 12 (Blk 164)	1
4		Cantonment Rd (Blk 1D, 1G) / Tanjong Pagar Plaza (Blk 1) (/images/default-source/publichealth/dengue/20180604/20980046.jpg)	2	4	Cantonment Road (Blk 1D)	1
					Cantonment Road (Blk 1G)	2
					Tanjong Pagar Plaza (Blk 1)	1
5		Henderson Rd (Blk 91, 92) (/images/default-source/publichealth/dengue/20180604/20980047.jpg)	4	4	Henderson Road (Blk 91)	3
					Henderson Road (Blk 92)	1
6		Balestier Rd / Jln Ampas / Kim Keat Rd (Regal Ct) (/images/default-source/publichealth/dengue/20180604/20980048.jpg)	2	3	Balestier Road	1
					Jalan Ampas	1
					Kim Keat Road (Regal Court)	1
7		Jurong West St 81 (Blk 839) (/images/default-source/publichealth/dengue/20180604/20980045.jpg)	1	3	Jurong West Street 81 (Blk 839)	3
8		Marine Parade Rd (Laguna Pk) (/images/default-source/publichealth/dengue/20180604/20980049.jpg)	3	3	Marine Parade Road (Laguna Park)	3

9		Bt Batok West Ave 8 (Blk 175, 178) (/images/default-source/publichealth/dengue/20180604/20180107.jpg)	1	2	Bukit Batok West Avenue 8 (Blk 175)	1
					Bukit Batok West Avenue 8 (Blk 178)	1
10		Chun Tin Rd / Lor Pisang Emas (/images/default-source/publichealth/dengue/20180604/20180102.jpg)	1	2	Chun Tin Road	1
					Lorong Pisang Emas	1
11		Pasir Ris St 12 (Blk 103, 107) (/images/default-source/publichealth/dengue/20180604/20180098.jpg)	1	2	Pasir Ris Street 12 (Blk 103)	1
					Pasir Ris Street 12 (Blk 107)	1
12		Yishun Ring Rd (Blk 253, 257) (/images/default-source/publichealth/dengue/20180604/20180106.jpg)	1	2	Yishun Ring Road (Blk 253)	1
					Yishun Ring Road (Blk 257)	1

For a list of clusters closed and under surveillance, please click here (/public-health/dengue/dengue-clusters-closed-and-under-surveillance).

Privacy Statement (/privacy-policy/) Terms of Use (/terms-of-use/) Open Data Licence (/open-data-licence/) Rate this Website (/rate-this-website/)
Best viewed using IE 11, Firefox 52, Chrome 56, Safari 8, Opera 43 and above
© 2018, Government of Singapore

Last Updated on 05 June 2018

National Environment Agency of Singapore All Rights Reserved

National Environment Agency
Safeguard · Nurture · Cherish

(/home)
print

Dengue Clusters

(Map data is updated at 1am. Kindly clear your internet browser cache after each visit, in order to view the latest information.)

Operationally, a dengue cluster indicates a locality with active transmission where intervention is targeted. It is formed when two or more cases have onset within 14 days and are located within 150m of each other (based on residential and workplace addresses as well as movement history). The clusters are categorised according to their current status. There are 3 alert levels:

Definition	Alert Level
High-risk area with 10 or more cases	**Red**
High-risk area with less than 10 cases	**Yellow**
No new cases, under surveillance for the next 21 days	**Green**

Each cluster map illustrates the extent of NEA's current vector control intervention. Please click on the cluster location to view the respective map.

The information provided in this listing is accurate as at 08 Jun 2018

S/N	Alert Level	Locality	Cases with onset in last 2 weeks	Cases since start of cluster	Breakdown	
					Location	No. of cases
1		Bedok Nth Ave 1 (Blk 549) / Bedok Nth St 3 (Blk 533, 534, 535, 536, 537, 539, 540, 541, 544, 547, 556, 557) (/images/default-source/publichealth/dengue/20180608/20980024.jpg)	3	64	Bedok North Avenue 1 (Blk 549)	2

					Bedok North Street 3 (Blk 533)	4
					Bedok North Street 3 (Blk 534)	3
					Bedok North Street 3 (Blk 535)	5
					Bedok North Street 3 (Blk 536)	21
					Bedok North Street 3 (Blk 537)	10
					Bedok North Street 3 (Blk 539)	3
					Bedok North Street 3 (Blk 540)	1
					Bedok North Street 3 (Blk 541)	4
					Bedok North Street 3 (Blk 544)	1
					Bedok North Street 3 (Blk 547)	2
					Bedok North Street 3 (Blk 556)	7
					Bedok North Street 3 (Blk 557)	1
2		Tampines St 12 (Blk 141, 144, 159, 160, 164) / Tampines St 21 (Blk 247) (/images/default-source/publichealth/dengue/20180608/20980044.jpg)	7	12	Tampines Street 12 (Blk 141)	4
					Tampines Street 12 (Blk 144)	2
					Tampines Street 12 (Blk 159)	3

					Tampines Street 12 (Blk 160)	1
					Tampines Street 12 (Blk 164)	1
					Tampines Street 21 (Blk 247)	1
3		Balestier Rd / Balestier Rd (Twin Hts) / Jln Ampas / Kim Keat Rd (Regal Ct) (/images/default-source/publichealth/dengue/20180608/20980048.jpg)	3	5	Balestier Road	2
					Balestier Road (Twin Heights)	1
					Jalan Ampas	1
					Kim Keat Road (Regal Court)	1
4		Balestier Rd / Kim Keat Cl, Rd / Kim Keat Rd (Kim Keat House) (/images/default-source/publichealth/dengue/20180608/20980051.jpg)	4	4	Balestier Road	1
					Kim Keat Close	1
					Kim Keat Road	1
					Kim Keat Road (Kim Keat House)	1
5		Cantonment Rd (Blk 1G) / Tanjong Pagar Plaza (Blk 1, 3) (/images/default-source/publichealth/dengue/20180608/20980046.jpg)	2	4	Cantonment Road (Blk 1G)	2
					Tanjong Pagar Plaza (Blk 1)	1
					Tanjong Pagar Plaza (Blk 3)	1
6		Henderson Rd (Blk 91, 92) (/images/default-source/publichealth/dengue/20180608/20980047.jpg)	1	4	Henderson Road (Blk 91)	3
					Henderson Road (Blk 92)	1
7		Marine Parade Rd (Laguna Pk) (/images/default-source/publichealth/dengue/20180608/20980049.jpg)	1	4	Marine Parade Road (Laguna Park)	4
8		Jurong West St 41 (Blk 478) / Jurong West St 41 (The Lakeshore) (/images/default-source/publichealth/dengue/20180608/20980050.jpg)	3	3	Jurong West Street 41 (Blk 478)	1

					Jurong West Street 41 (The Lakeshore)	2
9		Bedok Reservoir Rd (Blk 132) / Bedok Reservoir Rd (/images/default-source/publichealth/dengue/20180608/20180112.jpg)	2	2	Bedok Reservoir Road (Blk 132)	1
					Bedok Reservoir Road	1
10		Bishan St 13 (Blk 153, 157) (/images/default-source/publichealth/dengue/20180608/20180110.jpg)	2	2	Bishan Street 13 (Blk 153)	1
					Bishan Street 13 (Blk 157)	1

For a list of clusters closed and under surveillance, please click here (/public-health/dengue/dengue-clusters-closed-and-under-surveillance).

Privacy Statement (/privacy-policy/) Terms of Use (/terms-of-use/) Open Data Licence (/open-data-licence/) Rate this Website (/rate-this-website/)
Best viewed using IE 11, Firefox 52, Chrome 56, Safari 8, Opera 43 and above
© 2018, Government of Singapore

Last Updated on 09 June 2018

National Environment Agency of Singapore All Rights Reserved

National Environment Agency
Safeguard · Nurture · Cherish

(/home)
print

Dengue Clusters

(Map data is updated at 1am. Kindly clear your internet browser cache after each visit, in order to view the latest information.)

Operationally, a dengue cluster indicates a locality with active transmission where intervention is targeted. It is formed when two or more cases have onset within 14 days and are located within 150m of each other (based on residential and workplace addresses as well as movement history). The clusters are categorised according to their current status. There are 3 alert levels:

Definition	Alert Level
High-risk area with 10 or more cases	**Red**
High-risk area with less than 10 cases	**Yellow**
No new cases, under surveillance for the next 21 days	**Green**

Each cluster map illustrates the extent of NEA's current vector control intervention. Please click on the cluster location to view the respective map.

The information provided in this listing is accurate as at 11 Jun 2018

S/N	Alert Level	Locality	Cases with onset in last 2 weeks	Cases since start of cluster	Breakdown	
					Location	No. of cases
1		Bedok Nth Ave 1 (Blk 549) / Bedok Nth St 3 (Blk 533, 534, 535, 536, 537, 539, 540, 541, 544, 547, 556, 557) (/images/default-source/publichealth/dengue/20180611/20980024.jpg)	1	64	Bedok North Avenue 1 (Blk 549)	2

					Bedok North Street 3 (Blk 533)	4
					Bedok North Street 3 (Blk 534)	3
					Bedok North Street 3 (Blk 535)	5
					Bedok North Street 3 (Blk 536)	21
					Bedok North Street 3 (Blk 537)	10
					Bedok North Street 3 (Blk 539)	3
					Bedok North Street 3 (Blk 540)	1
					Bedok North Street 3 (Blk 541)	4
					Bedok North Street 3 (Blk 544)	1
					Bedok North Street 3 (Blk 547)	2
					Bedok North Street 3 (Blk 556)	7
					Bedok North Street 3 (Blk 557)	1
2		Tampines St 12 (Blk 141, 144, 159, 160, 164) / Tampines St 21 (Blk 247) (/images/default-source/publichealth/dengue/20180611/20980044.jpg)	8	13	Tampines Street 12 (Blk 141)	4
					Tampines Street 12 (Blk 144)	3
					Tampines Street 12 (Blk 159)	3

					Tampines Street 12 (Blk 160)	1
					Tampines Street 12 (Blk 164)	1
					Tampines Street 21 (Blk 247)	1
3		Balestier Rd / Balestier Rd (Twin Hts) Jln Ampas / Jln Ampas (The Viridian) / Kim Keat Rd (Regal Ct) (/images/default-source/publichealth/dengue/20180611/20980048.jpg)	3	6	Balestier Road	2
					Balestier Road (Twin Heights)	1
					Jalan Ampas	1
					Jalan Ampas (The Viridian)	1
					Kim Keat Road (Regal Court)	1
4		Henderson Rd (Blk 91, 92) / Redhill Ln (Blk 82) (/images/default-source/publichealth/dengue/20180611/20980047.jpg)	4	6	Henderson Road (Blk 91)	3
					Henderson Road (Blk 92)	1
					Redhill Lane (Blk 82)	2
5		Balestier Rd / Kim Keat Cl, Rd / Kim Keat Rd (Kim Keat House) (/images/default-source/publichealth/dengue/20180611/20980051.jpg)	2	4	Balestier Road	1
					Kim Keat Close	1
					Kim Keat Road	1
					Kim Keat Road (Kim Keat House)	1
6		Cantonment Rd (Blk 1G) / Tanjong Pagar Plaza (Blk 1, 3) (/images/default-source/publichealth/dengue/20180611/20980046.jpg)	2	4	Cantonment Road (Blk 1G)	2
					Tanjong Pagar Plaza (Blk 1)	1
					Tanjong Pagar Plaza (Blk 3)	1

7		Marine Parade Rd (Laguna Pk) (/images/default-source/publichealth/dengue/20180611/20980049.jpg)	1	4	Marine Parade Road (Laguna Park)	4
8		Jurong West St 41 (Blk 478) / Jurong West St 41 (The Lakeshore) (/images/default-source/publichealth/dengue/20180611/20980050.jpg)	2	3	Jurong West Street 41 (Blk 478)	1
					Jurong West Street 41 (The Lakeshore)	2
9		Bedok Reservoir Rd (Blk 132) / Bedok Reservoir Rd (/images/default-source/publichealth/dengue/20180611/20180112.jpg)	2	2	Bedok Reservoir Road (Blk 132)	1
					Bedok Reservoir Road	1
10		Bishan St 13 (Blk 153, 157) (/images/default-source/publichealth/dengue/20180611/20180110.jpg)	2	2	Bishan Street 13 (Blk 153)	1
					Bishan Street 13 (Blk 157)	1
11		Gangsa Rd (Blk 166) (/images/default-source/publichealth/dengue/20180611/20180115.jpg)	2	2	Gangsa Road (Blk 166)	2

For a list of clusters closed and under surveillance, please click here (/public-health/dengue/dengue-clusters-closed-and-under-surveillance).

Privacy Statement (/privacy-policy/) Terms of Use (/terms-of-use/) Open Data Licence (/open-data-licence/) Rate this Website (/rate-this-website/)
Best viewed using IE 11, Firefox 52, Chrome 56, Safari 8, Opera 43 and above
© 2018, Government of Singapore

Last Updated on 12 June 2018

National Environment Agency of Singapore All Rights Reserved

National Environment Agency
Safeguard · Nurture · Cherish

(/home)
print

Dengue Clusters

(Map data is updated at 1am. Kindly clear your internet browser cache after each visit, in order to view the latest information.)

Operationally, a dengue cluster indicates a locality with active transmission where intervention is targeted. It is formed when two or more cases have onset within 14 days and are located within 150m of each other (based on residential and workplace addresses as well as movement history). The clusters are categorised according to their current status. There are 3 alert levels:

Definition	Alert Level
High-risk area with 10 or more cases	**Red**
High-risk area with less than 10 cases	**Yellow**
No new cases, under surveillance for the next 21 days	**Green**

Each cluster map illustrates the extent of NEA's current vector control intervention. Please click on the cluster location to view the respective map.

The information provided in this listing is accurate as at 14 Jun 2018

S/N	Alert Level	Locality	Cases with onset in last 2 weeks	Cases since start of cluster	Breakdown	
					Location	No. of cases
1		Tampines St 12 (Blk 140, 141, 144, 159, 160, 164) / Tampines St 21 (Blk 247) (/images/default-source/publichealth/dengue/20180614/20980044.jpg)	9	15	Tampines Street 12 (Blk 140)	1

					Tampines Street 12 (Blk 141)	5
					Tampines Street 12 (Blk 144)	3
					Tampines Street 12 (Blk 159)	3
					Tampines Street 12 (Blk 160)	1
					Tampines Street 12 (Blk 164)	1
					Tampines Street 21 (Blk 247)	1
2		Balestier Rd / Balestier Rd (Twin Hts) Jln Ampas / Jln Ampas (The Viridian) / Kim Keat Rd (Regal Ct) (/images/default-source/publichealth/dengue/20180614/20980048.jpg)	5	8	Balestier Road	2
					Balestier Road (Twin Heights)	1
					Jalan Ampas	2
					Jalan Ampas (The Viridian)	2
					Kim Keat Road (Regal Court)	1
3		Henderson Rd (Blk 91, 92) / Redhill Ln (Blk 82) (/images/default-source/publichealth/dengue/20180614/20980047.jpg)	4	6	Henderson Road (Blk 91)	3
					Henderson Road (Blk 92)	1
					Redhill Lane (Blk 82)	2
4		Bendemeer Rd / Bendemeer Rd (Blk 43, 44) (/images/default-source/publichealth/dengue/20180614/20980053.jpg)	2	3	Bendemeer Road	1
					Bendemeer Road (Blk 43)	1
					Bendemeer Road (Blk 44)	1
5		Gangsa Rd (Blk 166) / Petir Rd (Blk 151) (/images/default-source/publichealth/dengue/20180614/20980052.jpg)	3	3	Gangsa Road (Blk 166)	2
					Petir Road (Blk 151)	1
6		Pasir Ris St 12 (Blk 103, 105, 107) (/images/default-source/publichealth/dengue/20180614/20980054.jpg)	1	3	Pasir Ris Street 12 (Blk 103)	1

					Pasir Ris Street 12 (Blk 104)	1
					Pasir Ris Street 12 (Blk 105)	1
7		Bedok Reservoir Rd (Blk 132) / Bedok Reservoir Rd (/images/default-source/publichealth/dengue/20180614/20180112.jpg)	2	2	Bedok Reservoir Road	1
					Bedok Reservoir Road (Blk 132)	1
8		Hazel Pk Ter (Hazel Pk Condo) (/images/default-source/publichealth/dengue/20180614/20180119.jpg)	2	2	Hazel Park Terrace (Hazel Park Condominium)	2
9		Lor 20 Geylang / Lor 20 Geylang (#1 Suites) (/images/default-source/publichealth/dengue/20180614/20180118.jpg)	2	2	Lorong 20 Geylang	1
					Lorong 20 Geylang (#1 Suites)	1

For a list of clusters closed and under surveillance, please click here (/public-health/dengue/dengue-clusters-closed-and-under-surveillance).

Privacy Statement (/privacy-policy/) Terms of Use (/terms-of-use/) Open Data Licence (/open-data-licence/) Rate this Website (/rate-this-website/)
Best viewed using IE 11, Firefox 52, Chrome 56, Safari 8, Opera 43 and above
© 2018, Government of Singapore

Last Updated on 15 June 2018

National Environment Agency of Singapore All Rights Reserved

National Environment Agency
Safeguard · Nurture · Cherish

(/home)
print

Dengue Clusters

(Map data is updated at 1am. Kindly clear your internet browser cache after each visit, in order to view the latest information.)

Operationally, a dengue cluster indicates a locality with active transmission where intervention is targeted. It is formed when two or more cases have onset within 14 days and are located within 150m of each other (based on residential and workplace addresses as well as movement history). The clusters are categorised according to their current status. There are 3 alert levels:

Definition	Alert Level
High-risk area with 10 or more cases	**Red**
High-risk area with less than 10 cases	**Yellow**
No new cases, under surveillance for the next 21 days	**Green**

Each cluster map illustrates the extent of NEA's current vector control intervention. Please click on the cluster location to view the respective map.

The information provided in this listing is accurate as at 18 Jun 2018

S/N	Alert Level	Locality	Cases with onset in last 2 weeks	Cases since start of cluster	Breakdown	
					Location	No. of cases
1		Tampines St 12 (Blk 140, 141, 144, 159, 160, 164) / Tampines St 21 (Blk 247) (/images/default-source/publichealth/dengue/20180618/20980044.jpg)	9	15	Tampines Street 12 (Blk 140)	1

					Tampines Street 12 (Blk 141)	5
					Tampines Street 12 (Blk 144)	3
					Tampines Street 12 (Blk 159)	3
					Tampines Street 12 (Blk 160)	1
					Tampines Street 12 (Blk 164)	1
					Tampines Street 21 (Blk 247)	1
2		Balestier Rd / Balestier Rd (Twin Hts) Jln Ampas / Jln Ampas (The Viridian) / Kim Keat Rd (Regal Ct) (/images/default-source/publichealth/dengue/20180618/20980048.jpg)	5	8	Balestier Road	2
					Balestier Road (Twin Heights)	1
					Jalan Ampas	2
					Jalan Ampas (The Viridian)	2
					Kim Keat Road (Regal Court)	1
3		Henderson Rd (Blk 91, 92) / Redhill Ln (Blk 82) (/images/default-source/publichealth/dengue/20180618/20980047.jpg)	4	6	Henderson Road (Blk 91)	3
					Henderson Road (Blk 92)	1
					Redhill Lane (Blk 82)	2
4		Bendemeer Rd / Bendemeer Rd (Blk 43, 44) (/images/default-source/publichealth/dengue/20180618/20980053.jpg)	2	3	Bendemeer Road	1
					Bendemeer Road (Blk 43)	1
					Bendemeer Road (Blk 44)	1
5		Gangsa Rd (Blk 166) / Petir Rd (Blk 151) (/images/default-source/publichealth/dengue/20180618/20980052.jpg)	3	3	Gangsa Road (Blk 166)	2
					Petir Road (Blk 151)	1
6		Hazel Pk Ter (Hazel Pk Condo) (/images/default-source/publichealth/dengue/20180618/20980055.jpg)	3	3	Hazel Park Terrace (Hazel Park Condominium)	3

7		Pasir Ris St 12 (Blk 103, 105, 107) (/images/default-source/publichealth/dengue/20180618/20980054.jpg)	1	3	Pasir Ris Street 12 (Blk 103)	1
					Pasir Ris Street 12 (Blk 104)	1
					Pasir Ris Street 12 (Blk 105)	1
8		Bedok Reservoir Rd (Blk 132) / Bedok Reservoir Rd (/images/default-source/publichealth/dengue/20180618/20180112.jpg)	2	2	Bedok Reservoir Road	1
					Bedok Reservoir Road (Blk 132)	1
9		Boon Lay Dr (Blk 176, 180A) (/images/default-source/publichealth/dengue/20180618/20180120.jpg)	2	2	Boon Lay Drive (Blk 176)	1
					Boon Lay Drive (Blk 180A)	1
10		Lor 20 Geylang / Lor 20 Geylang (#1 Suites) (/images/default-source/publichealth/dengue/20180618/20180118.jpg)	2	2	Lorong 20 Geylang	1
					Lorong 20 Geylang (#1 Suites)	1

For a list of clusters closed and under surveillance, please click here (/public-health/dengue/dengue-clusters-closed-and-under-surveillance).

Privacy Statement (/privacy-policy/) Terms of Use (/terms-of-use/) Open Data Licence (/open-data-licence/) Rate this Website (/rate-this-website/)
Best viewed using IE 11, Firefox 52, Chrome 56, Safari 8, Opera 43 and above
© 2018, Government of Singapore

Last Updated on 19 June 2018

National Environment Agency of Singapore All Rights Reserved

National Environment Agency
Safeguard · Nurture · Cherish

(/home)
print

Dengue Clusters

(Map data is updated at 1am. Kindly clear your internet browser cache after each visit, in order to view the latest information.)

Operationally, a dengue cluster indicates a locality with active transmission where intervention is targeted. It is formed when two or more cases have onset within 14 days and are located within 150m of each other (based on residential and workplace addresses as well as movement history). The clusters are categorised according to their current status. There are 3 alert levels:

Definition	Alert Level
High-risk area with 10 or more cases	**Red**
High-risk area with less than 10 cases	**Yellow**
No new cases, under surveillance for the next 21 days	**Green**

Each cluster map illustrates the extent of NEA's current vector control intervention. Please click on the cluster location to view the respective map.

The information provided in this listing is accurate as at 22 Jun 2018

S/N	Alert Level	Locality	Cases with onset in last 2 weeks	Cases since start of cluster	Breakdown	
					Location	No. of cases
1		Balestier Rd / Balestier Rd (Twin Hts) / Jln Ampas / Jln Ampas (The Viridian) / Kim Keat Rd (Regal Ct) (/images/default-source/publichealth/dengue/20180622/20980048.jpg)	2	10	Balestier Road	2

					Balestier Road (Twin Heights)	2
					Jalan Ampas	3
					Jalan Ampas (The Viridian)	2
					Kim Keat Road (Regal Court)	1
2		Henderson Rd (Blk 91, 92) / Redhill Ln (Blk 82) (/images/default-source/publichealth/dengue/20180622/20980047.jpg)	4	8	Henderson Road (Blk 91)	3
					Henderson Road (Blk 92)	1
					Redhill Lane (Blk 82)	4
3		Hazel Pk Ter (Hazel Pk Condo) (/images/default-source/publichealth/dengue/20180622/20980055.jpg)	4	4	Hazel Park Terrace (Hazel Park Condominium)	4
4		Edgefield Plains (Blk 114, 116, 117) (/images/default-source/publichealth/dengue/20180622/20980056.jpg)	3	3	Edgefield Plains (Blk 114)	1
					Edgefield Plains (Blk 116)	1
					Edgefield Plains (Blk 117)	1
5		Boon Lay Dr (Blk 176, 180A) (/images/default-source/publichealth/dengue/20180622/20180120.jpg)	1	2	Boon Lay Drive (Blk 176)	1
					Boon Lay Drive (Blk 180A)	1
6		Choa Chu Kang Nth 5 (Blk 751, 754) (/images/default-source/publichealth/dengue/20180622/20180125.jpg)	1	2	Choa Chu Kang North 5 (Blk 751)	1
					Choa Chu Kang North 5 (Blk 754)	1
7		Ghim Moh Rd (Blk 14, 21) (/images/default-source/publichealth/dengue/20180622/20180128.jpg)	1	2	Ghim Moh Road (Blk 14)	1
					Ghim Moh Road (Blk 21)	1
8		Lor 20 Geylang / Lor 20 Geylang (#1 Suites) (/images/default-source/publichealth/dengue/20180622/20180118.jpg)	1	2	Lorong 20 Geylang	1
					Lorong 20 Geylang (#1 Suites)	1

9		Nallur Rd (Hua Xin Ct) / Upp East Coast Rd (Eastern Lagoon) (/images/default-source/publichealth/dengue/20180622/20180127.jpg)	1	2	Nallur Road (Hua Xin Court)	1
					Upper East Coast Road (Eastern Lagoon)	1

For a list of clusters closed and under surveillance, please click here (/public-health/dengue/dengue-clusters-closed-and-under-surveillance).

Privacy Statement (/privacy-policy/) Terms of Use (/terms-of-use/) Open Data Licence (/open-data-licence/) Rate this Website (/rate-this-website/)
Best viewed using IE 11, Firefox 52, Chrome 56, Safari 8, Opera 43 and above
© 2018, Government of Singapore

Last Updated on 23 June 2018

National Environment Agency of Singapore All Rights Reserved

National Environment Agency
Safeguard · Nurture · Cherish

(/home)
print

Dengue Clusters

(Map data is updated at 1am. Kindly clear your internet browser cache after each visit, in order to view the latest information.)

Operationally, a dengue cluster indicates a locality with active transmission where intervention is targeted. It is formed when two or more cases have onset within 14 days and are located within 150m of each other (based on residential and workplace addresses as well as movement history). The clusters are categorised according to their current status. There are 3 alert levels:

Definition	Alert Level
High-risk area with 10 or more cases	**Red**
High-risk area with less than 10 cases	**Yellow**
No new cases, under surveillance for the next 21 days	**Green**

Each cluster map illustrates the extent of NEA's current vector control intervention. Please click on the cluster location to view the respective map.

The information provided in this listing is accurate as at 25 Jun 2018

S/N	Alert Level	Locality	Cases with onset in last 2 weeks	Cases since start of cluster	Breakdown	
					Location	No. of cases
1		Balestier Rd / Balestier Rd (Ritz Mans, Twin Hts) / Jln Ampas / Jln Ampas (The Viridian) / Kim Keat Rd (Regal Ct) (/images/default-source/publichealth/dengue/20180625/20980048.jpg)	2	11	Balestier Road	2

					Balestier Road (Ritz Mansions)	1
					Balestier Road (Twin Heights)	2
					Jalan Ampas	3
					Jalan Ampas (The Viridian)	2
					Kim Keat Road (Regal Court)	1
2		Henderson Rd (Blk 91, 92) / Redhill Ln (Blk 82) (/images/default-source/publichealth/dengue/20180625/20980047.jpg)	2	8	Henderson Road (Blk 91)	3
					Henderson Road (Blk 92)	1
					Redhill Lane (Blk 82)	4
3		Hazel Pk Ter (Hazel Pk Condo) (/images/default-source/publichealth/dengue/20180625/20980055.jpg)	1	4	Hazel Park Terrace (Hazel Park Condominium)	4
4		Edgefield Plains (Blk 114, 116, 117) (/images/default-source/publichealth/dengue/20180625/20980056.jpg)	3	3	Edgefield Plains (Blk 114)	1
					Edgefield Plains (Blk 116)	1
					Edgefield Plains (Blk 117)	1
5		Boon Lay Dr (Blk 176, 180A) (/images/default-source/publichealth/dengue/20180625/20180120.jpg)	1	2	Boon Lay Drive (Blk 176)	1
					Boon Lay Drive (Blk 180A)	1
6		Choa Chu Kang Nth 5 (Blk 751, 754) (/images/default-source/publichealth/dengue/20180625/20180125.jpg)	1	2	Choa Chu Kang North 5 (Blk 751)	1
					Choa Chu Kang North 5 (Blk 754)	1
7		Ghim Moh Rd (Blk 14, 21) (/images/default-source/publichealth/dengue/20180625/20180128.jpg)	1	2	Ghim Moh Road (Blk 14)	1
					Ghim Moh Road (Blk 21)	1
8		Nallur Rd (Hua Xin Ct) / Upp East Coast Rd (Eastern Lagoon) (/images/default-source/publichealth/dengue/20180625/20180127.jpg)	1	2	Nallur Road (Hua Xin Court)	1

					Upper East Coast Road (Eastern Lagoon)	1

For a list of clusters closed and under surveillance, please click here (/public-health/dengue/dengue-clusters-closed-and-under-surveillance).

Privacy Statement (/privacy-policy/) Terms of Use (/terms-of-use/) Open Data Licence (/open-data-licence/) Rate this Website (/rate-this-website/)
Best viewed using IE 11, Firefox 52, Chrome 56, Safari 8, Opera 43 and above
© 2018, Government of Singapore

Last Updated on 26 June 2018

National Environment Agency of Singapore All Rights Reserved

Dengue

You are now reading:

Dengue Clusters

Dengue Clusters

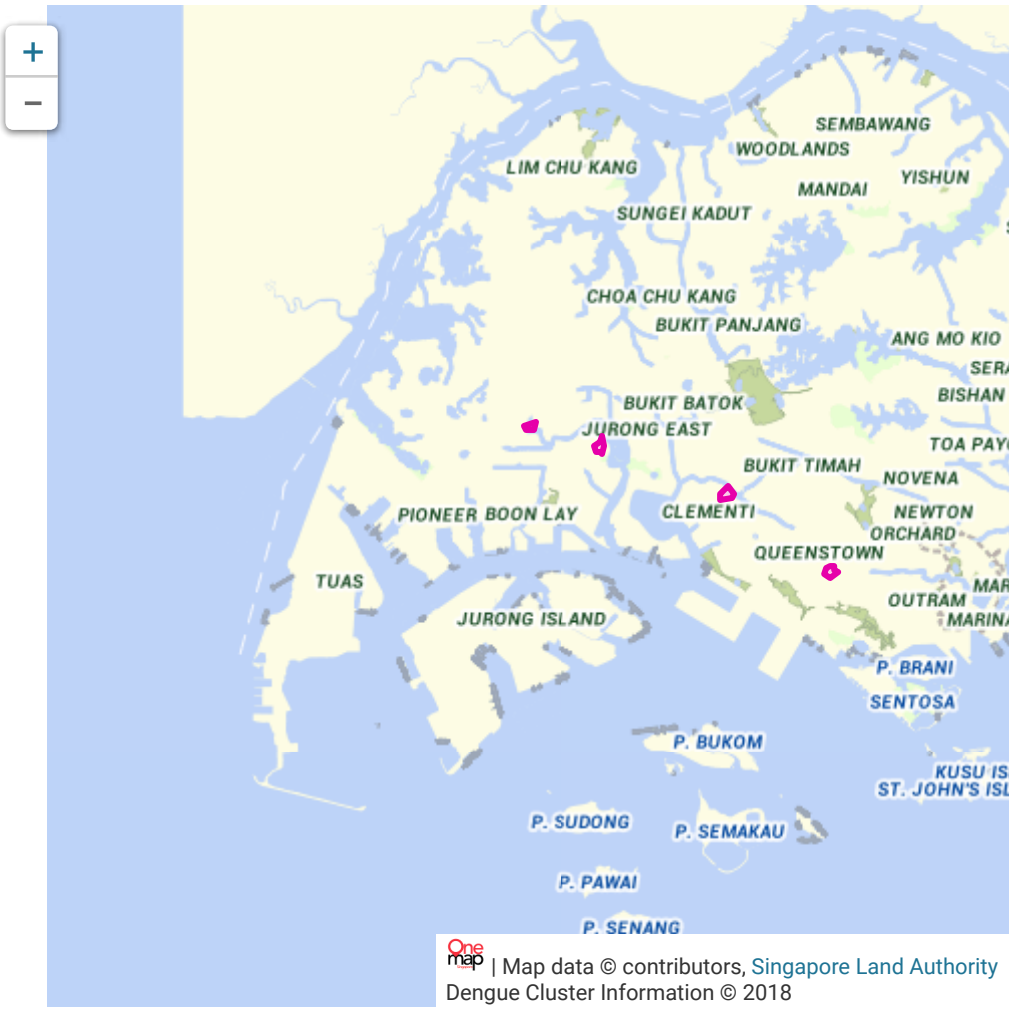

(Map data is updated at 1am. Kindly clear your internet browser cache after each visit, in order to view the latest information.)

Operationally, a dengue cluster indicates a locality with active transmission where intervention is targeted. It is formed when two or more cases have onset within 14 days and are located within 150m of each other (based on residential and workplace addresses as well as movement history). The clusters are categorised according to their current status. There are 3 alert levels:

Definition	Alert Level
High-risk area with 10 or more cases	**Red**
High-risk area with less than 10 cases	**Yellow**

	No new cases, under surveillance for the next 21 days	**Green**

Each cluster map illustrates the extent of NEA's current vector control intervention. Please click on the cluster location to view the respective map.

The information provided in this listing is accurate as at 29 Jun 2018

S/N	Alert Level	Locality	Cases with onset in last 2 weeks	Cases since start of cluster	Breakdown	
					Location	No. of Cases
1		Edgedale Plains (Blk 120A) / Edgefield Plains (Blk 112, 114, 116, 117, 118)	9	10	Edgedale Plains (Blk 120A)	1
					Edgefield Plains (Blk 112)	1
					Edgefield Plains (Blk 114)	1
					Edgefield Plains (Blk 116)	2
					Edgefield Plains (Blk 117)	4
					Edgefield Plains (Blk 118)	1
2		Nallur Rd / Nallur Rd (Hua Xin Ct) / Upp East Coast Rd / Upp East Coast Rd (Eastern Lagoon)	3	5	Nallur Road	1
					Nallur Road (Hua Xin Court)	1
					Upper East Coast Road	1
					Upper East	2

				Coast Road (Eastern Lagoon)	
3	Mei Ling St (Blk 157, 160)	2	4	Mei Ling Street (Blk 157)	1
				Mei Ling Street (Blk 160)	3
4	Cassia Cres (Blk 52, 54)	2	3	Cassia Crescent (Blk 52)	1
				Cassia Crescent (Blk 54)	2
5	Lor 20, 22 Geylang / Lor 20 Geylang (#1 Suites)	1	3	Lorong 20 Geylang	1
				Lorong 22 Geylang	1
				Lorong 20 Geylang (#1 Suites)	1
6	Tampines St 12 (Blk 158) / Tampines St 21 (Blk 248)	3	3	Tampines Street 12 (Blk 158)	2
				Tampines Street 21 (Blk 248)	1
7	Clementi Ave 5 (Blk 341, 381)	2	2	Clementi Avenue 5 (Blk 341)	1
				Clementi Avenue 5 (Blk 381)	1
8	Dunman Rd	2	2	Dunman Road	2
9	Ho Ching Rd	1	2	Ho Ching	1

	(Blk 119) / Yuan Ching Rd (Lakeside Apts)			Road (Blk 119)	
				Yuan Ching Road (Lakeside Apartments)	1
10	Jurong West St 65 (Blk 618)	2	2	Jurong West Street 65 (Blk 618)	2

For a list of clusters under surveillance, please click here.

Dengue

You are now reading:

Dengue Clusters

Dengue Clusters

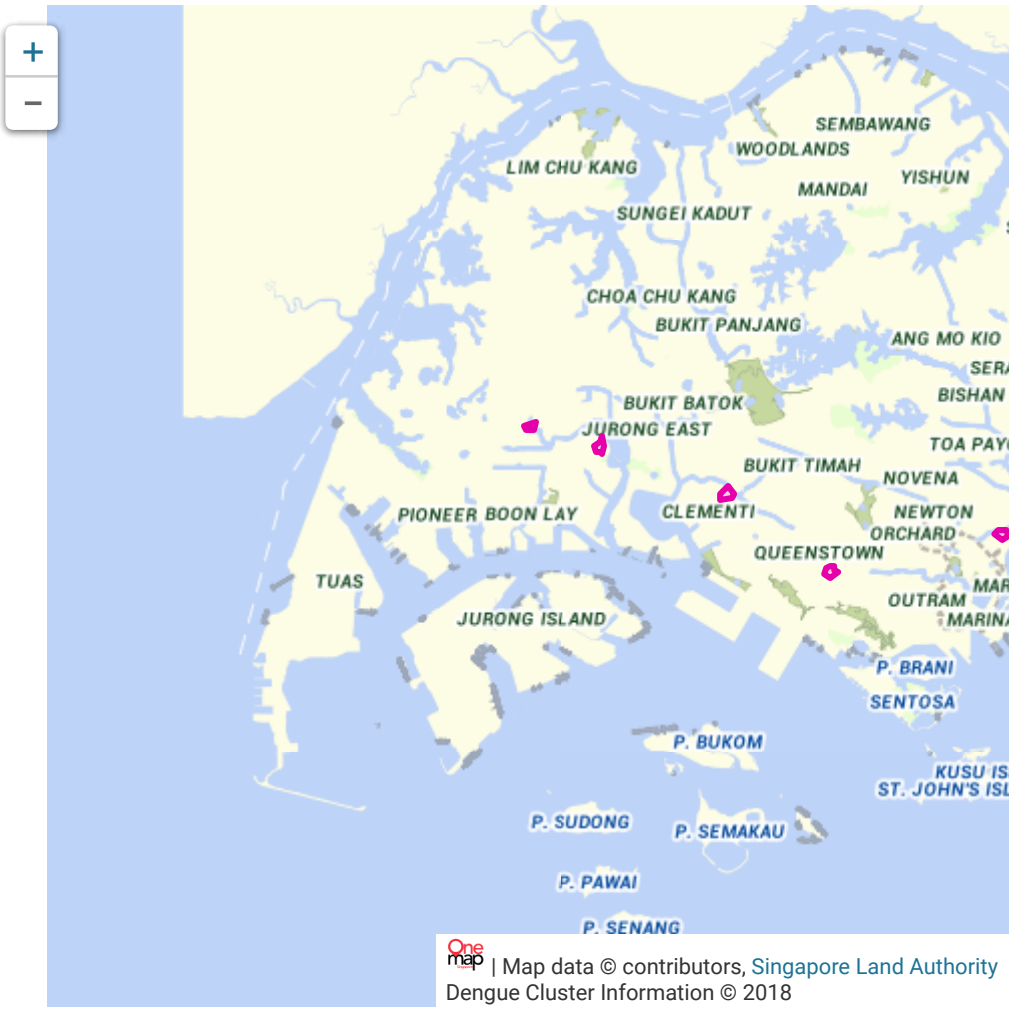

(Map data is updated at 1am. Kindly clear your internet browser cache after each visit, in order to view the latest information.)

Operationally, a dengue cluster indicates a locality with active transmission where intervention is targeted. It is formed when two or more cases have onset within 14 days and are located within 150m of each other (based on residential and workplace addresses as well as movement history). The clusters are categorised according to their current status. There are 3 alert levels:

Definition	Alert Level
High-risk area with 10 or more cases	**Red**
High-risk area with less than 10 cases	**Yellow**

	No new cases, under surveillance for the next 21 days	**Green**

Each cluster map illustrates the extent of NEA's current vector control intervention. Please click on the cluster location to view the respective map.

The information provided in this listing is accurate as at 02 Jul 2018

S/N	Alert Level	Locality	Cases with onset in last 2 weeks	Cases since start of cluster	Breakdown	
					Location	No. of Cases
1		Edgedale Plains (Blk 120A) / Edgefield Plains (Blk 112, 114, 116, 117, 118)	7	10	Edgedale Plains (Blk 120A)	1
					Edgefield Plains (Blk 112)	1
					Edgefield Plains (Blk 114)	1
					Edgefield Plains (Blk 116)	2
					Edgefield Plains (Blk 117)	4
					Edgefield Plains (Blk 118)	1
2		Nallur Rd / Nallur Rd (Hua Xin Ct) / Upp East Coast Rd / Upp East Coast Rd (Eastern Lagoon)	2	5	Nallur Road	1
					Nallur Road (Hua Xin Court)	1
					Upper East Coast Road	1
					Upper East	2

				Coast Road (Eastern Lagoon)	
3	Mei Ling St (Blk 157, 160)	1	4	Mei Ling Street (Blk 157)	1
				Mei Ling Street (Blk 160)	3
4	Cassia Cres (Blk 52, 54)	2	3	Cassia Crescent (Blk 52)	1
				Cassia Crescent (Blk 54)	2
5	Jurong West St 65 (Blk 618)	3	3	Jurong West Street 65 (Blk 618)	3
6	Lor 20, 22 Geylang / Lor 20 Geylang (#1 Suites)	1	3	Lorong 20 Geylang	1
				Lorong 22 Geylang	1
				Lorong 20 Geylang (#1 Suites)	1
7	Nth Bridge Rd (Blk 467, 468)	3	3	North Bridge Road (Blk 467)	2
				North Bridge Road (Blk 468)	1
8	Tampines St 12 (Blk 158) / Tampines St 21 (Blk 248)	3	3	Tampines Street 12 (Blk 158)	2
				Tampines Street 21	1

				(Blk 248)	
9	Clementi Ave 5 (Blk 341, 381)	2	2	Clementi Avenue 5 (Blk 341)	1
				Clementi Avenue 5 (Blk 381)	1
10	Dunman Rd	2	2	Dunman Road	2
11	Ho Ching Rd (Blk 119) / Yuan Ching Rd (Lakeside Apts)	1	2	Ho Ching Road (Blk 119)	1
				Yuan Ching Road (Lakeside Apartments)	1

For a list of clusters under surveillance, please click here.

Dengue

You are now reading:

Dengue Clusters

Dengue Clusters

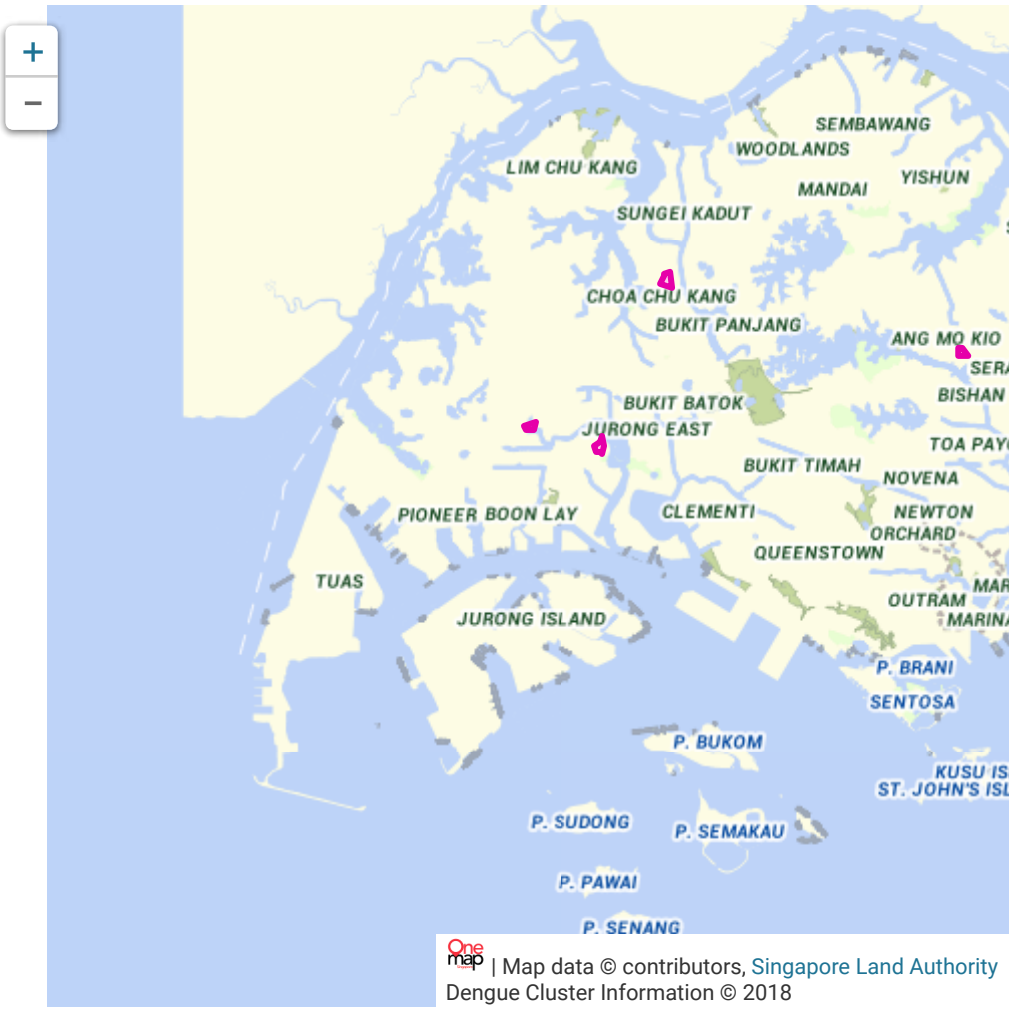

(Map data is updated at 1am. Kindly clear your internet browser cache after each visit, in order to view the latest information.)

Operationally, a dengue cluster indicates a locality with active transmission where intervention is targeted. It is formed when two or more cases have onset within 14 days and are located within 150m of each other (based on residential and workplace addresses as well as movement history). The clusters are categorised according to their current status. There are 3 alert levels:

Definition	Alert Level
High-risk area with 10 or more cases	**Red**
High-risk area with less than 10 cases	**Yellow**

	No new cases, under surveillance for the next 21 days	**Green**

Each cluster map illustrates the extent of NEA's current vector control intervention. Please click on the cluster location to view the respective map.

The information provided in this listing is accurate as at 06 Jul 2018

S/N	Alert Level	Locality	Cases with onset in last 2 weeks	Cases since start of cluster	Breakdown	
					Location	No. of Cases
1		Edgedale Plains (Blk 109C, 120A) / Edgefield Plains (Blk 112, 114, 116, 117, 118)	8	15	Edgedale Plains (Blk 109C)	1
					Edgedale Plains (Blk 120A)	2
					Edgefield Plains (Blk 112)	2
					Edgefield Plains (Blk 114)	2
					Edgefield Plains (Blk 116)	2
					Edgefield Plains (Blk 117)	4
					Edgefield Plains (Blk 118)	2
2		Nallur Rd / Nallur Rd (Hua Xin Ct) / Upp East Coast Rd / Upp East Coast	1	6	Nallur Road	1
					Nallur Road (Hua Xin Court)	1

	Rd (Eastern Lagoon)			Upper East Coast Road	1
				Upper East Coast Road (Eastern Lagoon)	3
3	Cassia Cres (Blk 52, 54)	2	4	Cassia Crescent (Blk 52)	1
				Cassia Crescent (Blk 54)	3
4	Jurong West St 65 (Blk 618)	2	4	Jurong West Street 65 (Blk 618)	4
5	Choa Chu Kang Nth 5 (Blk 751, 754, 760)	1	3	Choa Chu Kang North 5 (Blk 751)	1
				Choa Chu Kang North 5 (Blk 754)	1
				Choa Chu Kang North 5 (Blk 760)	1
6	Lor 20, 22 Geylang / Lor 20 Geylang (#1 Suites)	1	3	Lorong 20 Geylang	1
				Lorong 22 Geylang	1
				Lorong 20 Geylang (#1 Suites)	1
7	Siglap Rd (Mandarin Gdns)	2	3	Siglap Road (Mandarin Gardens)	3
8	Tampines St 12	1	3	Tampines	2

	(Blk 158) / Tampines St 21 (Blk 248)			Street 12 (Blk 158)	
				Tampines Street 21 (Blk 248)	1
9	Ang Mo Kio Ave 3 (Blk 343, 344)	2	2	Ang Mo Kio Avenue 3 (Blk 343)	1
				Ang Mo Kio Avenue 3 (Blk 344)	1
10	Fernvale Rd (Blk 453C) / Sengkang West Way (Blk 452A)	1	2	Fernvale Road (Blk 453C)	1
				Sengkang West Way (Blk 452A)	1
11	Ho Ching Rd (Blk 119) / Yuan Ching Rd (Lakeside Apts)	1	2	Ho Ching Road (Blk 119)	1
				Yuan Ching Road (Lakeside Apartments)	1

For a list of clusters under surveillance, please click here.

Dengue

You are now reading:

Dengue Clusters

Dengue Clusters

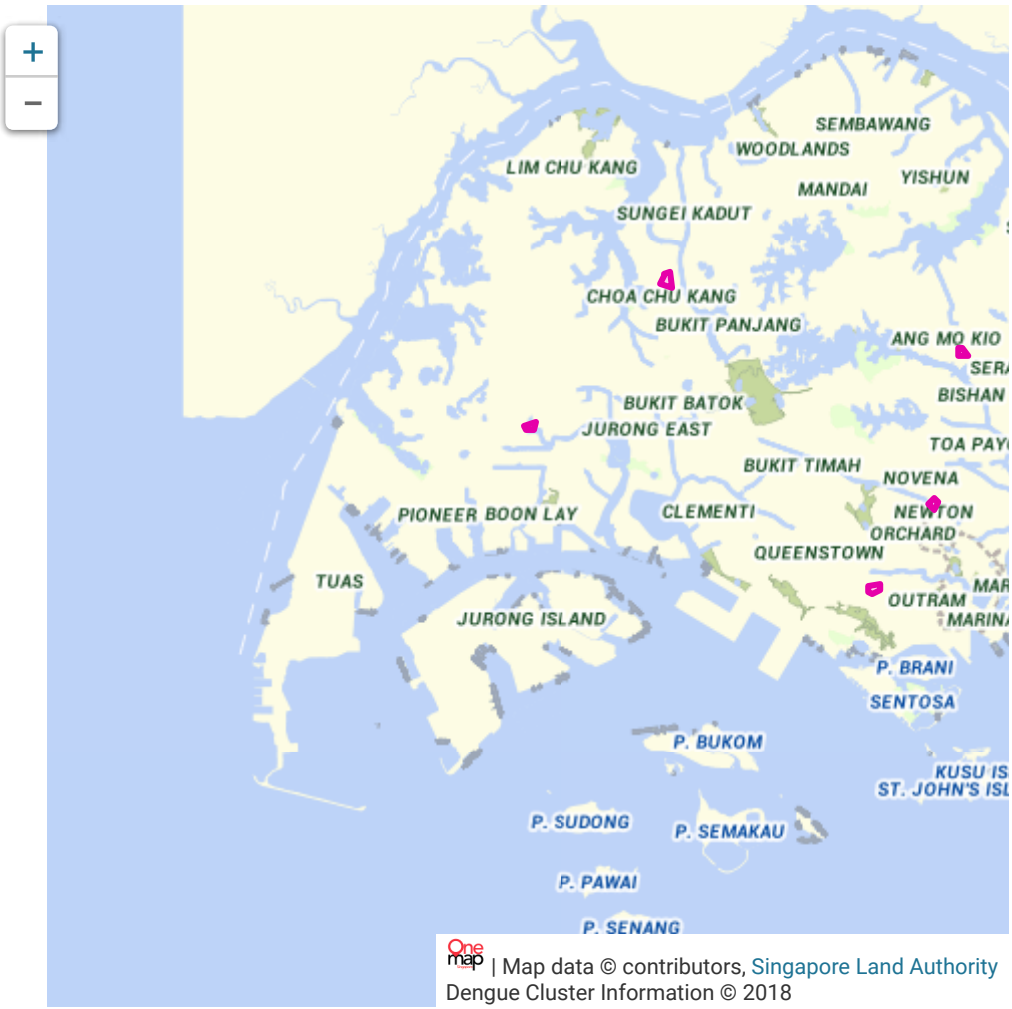

(Map data is updated at 1am. Kindly clear your internet browser cache after each visit, in order to view the latest information.)

Operationally, a dengue cluster indicates a locality with active transmission where intervention is targeted. It is formed when two or more cases have onset within 14 days and are located within 150m of each other (based on residential and workplace addresses as well as movement history). The clusters are categorised according to their current status. There are 3 alert levels:

Definition	Alert Level
High-risk area with 10 or more cases	**Red**
High-risk area with less than 10 cases	**Yellow**

	No new cases, under surveillance for the next 21 days	**Green**

Each cluster map illustrates the extent of NEA's current vector control intervention. Please click on the cluster location to view the respective map.

The information provided in this listing is accurate as at 09 Jul 2018

S/N	Alert Level	Locality	Cases with onset in last 2 weeks	Cases since start of cluster	Breakdown	
					Location	No. of Cases
1		Edgedale Plains (Blk 109C, 120A) / Edgefield Plains (Blk 112, 114, 116, 117, 118)	8	15	Edgedale Plains (Blk 109C)	1
					Edgedale Plains (Blk 120A)	2
					Edgefield Plains (Blk 112)	2
					Edgefield Plains (Blk 114)	2
					Edgefield Plains (Blk 116)	2
					Edgefield Plains (Blk 117)	4
					Edgefield Plains (Blk 118)	2
2		Nallur Rd / Nallur Rd (Hua Xin Ct) / Upp East Coast Rd / Upp East Coast	1	6	Nallur Road	1
					Nallur Road	1

	Rd (Eastern Lagoon)			(Hua Xin Court)	
				Upper East Coast Road	1
				Upper East Coast Road (Eastern Lagoon)	3
3	Cassia Cres (Blk 52, 54)	3	5	Cassia Crescent (Blk 52)	1
				Cassia Crescent (Blk 54)	4
4	Jurong West St 65 (Blk 618)	2	4	Jurong West Street 65 (Blk 618)	4
5	Choa Chu Kang Nth 5 (Blk 751, 754, 760)	1	3	Choa Chu Kang North 5 (Blk 751)	1
				Choa Chu Kang North 5 (Blk 754)	1
				Choa Chu Kang North 5 (Blk 760)	1
6	Siglap Rd (Mandarin Gdns)	2	3	Siglap Road (Mandarin Gardens)	3
7	Tampines St 12 (Blk 158) / Tampines St 21 (Blk 248)	1	3	Tampines Street 12 (Blk 158)	2
				Tampines Street 21	1

				(Blk 248)	
8	Ang Mo Kio Ave 3 (Blk 343, 344)	2	2	Ang Mo Kio Avenue 3 (Blk 343)	1
				Ang Mo Kio Avenue 3 (Blk 344)	1
9	Evelyn Rd (Residences @ Evelyn) / Gilstead Rd (Gilstead Two)	1	2	Evelyn Road (Residences @ Evelyn)	1
				Gilstead Road (Gilstead Two)	1
10	Fernvale Rd (Blk 453C) / Sengkang West Way (Blk 452A)	1	2	Fernvale Road (Blk 453C)	1
				Sengkang West Way (Blk 452A)	1
11	Redhill Cl (Blk 22) / Redhill Ln (Blk 83)	2	2	Redhill Close (Blk 22)	1
				Redhill Lane (Blk 83)	1

For a list of clusters under surveillance, please click here.

Dengue

You are now reading:

Dengue Clusters

Dengue Clusters

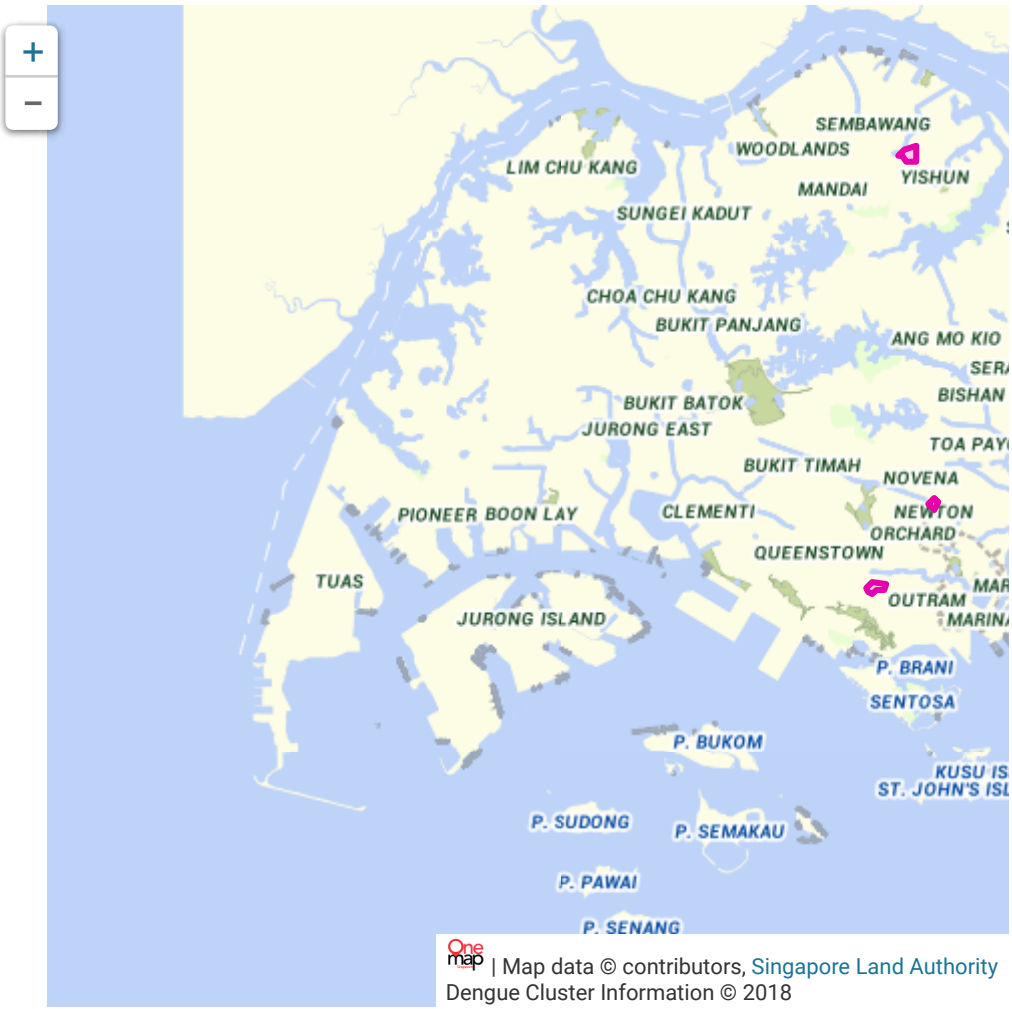

(Map data is updated at 1am. Kindly clear your internet browser cache after each visit, in order to view the latest information.)

Operationally, a dengue cluster indicates a locality with active transmission where intervention is targeted. It is formed when two or more cases have onset within 14 days and are located within 150m of each other (based on residential and workplace addresses as well as movement history). The clusters are categorised according to their current status. There are 3 alert levels:

Definition	Alert Level
High-risk area with 10 or more cases	**Red**
High-risk area with less than 10 cases	**Yellow**

	No new cases, under surveillance for the next 21 days	**Green**

Each cluster map illustrates the extent of NEA's current vector control intervention. Please click on the cluster location to view the respective map.

The information provided in this listing is accurate as at 13 Jul 2018

S/N	Alert Level	Locality	Cases with onset in last 2 weeks	Cases since start of cluster	Breakdown	
					Location	No. of Cases
1		Edgedale Plains (Blk 109C, 120A) / Edgefield Plains (Blk 111, 112, 114, 116, 117, 118)	2	17	Edgedale Plains (Blk 109C)	1
					Edgedale Plains (Blk 120A)	2
					Edgefield Plains (Blk 111)	1
					Edgefield Plains (Blk 112)	2
					Edgefield Plains (Blk 114)	2
					Edgefield Plains (Blk 116)	2
					Edgefield Plains (Blk 117)	4
					Edgefield Plains (Blk 118)	3
2		Cassia Cres (Blk 52, 54)	2	6	Cassia Crescent	1

				(Blk 52)	
				Cassia Crescent (Blk 54)	5
3	Yishun Ave 7 / Yishun Ave 7 (Blk 172, 173) / Yishun Ring Rd / Yishun St 11 (Blk 123)	4	5	Yishun Avenue 7	1
				Yishun Avenue 7 (Blk 172)	1
				Yishun Avenue 7 (Blk 173)	1
				Yishun Ring Road	1
				Yishun Street 11 (Blk 123)	1
4	Henderson Rd (Blk 91) / Redhill Cl (Blk 22) / Redhill Ln / Redhill Ln (Blk 83)	4	4	Henderson Road (Blk 91)	1
				Redhill Close (Blk 22)	1
				Redhill Lane	1
				Redhill Lane (Blk 83)	1
5	Evelyn Rd (Residences @ Evelyn) / Gilstead Rd (Gilstead Two)	1	2	Evelyn Road (Residences @ Evelyn)	1
				Gilstead Road (Gilstead Two)	1
6	Tai Seng Lk	1	2	Tai Seng	2

Link

For a list of clusters under surveillance, please click here.

Dengue

You are now reading:

Dengue Clusters

Dengue Clusters

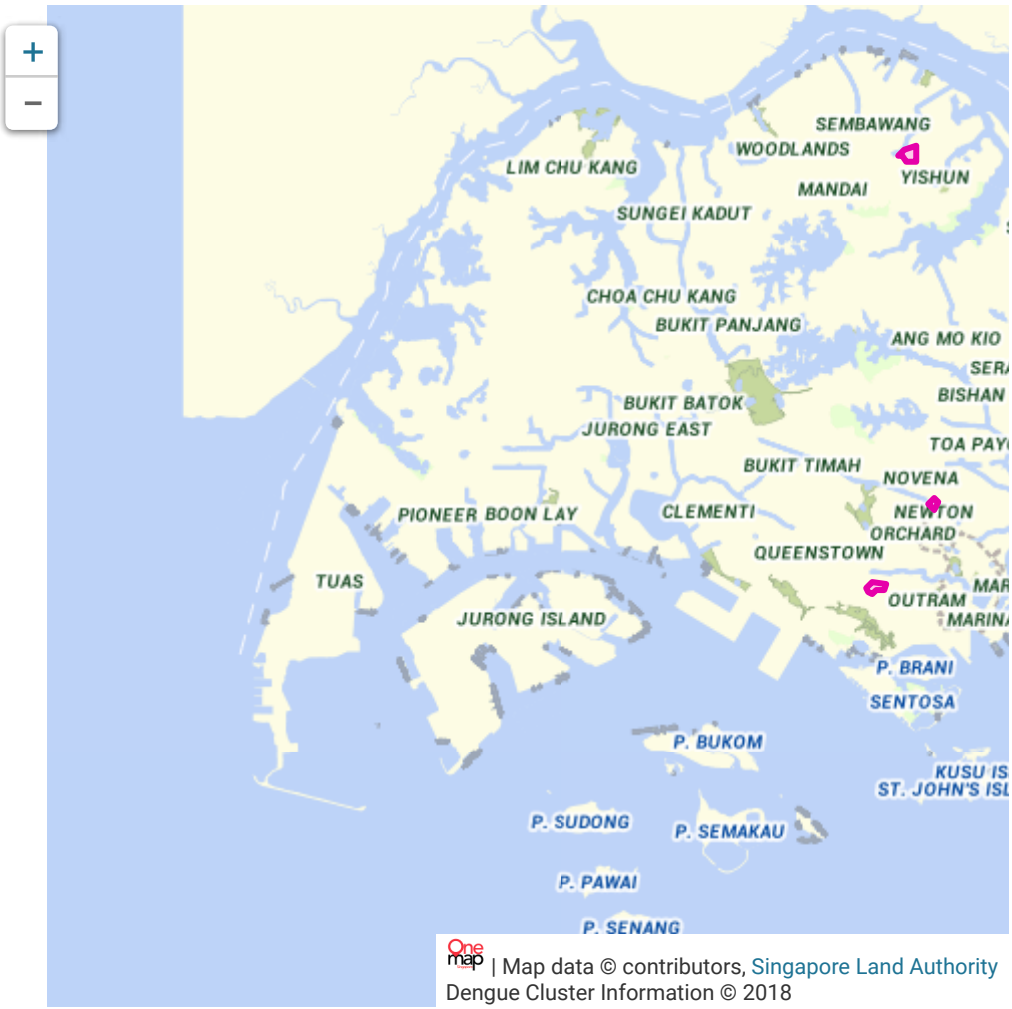

(Map data is updated at 1am. Kindly clear your internet browser cache after each visit, in order to view the latest information.)

Operationally, a dengue cluster indicates a locality with active transmission where intervention is targeted. It is formed when two or more cases have onset within 14 days and are located within 150m of each other (based on residential and workplace addresses as well as movement history). The clusters are categorised according to their current status. There are 3 alert levels:

Definition	Alert Level
High-risk area with 10 or more cases	**Red**
High-risk area with less than 10 cases	**Yellow**

No new cases, under surveillance for the next 21 days	**Green**

Each cluster map illustrates the extent of NEA's current vector control intervention. Please click on the cluster location to view the respective map.

The information provided in this listing is accurate as at 16 Jul 2018

S/N	Alert Level	Locality	Cases with onset in last 2 weeks	Cases since start of cluster	Breakdown	
					Location	No. of Cases
1		Edgedale Plains (Blk 109C, 120A) / Edgefield Plains (Blk 111, 112, 114, 116, 117, 118)	1	17	Edgedale Plains (Blk 109C)	1
					Edgedale Plains (Blk 120A)	2
					Edgefield Plains (Blk 111)	1
					Edgefield Plains (Blk 112)	2
					Edgefield Plains (Blk 114)	2
					Edgefield Plains (Blk 116)	2
					Edgefield Plains (Blk 117)	4
					Edgefield Plains (Blk 118)	3
2		Cassia Cres (Blk 52, 54)	2	6	Cassia Crescent	1

				(Blk 52)	
				Cassia Crescent (Blk 54)	5
3	Henderson Rd (Blk 91) / Redhill Cl (Blk 22, 89) / Redhill Ln / Redhill Ln (Blk 83)	2	5	Henderson Road (Blk 91)	1
				Redhill Close (Blk 22)	1
				Redhill Close (Blk 89)	1
				Redhill Lane	1
				Redhill Lane (Blk 83)	1
4	Yishun Ave 7 / Yishun Ave 7 (Blk 172, 173) / Yishun Ring Rd / Yishun St 11 (Blk 123)	4	5	Yishun Avenue 7	1
				Yishun Avenue 7 (Blk 172)	1
				Yishun Avenue 7 (Blk 173)	1
				Yishun Ring Road	1
				Yishun Street 11 (Blk 123)	1
5	Balestier Rd / Martaban Rd	2	3	Balestier Road	1
				Martaban Road	2
6	Evelyn Rd	1	2	Evelyn	1

	(Residences @ Evelyn) / Gilstead Rd (Gilstead Two)			Road (Residences @ Evelyn)	
				Gilstead Road (Gilstead Two)	1
7	Tai Seng Lk	1	2	Tai Seng Link	2

For a list of clusters under surveillance, please click here.

Dengue

You are now reading:

Dengue Clusters

Dengue Clusters

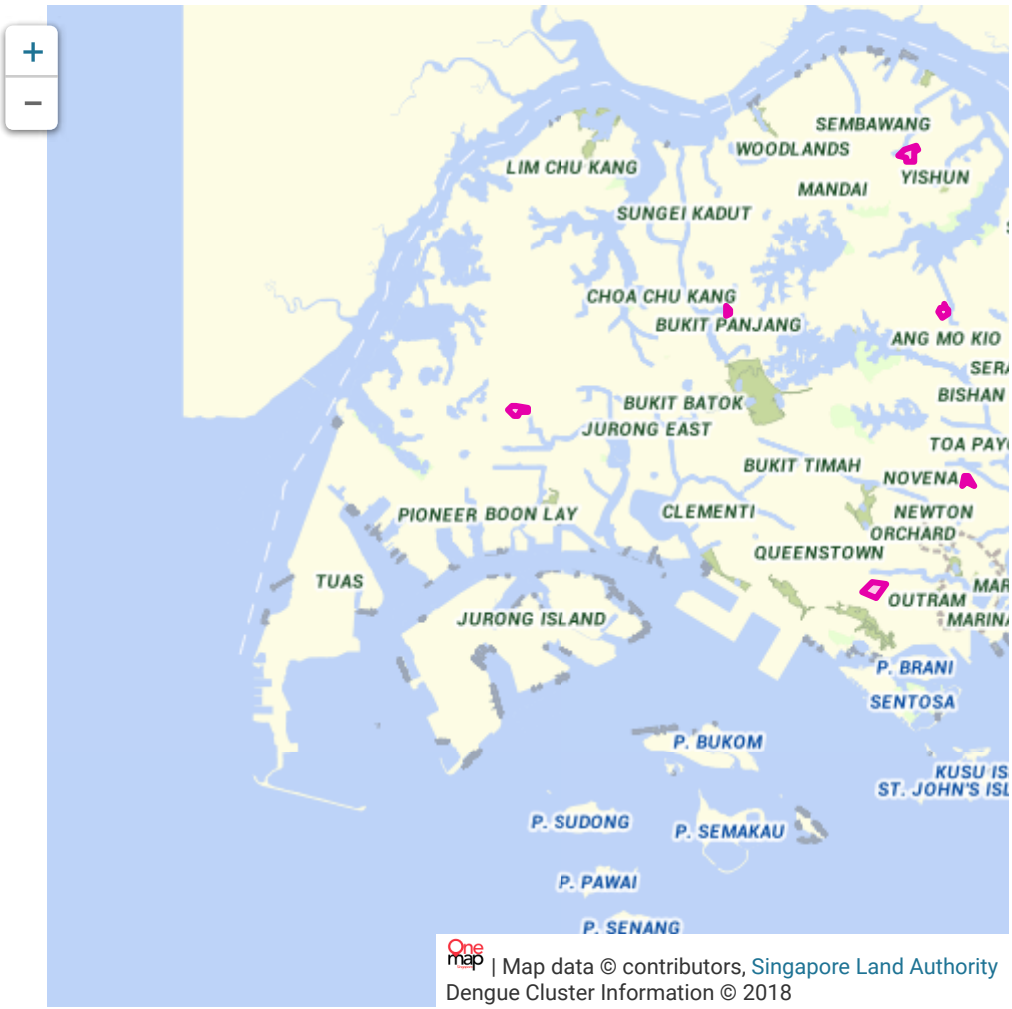

(Map data is updated at 1am. Kindly clear your internet browser cache after each visit, in order to view the latest information.)

Operationally, a dengue cluster indicates a locality with active transmission where intervention is targeted. It is formed when two or more cases have onset within 14 days and are located within 150m of each other (based on residential and workplace addresses as well as movement history). The clusters are categorised according to their current status. There are 3 alert levels:

Definition	Alert Level
High-risk area with 10 or more cases	**Red**
High-risk area with less than 10 cases	**Yellow**

No new cases, under surveillance for the next 21 days	**Green**

Each cluster map illustrates the extent of NEA's current vector control intervention. Please click on the cluster location to view the respective map.

The information provided in this listing is accurate as at 20 Jul 2018

S/N	Alert Level	Locality	Cases with onset in last 2 weeks	Cases since start of cluster	Breakdown	
					Location	No. of Cases
1		Cassia Cres (Blk 52, 54)	3	7	Cassia Crescent (Blk 52)	1
					Cassia Crescent (Blk 54)	6
2		Henderson Rd (Blk 91) / Redhill Cl (Blk 14, 22, 89) / Redhill Ln / Redhill Ln (Blk 83)	3	6	Henderson Road (Blk 91)	1
					Redhill Close (Blk 14)	1
					Redhill Close (Blk 22)	1
					Redhill Close (Blk 89)	1
					Redhill Lane	1
					Redhill Lane (Blk 83)	1
3		Yishun Ave 7 / Yishun Ave 7 (Blk 172, 173) /	3	5	Yishun Avenue 7	1

	Yishun Ring Rd / Yishun St 11 (Blk 123)			Yishun Avenue 7 (Blk 172)	1
				Yishun Avenue 7 (Blk 173)	1
				Yishun Ring Road	1
				Yishun Street 11 (Blk 123)	1
4	Balestier Rd / Martaban Rd	2	3	Balestier Road	1
				Martaban Road	2
5	Fajar Rd (Blk 406, 407)	1	3	Fajar Road (Blk 406)	1
				Fajar Road (Blk 407)	2
6	Ang Mo Kio Ave 6 (Blk 633)	2	2	Ang Mo Kio Avenue 6 (Blk 633)	2
7	Jurong West St 73 (Blk 748) / Jurong West St 81 (Blk 854)	2	2	Jurong West Street 73 (Blk 748)	1
				Jurong West Street 81 (Blk 854)	1

For a list of clusters under surveillance, please click here.

Dengue

You are now reading:

Dengue Clusters

Dengue Clusters

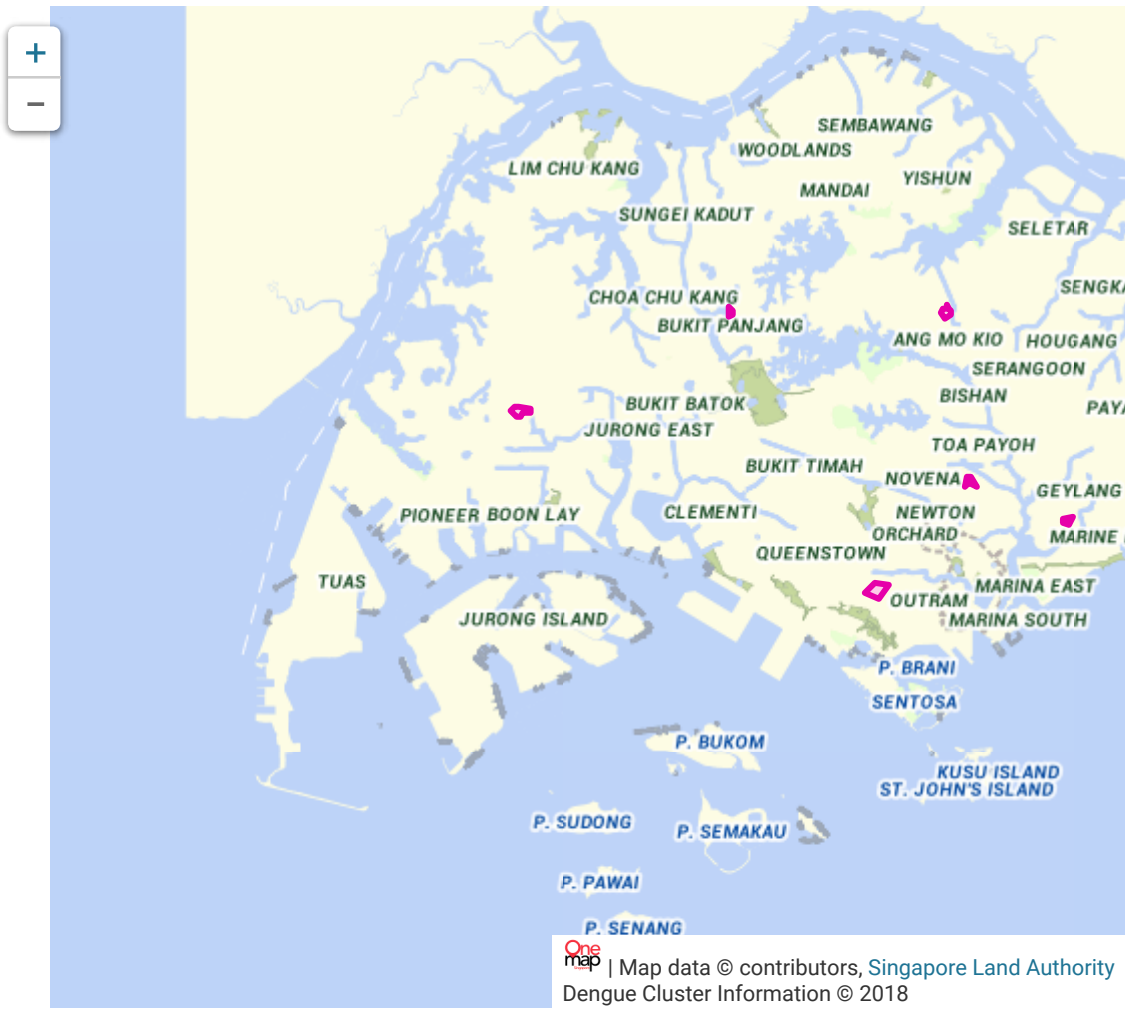

(Map data is updated at 1am. Kindly clear your internet browser cache after each visit, in order to view the latest information.)

Operationally, a dengue cluster indicates a locality with active transmission where intervention is targeted. It is formed when two or more cases have onset within 14 days and are located within 150m of each other (based on residential and workplace addresses as well as movement history). The clusters are categorised according to their current status. There are 3 alert levels:

Definition	Alert Level
High-risk area with 10 or more cases	**Red**
High-risk area with less than 10 cases	**Yellow**
No new cases, under surveillance for the next 21 days	**Green**

Each cluster map illustrates the extent of NEA's current vector control intervention. Please click on the cluster location to view the respective map.

The information provided in this listing is accurate as at 23 Jul 2018

S/N	Alert Level	Locality	Cases with onset in last 2 weeks	Cases since start of cluster	Breakdown	
					Location	No. of Cases
1		Cassia Cres (Blk 52, 54)	1	7	Cassia Crescent (Blk 52)	1
					Cassia Crescent (Blk 54)	6
2		Henderson Rd (Blk 91) / Redhill Cl (Blk 14, 22, 89) / Redhill Ln / Redhill Ln (Blk 83)	1	6	Henderson Road (Blk 91)	1
					Redhill Close (Blk 14)	1
					Redhill Close (Blk 22)	1
					Redhill Close (Blk 89)	1
					Redhill Lane	1
					Redhill Lane (Blk 83)	1
3		Balestier Rd / Martaban Rd	1	3	Balestier Road	1
					Martaban Road	2
4		Fajar Rd (Blk 406, 407)	1	3	Fajar Road	1

				(Blk 406)	
				Fajar Road (Blk 407)	2
5	Ang Mo Kio Ave 6 (Blk 633)	2	2	Ang Mo Kio Avenue 6 (Blk 633)	2
6	Jurong West St 73 (Blk 748) / Jurong West St 81 (Blk 854)	1	2	Jurong West Street 73 (Blk 748)	1
				Jurong West Street 81 (Blk 854)	1

For a list of clusters under surveillance, please click here.

Dengue

You are now reading:

Dengue Clusters

Dengue Clusters

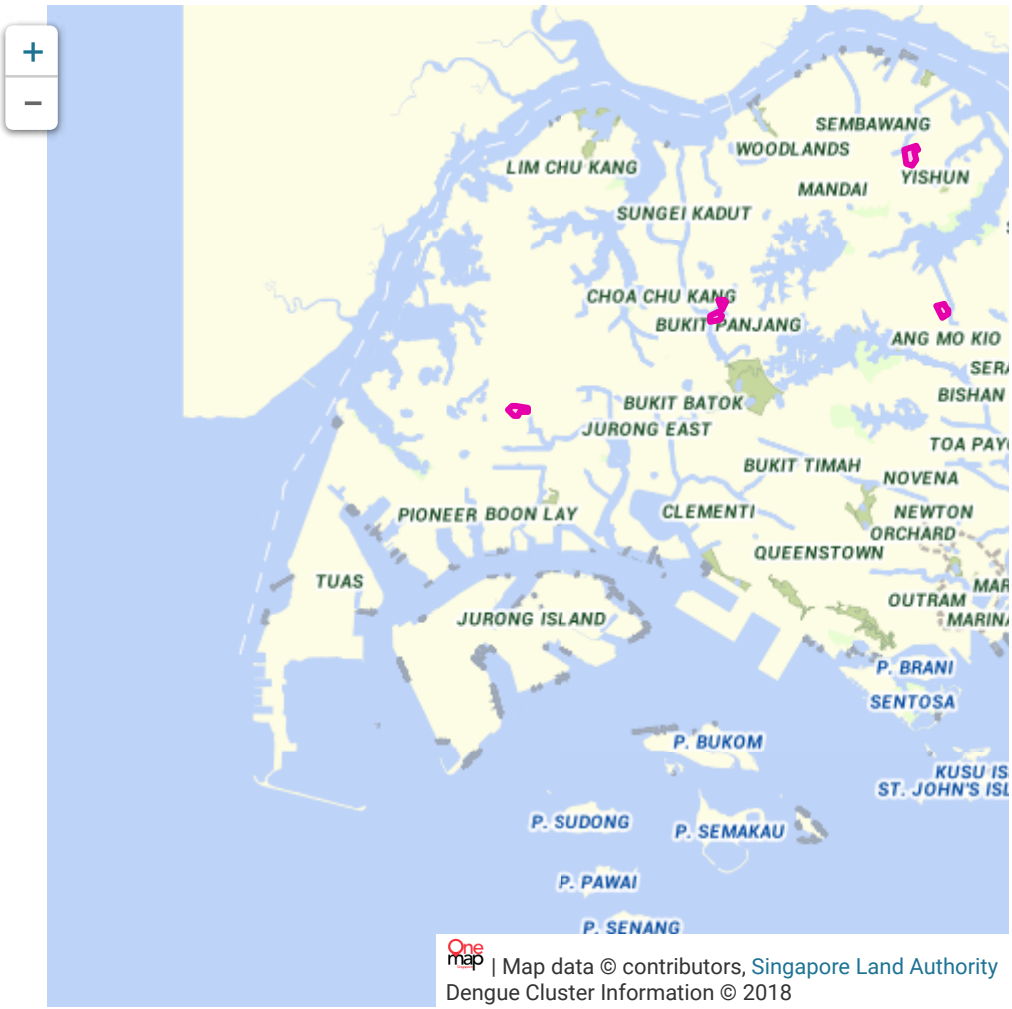

(Map data is updated at 1am. Kindly clear your internet browser cache after each visit, in order to view the latest information.)

Operationally, a dengue cluster indicates a locality with active transmission where intervention is targeted. It is formed when two or more cases have onset within 14 days and are located within 150m of each other (based on residential and workplace addresses as well as movement history). The clusters are categorised according to their current status. There are 3 alert levels:

Definition	Alert Level
High-risk area with 10 or more cases	**Red**
High-risk area with less than 10 cases	**Yellow**

No new cases, under surveillance for the next 21 days	**Green**

Each cluster map illustrates the extent of NEA's current vector control intervention. Please click on the cluster location to view the respective map.

The information provided in this listing is accurate as at 27 Jul 2018

S/N	Alert Level	Locality	Cases with onset in last 2 weeks	Cases since start of cluster	Breakdown	
					Location	No. of Cases
1		Cassia Cres (Blk 52, 54)	1	7	Cassia Crescent (Blk 52)	1
					Cassia Crescent (Blk 54)	6
2		Ang Mo Kio Ave 6 / Ang Mo Kio Ave 6 (Blk 633, 636)	4	4	Ang Mo Kio Avenue 6	1
					Ang Mo Kio Avenue 6 (Blk 633)	2
					Ang Mo Kio Avenue 6 (Blk 636)	1
3		Canberra Cres (Blk 130B) / Canberra Lk, View	3	3	Canberra Crescent (Blk 130B)	1
					Canberra Link	1
					Canberra View	1
4		Tampines St 44 (Blk 463, 466,	2	3	Tampines Street 44	1

	467)			(Blk 463)	
				Tampines Street 44 (Blk 466)	1
				Tampines Street 44 (Blk 467)	1
5	Jelapang Rd (Blk 502, 503)	1	2	Jelapang Road (Blk 502)	1
				Jelapang Road (Blk 503)	1
6	Jelebu Rd / Lompang Rd (Blk 177)	2	2	Jelebu Road	1
				Lompang Road (Blk 177)	1
7	Yishun Ave 7 (Blk 174) / Yishun Ring Rd (Blk 166)	2	2	Yishun Avenue 7 (Blk 174)	1
				Yishun Ring Road (Blk 166)	1

For a list of clusters under surveillance, please click here.

Dengue

You are now reading:

Dengue Clusters

Dengue Clusters

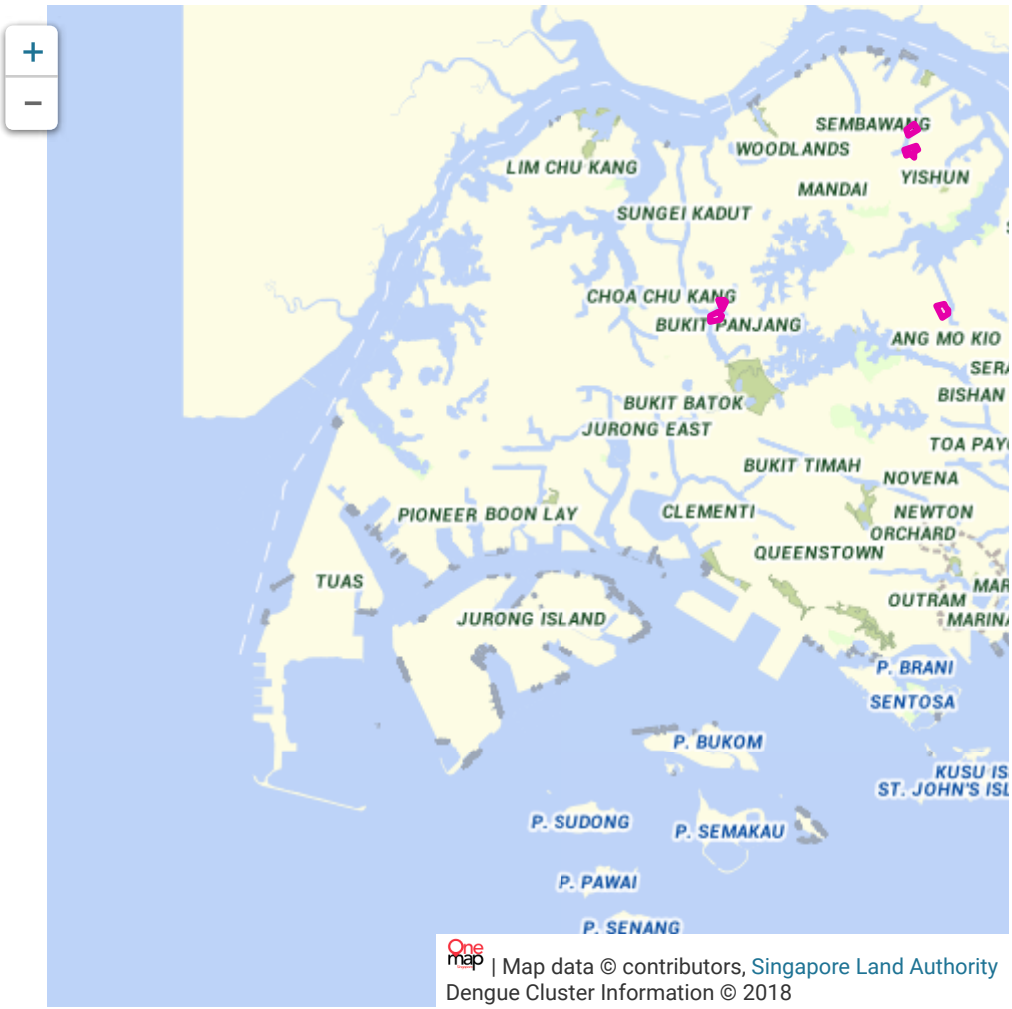

(Map data is updated at 1am. Kindly clear your internet browser cache after each visit, in order to view the latest information.)

Operationally, a dengue cluster indicates a locality with active transmission where intervention is targeted. It is formed when two or more cases have onset within 14 days and are located within 150m of each other (based on residential and workplace addresses as well as movement history). The clusters are categorised according to their current status. There are 3 alert levels:

Definition	Alert Level
High-risk area with 10 or more cases	**Red**
High-risk area with less than 10 cases	**Yellow**

No new cases, under surveillance for the next 21 days	**Green**

Each cluster map illustrates the extent of NEA's current vector control intervention. Please click on the cluster location to view the respective map.

The information provided in this listing is accurate as at 30 Jul 2018

S/N	Alert Level	Locality	Cases with onset in last 2 weeks	Cases since start of cluster	Breakdown	
					Location	No. of Cases
1		Ang Mo Kio Ave 6 / Ang Mo Kio Ave 6 (Blk 633, 636)	4	4	Ang Mo Kio Avenue 6	1
					Ang Mo Kio Avenue 6 (Blk 633)	2
					Ang Mo Kio Avenue 6 (Blk 636)	1
2		Canberra Cres (Blk 130B) / Canberra Lk / Canberra View	4	4	Canberra Crescent (Blk 130B)	1
					Canberra Link	2
					Canberra View	1
3		Tampines St 44 (Blk 463, 466, 467)	3	4	Tampines Street 44 (Blk 463)	1
					Tampines Street 44 (Blk 466)	1
					Tampines Street 44	2

				(Blk 467)	
4	Jelapang Rd (Blk 502, 503)	1	2	Jelapang Road (Blk 502)	1
				Jelapang Road (Blk 503)	1
5	Jelebu Rd / Lompang Rd (Blk 177)	2	2	Jelebu Road	1
				Lompang Road (Blk 177)	1
6	Woodlands Dr 75 (Blk 690B, 690C)	1	2	Woodlands Drive 75 (Blk 690B)	1
				Woodlands Drive 75 (Blk 690C)	1
7	Yishun Ave 7 (Blk 174) / Yishun Ring Rd (Blk 166)	2	2	Yishun Avenue 7 (Blk 174)	1
				Yishun Ring Road (Blk 166)	1

For a list of clusters under surveillance, please click here.

Dengue

You are now reading:

Dengue Clusters

Dengue Clusters

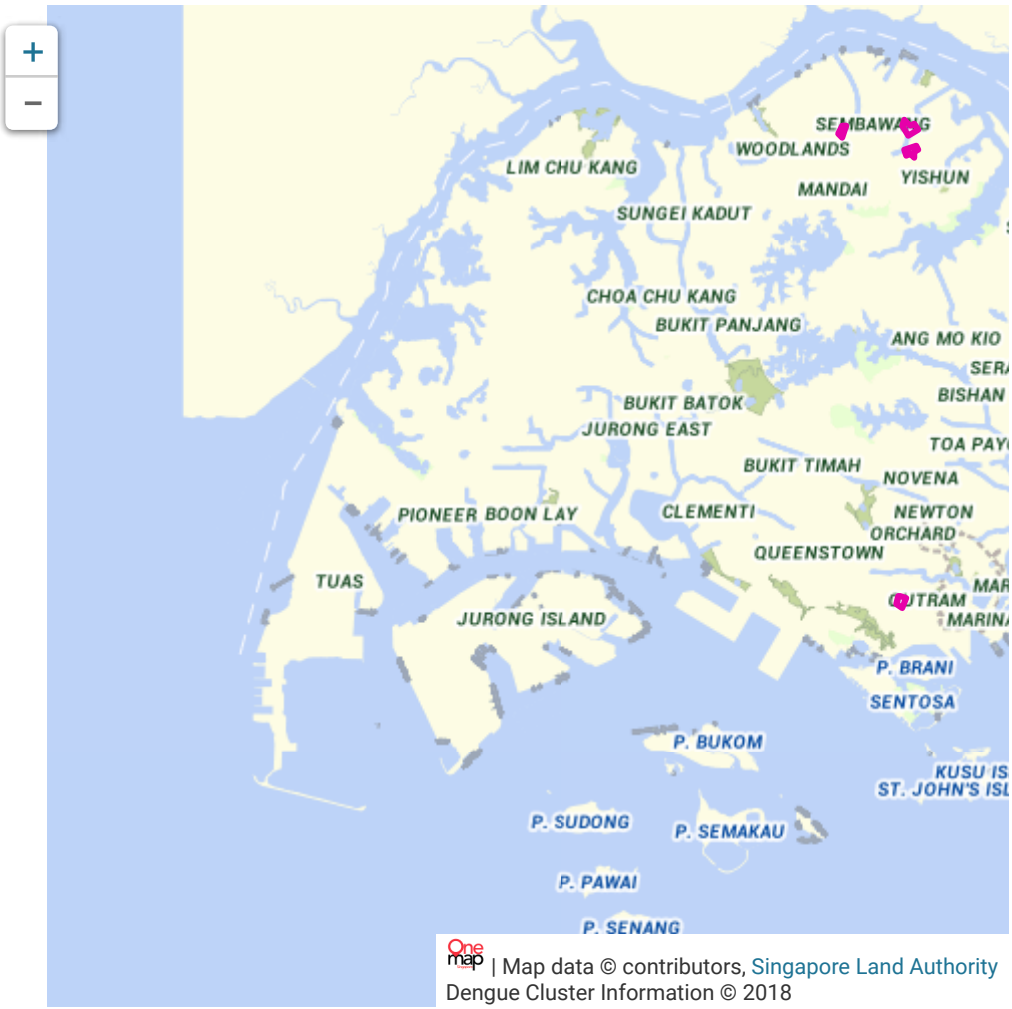

(Map data is updated at 1am. Kindly clear your internet browser cache after each visit, in order to view the latest information.)

Operationally, a dengue cluster indicates a locality with active transmission where intervention is targeted. It is formed when two or more cases have onset within 14 days and are located within 150m of each other (based on residential and workplace addresses as well as movement history). The clusters are categorised according to their current status. There are 3 alert levels:

Definition	Alert Level
High-risk area with 10 or more cases	**Red**
High-risk area with less than 10 cases	**Yellow**

No new cases, under surveillance for the next 21 days	**Green**

Each cluster map illustrates the extent of NEA's current vector control intervention. Please click on the cluster location to view the respective map.

The information provided in this listing is accurate as at 03 Aug 2018

S/N	Alert Level	Locality	Cases with onset in last 2 weeks	Cases since start of cluster	Breakdown	
					Location	No. of Cases
1		Canberra Cres (Blk 130B) / Canberra Cres, Lk, View	2	6	Canberra Crescent (Blk 130B)	1
					Canberra Crescent	1
					Canberra Link	2
					Canberra View	2
2		Yishun Ave 7 (Blk 172, 173, 174) / Yishun Ring Rd (Blk 166)	3	6	Yishun Avenue 7 (Blk 172)	1
					Yishun Avenue 7 (Blk 173)	1
					Yishun Avenue 7 (Blk 174)	1
					Yishun Ring Road (Blk 166)	3
3		Tampines St 43 (Blk 473) / Tampines St 44 (Blk 463, 466, 467)	3	5	Tampines Street 43 (Blk 473)	1
					Tampines	1

				Street 44 (Blk 463)	
				Tampines Street 44 (Blk 466)	1
				Tampines Street 44 (Blk 467)	2
4	Cassia Cres (Blk 54, 56)	2	2	Cassia Cresent (Blk 54)	1
				Cassia Cresent (Blk 56)	1
5	Kim Tian Pl (Blk 120) / Kim Tian Rd (Blk 119D)	2	2	Kim Tian Place (Blk 120)	1
				Kim Tian Road (Blk 119D)	1
6	Woodlands Dr 75 (Blk 690B, 690C)	1	2	Woodlands Drive 75 (Blk 690B)	1
				Woodlands Drive 75 (Blk 690C)	1

For a list of clusters under surveillance, please click here.

Dengue

You are now reading:

Dengue Clusters

Dengue Clusters

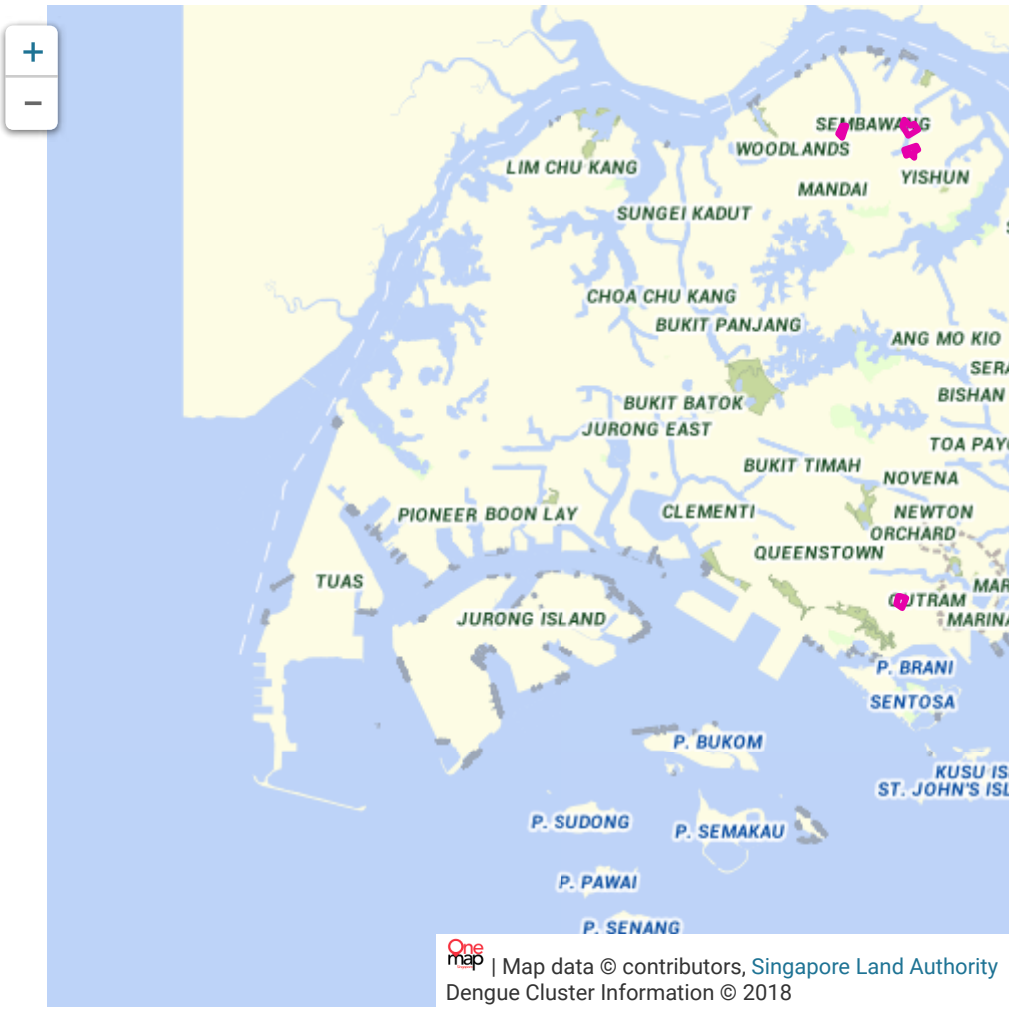

(Map data is updated at 1am. Kindly clear your internet browser cache after each visit, in order to view the latest information.)

Operationally, a dengue cluster indicates a locality with active transmission where intervention is targeted. It is formed when two or more cases have onset within 14 days and are located within 150m of each other (based on residential and workplace addresses as well as movement history). The clusters are categorised according to their current status. There are 3 alert levels:

Definition	Alert Level
High-risk area with 10 or more cases	**Red**
High-risk area with less than 10 cases	**Yellow**

No new cases, under surveillance for the next 21 days	**Green**

Each cluster map illustrates the extent of NEA's current vector control intervention. Please click on the cluster location to view the respective map.

The information provided in this listing is accurate as at 06 Aug 2018

S/N	Alert Level	Locality	Cases with onset in last 2 weeks	Cases since start of cluster	Breakdown	
					Location	No. of Cases
1		Canberra Cres (Blk 130B) / Canberra Cres, Lk, View	1	6	Canberra Crescent (Blk 130B)	1
					Canberra Crescent	1
					Canberra Link	2
					Canberra View	2
2		Yishun Ave 7 (Blk 172, 174) / Yishun Ring Rd (Blk 166)	3	6	Yishun Avenue 7 (Blk 172)	2
					Yishun Avenue 7 (Blk 174)	1
					Yishun Ring Road (Blk 166)	3
3		Tampines St 44 (Blk 463, 466, 467)	2	4	Tampines Street 44 (Blk 463)	1
					Tampines Street 44 (Blk 466)	1
					Tampines	2

				Street 44 (Blk 467)	
4	Cassia Cres (Blk 54, 56)	2	2	Cassia Cresent (Blk 54)	1
				Cassia Cresent (Blk 56)	1
5	Kim Tian Pl (Blk 120) / Kim Tian Rd (Blk 119D)	2	2	Kim Tian Place (Blk 120)	1
				Kim Tian Road (Blk 119D)	1
6	Woodlands Dr 75 (Blk 690B, 690C)	1	2	Woodlands Drive 75 (Blk 690B)	1
				Woodlands Drive 75 (Blk 690C)	1

For a list of clusters under surveillance, please click here.

Dengue

You are now reading:

Dengue Clusters

Dengue Clusters

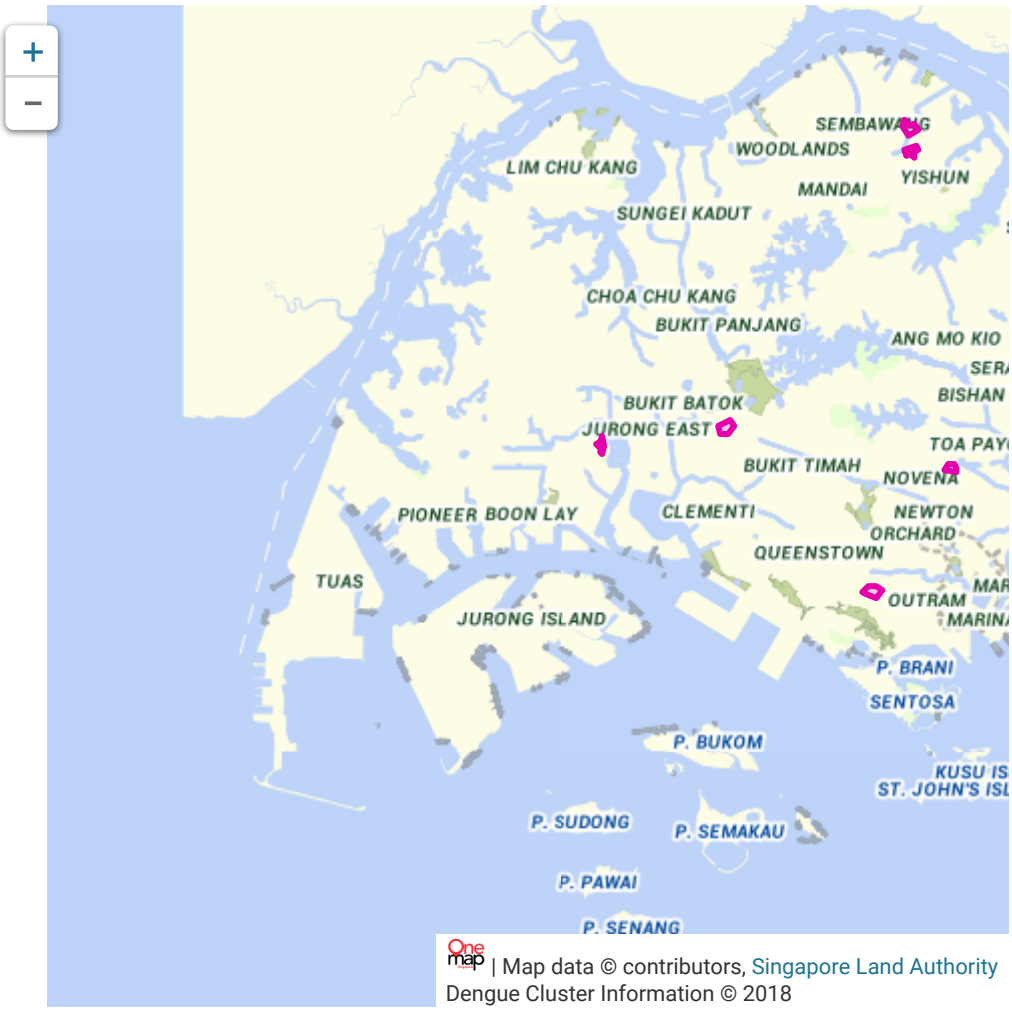

(Map data is updated at 1am. Kindly clear your internet browser cache after each visit, in order to view the latest information.)

Operationally, a dengue cluster indicates a locality with active transmission where intervention is targeted. It is formed when two or more cases have onset within 14 days and are located within 150m of each other (based on residential and workplace addresses as well as movement history). The clusters are categorised according to their current status. There are 3 alert levels:

Definition	Alert Level
High-risk area with 10 or more cases	**Red**
High-risk area with less than 10 cases	**Yellow**

No new cases, under surveillance for the next 21 days	**Green**

Each cluster map illustrates the extent of NEA's current vector control intervention. Please click on the cluster location to view the respective map.

The information provided in this listing is accurate as at 10 Aug 2018

S/N	Alert Level	Locality	Cases with onset in last 2 weeks	Cases since start of cluster	Breakdown	
					Location	No. of Cases
1		Tampines St 44 (Blk 463, 466, 467, 469)	3	7	Tampines Street 44 (Blk 463)	1
					Tampines Street 44 (Blk 466)	1
					Tampines Street 44 (Blk 467)	2
					Tampines Street 44 (Blk 469)	3
2		Canberra Cres (Blk 130B) / Canberra Cres, Lk, View	1	6	Canberra Crescent (Blk 130B)	1
					Canberra Crescent	1
					Canberra Link	2
					Canberra View	2
3		Yishun Ave 7 (Blk 172, 174) / Yishun Ring Rd (Blk 166)	1	6	Yishun Avenue 7 (Blk 172)	2
					Yishun	1

				Avenue 7 (Blk 174)	
				Yishun Ring Road (Blk 166)	3
4	Redhill Cl (Blk 15, 89, 90)	5	5	Redhill Close (Blk 15)	2
				Redhill Close (Blk 89)	2
				Redhill Close (Blk 90)	1
5	Ah Hood Rd (The Belleforte) / Balestier Rd	4	4	Ah Hood Road (The Belleforte)	1
				Balestier Road	3
6	Dunman Ln (D-Mansions) / Swanage Rd	1	3	Dunman Lane (D-Mansions)	1
				Swanage Road	2
7	Green Ln / Sandy Ln	2	3	Green Lane	2
				Sandy Lane	1
8	Jln Rajawali (Regis Mans) / Toh Tuck Rd (Signature Pk)	3	3	Jalan Rajawali (Regis Mansions)	1
				Toh Tuck Road (Signature Park)	2
9	Bournemouth Rd / Branksome Rd	2	2	Bournemouth Road	1
				Branksome	1

				Road	
10	Tampines St 42 (Blk 455, 459)	2	2	Tampines Street 42 (Blk 455)	1
				Tampines Street 42 (Blk 459)	1
11	Yuan Ching Rd (Lakeside Apts)	2	2	Yuan Ching Road (Lakeside Apartments)	2

For a list of clusters under surveillance, please click here.

Dengue

You are now reading:

Dengue Clusters

Dengue Clusters

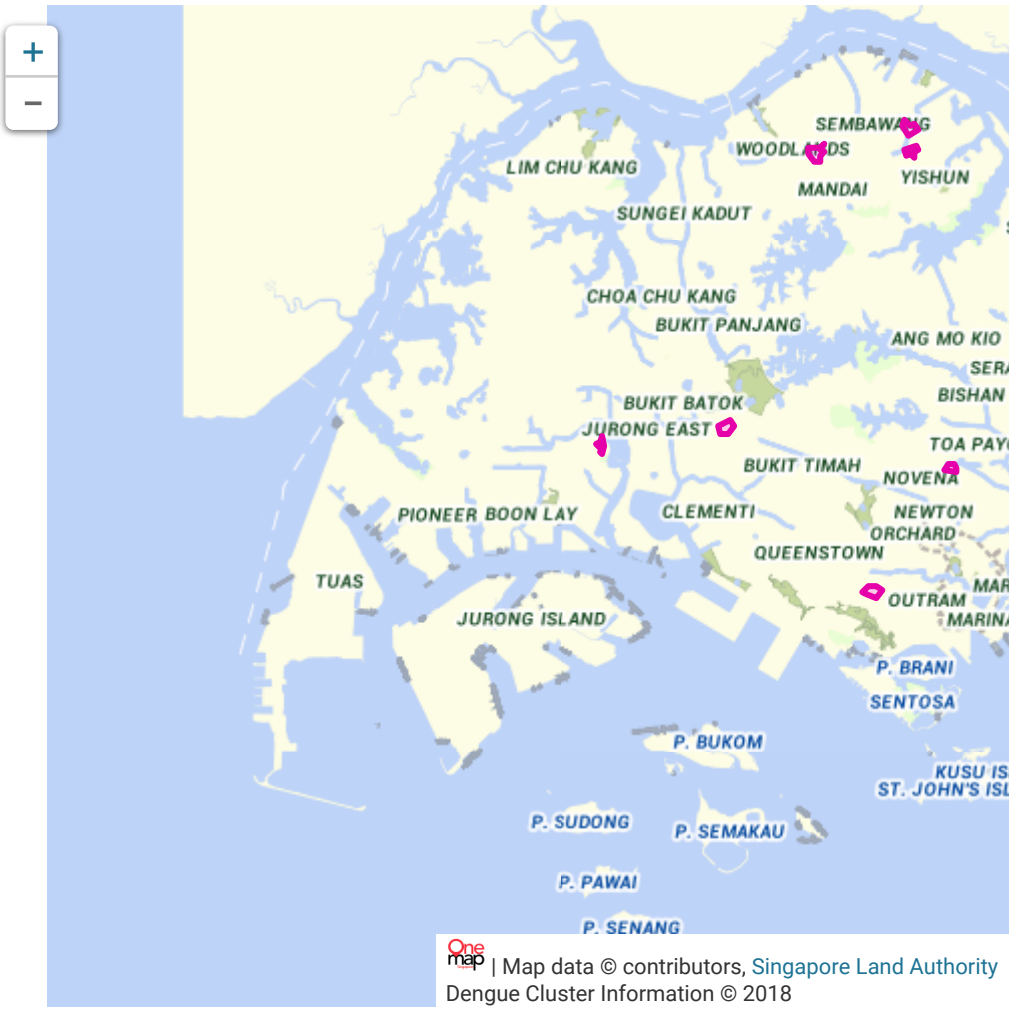

(Map data is updated at 1am. Kindly clear your internet browser cache after each visit, in order to view the latest information.)

Operationally, a dengue cluster indicates a locality with active transmission where intervention is targeted. It is formed when two or more cases have onset within 14 days and are located within 150m of each other (based on residential and workplace addresses as well as movement history). The clusters are categorised according to their current status. There are 3 alert levels:

Definition	Alert Level
High-risk area with 10 or more cases	**Red**
High-risk area with less than 10 cases	**Yellow**

No new cases, under surveillance for the next 21 days	**Green**

Each cluster map illustrates the extent of NEA's current vector control intervention. Please click on the cluster location to view the respective map.

The information provided in this listing is accurate as at 13 Aug 2018

S/N	Alert Level	Locality	Cases with onset in last 2 weeks	Cases since start of cluster	Breakdown	
					Location	No. of Cases
1		Canberra Cres (Blk 130B) / Canberra Cres, Lk, View	2	8	Canberra Crescent	1
					Canberra Crescent (Blk 130B)	1
					Canberra Link	4
					Canberra View	2
2		Tampines St 44 (Blk 463, 466, 467, 469)	3	7	Tampines Street 44 (Blk 463)	1
					Tampines Street 44 (Blk 466)	1
					Tampines Street 44 (Blk 467)	2
					Tampines Street 44 (Blk 469)	3
3		Yishun Ave 7 (Blk 172, 174) / Yishun Ring Rd (Blk 166)	2	7	Yishun Avenue 7 (Blk 172)	2
					Yishun	1

				Avenue 7 (Blk 174)	
				Yishun Ring Road (Blk 166)	4
4	Redhill Cl (Blk 15, 89, 90)	5	6	Redhill Close (Blk 15)	2
				Redhill Close (Blk 89)	3
				Redhill Close (Blk 90)	1
5	Ah Hood Rd (The Belleforte) / Balestier Rd	3	4	Ah Hood Road (The Belleforte)	1
				Balestier Road	3
6	Dunman Ln (D-Mansions) / Swanage Rd	1	3	Dunman Lane (D-Mansions)	1
				Swanage Road	2
7	Green Ln / Sandy Ln	1	3	Green Lane	2
				Sandy Lane	1
8	Jln Rajawali (Regis Mans) / Toh Tuck Rd (Signature Pk)	1	3	Jalan Rajawali (Regis Mansions)	1
				Toh Tuck Road (Signature Park)	2
9	Tampines St 42 (Blk 455, 458, 459)	2	3	Tampines Street 42 (Blk 455)	1

				Tampines Street 42 (Blk 458)	1
				Tampines Street 42 (Blk 459)	1
10	Woodlands Dr 52 (Blk 623) / Woodlands Ring Rd (Blk 656, 664)	1	3	Woodlands Drive 52 (Blk 623)	1
				Woodlands Ring Road (Blk 656)	1
				Woodlands Ring Road (Blk 664)	1
11	Bournemouth Rd / Branksome Rd	1	2	Bournemouth Road	1
				Branksome Road	1
12	Yuan Ching Rd (Lakeside Apts)	1	2	Yuan Ching Road (Lakeside Apartments)	2

For a list of clusters under surveillance, please click here.